## LOCATED AT

17 David Dr
Johnston, RI 02919
Deed Book 2231 Page 114 (Date: 08/20/2008)

## FOR

Shoreham  Bank
One Home Loan Plaza, Suite 3
Warwick, RI 02886

## AS OF

10/21/2025

## BY

Margaret M. Demopulos
Margaret M. Demopulos Appraisals
3 Baldwin Drive
Greenville, RI 02828
(401) 255-8598
margdemo15@gmail.com

# Uniform Residential Appraisal Report

File # 9810147749 17 David Dr

The purpose of this summary appraisal report is to provide the lender/client with an accurate, and adequately supported, opinion of the market value of the subject property.

## SUBJECT

Property Address 17 David Dr | City Johnston | State RI | Zip Code 02919
Borrower Derek Ritch & Alexis Ritch | Owner of Public Record Eileen Ford | County Providence
Legal Description Deed Book 2231 Page 114 (Date: 08/20/2008)
Assessor's Parcel # Plat 48 Lot 302 | Tax Year 2025 | R.E. Taxes $ 5,550
Neighborhood Name Green Valley Estates/Johnston | Map Reference 39300 | Census Tract 0123.00
Occupant ☐ Owner ☐ Tenant ☒ Vacant | Special Assessments $ 0 | ☐ PUD HOA $ 0 ☐ per year ☐ per month
Property Rights Appraised ☒ Fee Simple ☐ Leasehold ☐ Other (describe)
Assignment Type ☒ Purchase Transaction ☐ Refinance Transaction ☐ Other (describe)
Lender/Client Shoreham Bank | Address One Home Loan Plaza, Suite 3, Warwick, RI 02886
Is the subject property currently offered for sale or has it been offered for sale in the twelve months prior to the effective date of this appraisal? ☒ Yes ☐ No
Report data source(s) used, offering price(s), and date(s). DOM 18;(MLS#1396769) Subject is listed with real estate agent, Michael LeBoeuf of Keller Williams Leading Edge, 401-333-4900; 401-862-1707. List Date: 10/02/2025. List Price: $450,000.

## CONTRACT

I ☒ did ☐ did not analyze the contract for sale for the subject purchase transaction. Explain the results of the analysis of the contract for sale or why the analysis was not performed. Arms length sale;Arms length sale; The purchase and sales agreement has been reviewed. Financing appears to be 30 year conventional financing. The copy furnished to appraiser has not been fully executed as the seller did not date the contract, but did sign it.
Contract Price $ 450,000 | Date of Contract 10/04/2025 | Is the property seller the owner of public record? ☒ Yes ☐ No | Data Source(s) Field Card
Is there any financial assistance (loan charges, sale concessions, gift or downpayment assistance, etc.) to be paid by any party on behalf of the borrower? ☐ Yes ☒ No
If Yes, report the total dollar amount and describe the items to be paid. $0;;Please see addendum for further details....

## NEIGHBORHOOD

**Note: Race and the racial composition of the neighborhood are not appraisal factors.**

| Neighborhood Characteristics | | | One-Unit Housing Trends | | | One-Unit Housing | | | Present Land Use % | |
|---|---|---|---|---|---|---|---|---|---|---|
| Location | ☐ Urban | ☒ Suburban ☐ Rural | Property Values | ☒ Increasing | ☐ Stable ☐ Declining | PRICE | | AGE | One-Unit | 80 % |
| Built-Up | ☒ Over 75% | ☐ 25-75% ☐ Under 25% | Demand/Supply | ☒ Shortage | ☐ In Balance ☐ Over Supply | $ (000) | | (yrs) | 2-4 Unit | 5 % |
| Growth | ☐ Rapid | ☒ Stable ☐ Slow | Marketing Time | ☒ Under 3 mths | ☐ 3-6 mths ☐ Over 6 mths | 190 | Low | 0 | Multi-Family | % |
| Neighborhood Boundaries | Allendale Ave to the north, Greenville Ave to the south and west, George Waterman Ave to the west. | | | | | 730 | High | 225 | Commercial | 10 % |
| | | | | | | 460 | Pred. | 75 | Other | 5 % |

Neighborhood Description Subject in area of Johnston with typical mix of single family dwellings varying in age, condition, style & size. Commercial influence from retail/commercial on Greenville Ave., well buffered, not adverse. All support services, schools, shopping, employment via Greenville Ave., George Waterman Ave., Rtes 6, 10, 44 & 295. No adverse factors affecting marketability.
Market Conditions (including support for the above conclusions) Typical marketing times range from 0-120 days. Values appear to be increasing within the past 12-24 months based on MLS information. Currently there is a shortage of inventory supply of properties in MLS. Mortgage rates range from 6.0% to 8.0% for 15-30 years. Values can vary greatly depending on age, size, condition, quality, amenities, location. Listings of similar properties in the area range from $400,000 to $525,000.

## SITE

Dimensions see attached plat map | Area 10197 sf | Shape Irregular, not adverse | View N;Res;
Specific Zoning Classification R40 | Zoning Description Residential Single Family 40,000 sf, 140 ft frontage minimum
Zoning Compliance ☐ Legal ☒ Legal Nonconforming (Grandfathered Use) ☐ No Zoning ☐ Illegal (describe)
Is the highest and best use of subject property as improved (or as proposed per plans and specifications) the present use? ☒ Yes ☐ No If No, describe

| Utilities | Public | Other (describe) | | Public | Other (describe) | Off-site Improvements – Type | Public | Private |
|---|---|---|---|---|---|---|---|---|
| Electricity | ☒ | ☐ | Water | ☒ | ☐ | Street Asphalt | ☒ | ☐ |
| Gas | ☒ | ☐ | Sanitary Sewer | ☒ | ☐ | Alley None | ☐ | ☐ |

FEMA Special Flood Hazard Area ☐ Yes ☒ No | FEMA Flood Zone X | FEMA Map # 44007C0301H | FEMA Map Date 10/02/2015
Are the utilities and off-site improvements typical for the market area? ☒ Yes ☐ No If No, describe
Are there any adverse site conditions or external factors (easements, encroachments, environmental conditions, land uses, etc.)? ☐ Yes ☒ No If Yes, describe
No apparent adverse easements or encroachments were noted. Site landscaped with mature lawn, shrubs and trees.

## IMPROVEMENTS

| General Description | | Foundation | | Exterior Description | materials/condition | Interior | materials/condition |
|---|---|---|---|---|---|---|---|
| Units | ☒ One ☐ One with Accessory Unit | ☐ Concrete Slab | ☐ Crawl Space | Foundation Walls | Concrete/Average | Floors | HD/Tile/Cpt/Avg |
| # of Stories | 1 | ☒ Full Basement | ☐ Partial Basement | Exterior Walls | Clpb/WD/Average | Walls | Plaster/Average |
| Type | ☒ Det. ☐ Att. ☐ S-Det./End Unit | Basement Area | 520 sq.ft. | Roof Surface | Asphalt/Average | Trim/Finish | Wood/Average |
| ☒ Existing | ☐ Proposed ☐ Under Const. | Basement Finish | 100 % | Gutters & Downspouts | Aluminum/Average | Bath Floor | Tile/Average |
| Design (Style) | Raised Ranch | ☒ Outside Entry/Exit | ☐ Sump Pump | Window Type | Vinyl/Average | Bath Wainscot | Tile/Average |
| Year Built | 1971 | Evidence of ☐ Infestation | | Storm Sash/Insulated | Yes/Average | Car Storage | ☐ None |
| Effective Age (Yrs) | 10 | ☐ Dampness | ☐ Settlement | Screens | Yes/Average | ☒ Driveway | # of Cars 2 |
| Attic | ☐ None | Heating ☐ FWA | ☒ HWBB ☐ Radiant | Amenities | ☐ Woodstove(s) # 0 | Driveway Surface | asphalt |
| ☐ Drop Stair | ☐ Stairs | ☐ Other | Fuel gas | ☒ Fireplace(s) # 1 | ☒ Fence yes | ☒ Garage | # of Cars 2 |
| ☐ Floor | ☒ Scuttle | Cooling ☐ Central Air Conditioning | | ☒ Patio/Deck deck | ☐ Porch none | ☐ Carport | # of Cars 0 |
| ☐ Finished | ☐ Heated | ☐ Individual | ☒ Other none | ☐ Pool none | ☐ Other none | ☐ Att. | ☐ Det. ☒ Built-in |

Appliances ☒ Refrigerator ☒ Range/Oven ☒ Dishwasher ☒ Disposal ☒ Microwave ☒ Washer/Dryer ☐ Other (describe)
Finished area **above** grade contains: 7 Rooms 3 Bedrooms 1.0 Bath(s) 1,440 Square Feet of Gross Living Area Above Grade
Additional features (special energy efficient items, etc.). ANSI 2021 measuring utilized.Gas-fired forced hot water furnace, 200 AMP circuit breaker located in garage.
Describe the condition of the property (including needed repairs, deterioration, renovations, remodeling, etc.). C4;Kitchen-updated-eleven to fifteen years ago;Bathrooms-updated-six to ten years ago;C4
Are there any physical deficiencies or adverse conditions that affect the livability, soundness, or structural integrity of the property? ☐ Yes ☒ No If Yes, describe
The appraiser performed a visual inspection of accessible areas of the subject property. It should be noted that this appraiser is not a Home Inspector, and the appraisal report cannot be relied upon to disclose defects in the subject property. The dwelling had been constructed prior to 1978, therefore there may or may not be the appearance of lead-paint.
Does the property generally conform to the neighborhood (functional utility, style, condition, use, construction, etc.)? ☒ Yes ☐ No If No, describe
The subject property generally conforms to the neighborhood.



Form 1004UAD - "TOTAL" appraisal software by a la mode, inc. - 1-800-ALAMODE

# Uniform Residential Appraisal Report

File # 9810147749 17 David Dr

There are 9 comparable properties currently offered for sale in the subject neighborhood ranging in price from $ 400,000 to $ 525,000 .

There are 15 comparable sales in the subject neighborhood within the past twelve months ranging in sale price from $ 400,000 to $ 525,000 .

## SALES COMPARISON APPROACH

| FEATURE | SUBJECT | COMPARABLE SALE # 1 | | COMPARABLE SALE # 2 | | COMPARABLE SALE # 3 | |
|---|---|---|---|---|---|---|---|
| Address | 17 David Dr Johnston, RI 02919 | 29 Camille Dr Johnston, RI 02919 | | 423 George Waterman Rd Johnston, RI 02919 | | 19 Contillo Dr Johnston, RI 02919 | |
| Proximity to Subject | | 0.82 miles N | | 0.59 miles NE | | 0.16 miles SW | |
| Sale Price | $ 450,000 | | $ 480,029 | | $ 400,000 | | $ 460,000 |
| Sale Price/Gross Liv. Area | $ 312.50 sq.ft. | $ 424.05 sq.ft. | | $ 297.62 sq.ft. | | $ 308.72 sq.ft. | |
| Data Source(s) | | MLS#1387441;DOM 6 | | MLS#1390405;DOM 52 | | MLS#1369550;DOM 0 | |
| Verification Source(s) | | Ex Inspection/Assessor | | Ext. Inspection/Assessor | | Ex Inspection/Assessor | |
| VALUE ADJUSTMENTS | DESCRIPTION | DESCRIPTION | +(-) $ Adjustment | DESCRIPTION | +(-) $ Adjustment | DESCRIPTION | +(-) $ Adjustment |
| Sales or Financing Concessions | | ArmLth Conv;0 | | ArmLth Conv;0 | | ArmLth Conv;0 | |
| Date of Sale/Time | | s07/25;c06/25 | +1,200 | s10/25;c09/25 | | s12/24;c09/24 | +13,000 |
| Location | N;Res; | N;Res; | | A;BsyRd;Comm | +40,000 | N;Res; | |
| Leasehold/Fee Simple | Fee Simple | Fee Simple | | Fee Simple | | Fee Simple | |
| Site | 10197 sf | 7841 sf | 0 | 6534 sf | 0 | 15253 sf | 0 |
| View | N;Res; | N;Res; | | N;Res; | | N;Res; | |
| Design (Style) | DT1;Raised Ran | DT1;Raised Ran | | DT1;Raised Ran | | DT1;Ranch | 0 |
| Quality of Construction | Q4 | Q4 | | Q4 | | Q4 | |
| Actual Age | 54 | 44 | 0 | 63 | 0 | 65 | 0 |
| Condition | C4 | C4 | | C4 | | C4 | |
| Above Grade Room Count (Total / Bdrms. / Baths) | 7 / 3 / 1.0 | 6 / 3 / 1.0 | 0 | 6 / 3 / 1.0 | 0 | 5 / 3 / 1.0 | 0 |
| Gross Living Area | 1,440 sq.ft. | 1,132 sq.ft. | +23,100 | 1,344 sq.ft. | 0 | 1,490 sq.ft. | 0 |
| Basement & Finished | 520sf520sfwo | 720sf720sfwo | 0 | 976sf832sfwo | 0 | 1490sf0sfwo | 0 |
| Rooms Below Grade | 1rr0br1.0ba0o | 1rr0br1.0ba0o | | 1rr0br0.1ba0o | 0 | | +10,000 |
| Functional Utility | Average | Average | | Average | | Average | |
| Heating/Cooling | FHW/None | FHW/None | | FHA/CAC | -15,000 | FHW/CAC | -15,000 |
| Energy Efficient Items | None | None | | None | | None | |
| Garage/Carport | 2gbi2dw | 1gbi2dw | +10,000 | 1gbi2dw | +10,000 | 2dw | +20,000 |
| Porch/Patio/Deck | Deck | Porch | 0 | Deck | | Porch/Patio | 0 |
| Other | Fireplace | None | +5,000 | None | +5,000 | Fireplace | |
| Other | None | None | | None | | None | |
| Other | None | None | | None | | None | |
| Net Adjustment (Total) | | ☒ + ☐ - | $ 39,300 | ☒ + ☐ - | $ 40,000 | ☒ + ☐ - | $ 28,000 |
| Adjusted Sale Price of Comparables | | Net Adj. 8.2 % Gross Adj. 8.2 % | $ 519,329 | Net Adj. 10.0 % Gross Adj. 17.5 % | $ 440,000 | Net Adj. 6.1 % Gross Adj. 12.6 % | $ 488,000 |

I ☒ did ☐ did not research the sale or transfer history of the subject property and comparable sales. If not, explain

My research ☐ did ☒ did not reveal any prior sales or transfers of the subject property for the three years prior to the effective date of this appraisal.

Data Source(s) Per Field Card

My research ☒ did ☐ did not reveal any prior sales or transfers of the comparable sales for the year prior to the date of sale of the comparable sale.

Data Source(s) Per Field Card

Report the results of the research and analysis of the prior sale or transfer history of the subject property and comparable sales (report additional prior sales on page 3).

| ITEM | SUBJECT | COMPARABLE SALE #1 | COMPARABLE SALE #2 | COMPARABLE SALE #3 |
|---|---|---|---|---|
| Date of Prior Sale/Transfer | | | | |
| Price of Prior Sale/Transfer | | | | |
| Data Source(s) | Field Card/MLS | Field Card/MLS | Field Card/MLS | Field Card/MLS |
| Effective Date of Data Source(s) | 10/21/2025 | 10/21/2025 | 10/21/2025 | 10/21/2025 |

Analysis of prior sale or transfer history of the subject property and comparable sales The subject has not sold within the past 3 years of effective date of this appraisal. C4 sold previously on 09/09/2025 for $355,000 per field card. All comps other than reported have not sold within the past year.

Summary of Sales Comparison Approach see addendum

Indicated Value by Sales Comparison Approach $ 450,000

## RECONCILIATION

**Indicated Value by: Sales Comparison Approach $** 450,000 **Cost Approach (if developed) $** 430,155 **Income Approach (if developed) $**

All approaches to value considered. The Sales Approach has been weighted with the support from the Cost Approach. The Income Approach has been disregarded due to lack of rental data.

This appraisal is made ☒ "as is", ☐ subject to completion per plans and specifications on the basis of a hypothetical condition that the improvements have been completed, ☐ subject to the following repairs or alterations on the basis of a hypothetical condition that the repairs or alterations have been completed, or ☐ subject to the following required inspection based on the extraordinary assumption that the condition or deficiency does not require alteration or repair: Appraisal is made "as-is" with no conditions or repairs required.

**Based on a complete visual inspection of the interior and exterior areas of the subject property, defined scope of work, statement of assumptions and limiting conditions, and appraiser's certification, my (our) opinion of the market value, as defined, of the real property that is the subject of this report is $** 450,000 **, as of** 10/21/2025 **, which is the date of inspection and the effective date of this appraisal.**



Form 1004UAD - "TOTAL" appraisal software by a la mode, inc. - 1-800-ALAMODE

ADDITIONAL COMMENTS

COST APPROACH

**COST APPROACH TO VALUE (not required by Fannie Mae)**

Provide adequate information for the lender/client to replicate the below cost figures and calculations.

Support for the opinion of site value (summary of comparable land sales or other methods for estimating site value) The opinion of site value was based on recent vacant land sales in subject's market area in the MLS database.

ESTIMATED ☐ REPRODUCTION OR ☒ REPLACEMENT COST NEW

Source of cost data Local Builders

Quality rating from cost service Avg Effective date of cost data 10/21/2025

Comments on Cost Approach (gross living area calculations, depreciation, etc.)

All replacement costs figures were derived from local cost data.

Physical depreciation determined by Age/Life Method.

| | | | | | |
|---|---|---|---|---|---|
| OPINION OF SITE VALUE | | | | =$ | 125,000 |
| DWELLING | 1,440 | Sq.Ft. @ $ | 175.00 | =$ | 252,000 |
| Bsmt | 520 | Sq.Ft. @ $ | 50.00 | =$ | 26,000 |
| Amenities | | | | =$ | 45,000 |
| Garage/Carport | 624 | Sq.Ft. @ $ | 50.00 | =$ | 31,200 |
| Total Estimate of Cost-New | | | | =$ | 354,200 |
| Less Depreciation | Physical 59,045 | Functional | External | =$( | 59,045) |
| Depreciated Cost of Improvements | | | | =$ | 295,155 |
| "As-is" Value of Site Improvements | | | | =$ | 10,000 |
| **INDICATED VALUE BY COST APPROACH** | | | | **=$** | 430,155 |

Estimated Remaining Economic Life (HUD and VA only) 50 Years

INCOME

**INCOME APPROACH TO VALUE (not required by Fannie Mae)**

Estimated Monthly Market Rent $ X Gross Rent Multiplier = $ Indicated Value by Income Approach

Summary of Income Approach (including support for market rent and GRM)

PUD INFORMATION

**PROJECT INFORMATION FOR PUDs (if applicable)**

Is the developer/builder in control of the Homeowners' Association (HOA)? ☐ Yes ☐ No Unit type(s) ☐ Detached ☐ Attached

Provide the following information for PUDs ONLY if the developer/builder is in control of the HOA and the subject property is an attached dwelling unit.

Legal Name of Project

Total number of phases Total number of units Total number of units sold

Total number of units rented Total number of units for sale Data source(s)

Was the project created by the conversion of existing building(s) into a PUD? ☐ Yes ☐ No If Yes, date of conversion.

Does the project contain any multi-dwelling units? ☐ Yes ☐ No Data Source

Are the units, common elements, and recreation facilities complete? ☐ Yes ☐ No If No, describe the status of completion.

Are the common elements leased to or by the Homeowners' Association? ☐ Yes ☐ No If Yes, describe the rental terms and options.

Describe common elements and recreational facilities.



Form 1004UAD - "TOTAL" appraisal software by a la mode, inc. - 1-800-ALAMODE

This report form is designed to report an appraisal of a one-unit property or a one-unit property with an accessory unit; including a unit in a planned unit development (PUD). This report form is not designed to report an appraisal of a manufactured home or a unit in a condominium or cooperative project.

This appraisal report is subject to the following scope of work, intended use, intended user, definition of market value, statement of assumptions and limiting conditions, and certifications. Modifications, additions, or deletions to the intended use, intended user, definition of market value, or assumptions and limiting conditions are not permitted. The appraiser may expand the scope of work to include any additional research or analysis necessary based on the complexity of this appraisal assignment. Modifications or deletions to the certifications are also not permitted. However, additional certifications that do not constitute material alterations to this appraisal report, such as those required by law or those related to the appraiser's continuing education or membership in an appraisal organization, are permitted.

SCOPE OF WORK: The scope of work for this appraisal is defined by the complexity of this appraisal assignment and the reporting requirements of this appraisal report form, including the following definition of market value, statement of assumptions and limiting conditions, and certifications. The appraiser must, at a minimum: (1) perform a complete visual inspection of the interior and exterior areas of the subject property, (2) inspect the neighborhood, (3) inspect each of the comparable sales from at least the street, (4) research, verify, and analyze data from reliable public and/or private sources, and (5) report his or her analysis, opinions, and conclusions in this appraisal report.

INTENDED USE: The intended use of this appraisal report is for the lender/client to evaluate the property that is the subject of this appraisal for a mortgage finance transaction.

INTENDED USER: The intended user of this appraisal report is the lender/client.

DEFINITION OF MARKET VALUE: The most probable price which a property should bring in a competitive and open market under all conditions requisite to a fair sale, the buyer and seller, each acting prudently, knowledgeably and assuming the price is not affected by undue stimulus. Implicit in this definition is the consummation of a sale as of a specified date and the passing of title from seller to buyer under conditions whereby: (1) buyer and seller are typically motivated; (2) both parties are well informed or well advised, and each acting in what he or she considers his or her own best interest; (3) a reasonable time is allowed for exposure in the open market; (4) payment is made in terms of cash in U. S. dollars or in terms of financial arrangements comparable thereto; and (5) the price represents the normal consideration for the property sold unaffected by special or creative financing or sales concessions* granted by anyone associated with the sale.

*Adjustments to the comparables must be made for special or creative financing or sales concessions. No adjustments are necessary for those costs which are normally paid by sellers as a result of tradition or law in a market area; these costs are readily identifiable since the seller pays these costs in virtually all sales transactions. Special or creative financing adjustments can be made to the comparable property by comparisons to financing terms offered by a third party institutional lender that is not already involved in the property or transaction. Any adjustment should not be calculated on a mechanical dollar for dollar cost of the financing or concession but the dollar amount of any adjustment should approximate the market's reaction to the financing or concessions based on the appraiser's judgment.

STATEMENT OF ASSUMPTIONS AND LIMITING CONDITIONS: The appraiser's certification in this report is subject to the following assumptions and limiting conditions:

1. The appraiser will not be responsible for matters of a legal nature that affect either the property being appraised or the title to it, except for information that he or she became aware of during the research involved in performing this appraisal. The appraiser assumes that the title is good and marketable and will not render any opinions about the title.

2. The appraiser has provided a sketch in this appraisal report to show the approximate dimensions of the improvements. The sketch is included only to assist the reader in visualizing the property and understanding the appraiser's determination of its size.

3. The appraiser has examined the available flood maps that are provided by the Federal Emergency Management Agency (or other data sources) and has noted in this appraisal report whether any portion of the subject site is located in an identified Special Flood Hazard Area. Because the appraiser is not a surveyor, he or she makes no guarantees, express or implied, regarding this determination.

4. The appraiser will not give testimony or appear in court because he or she made an appraisal of the property in question, unless specific arrangements to do so have been made beforehand, or as otherwise required by law.

5. The appraiser has noted in this appraisal report any adverse conditions (such as needed repairs, deterioration, the presence of hazardous wastes, toxic substances, etc.) observed during the inspection of the subject property or that he or she became aware of during the research involved in performing the appraisal. Unless otherwise stated in this appraisal report, the appraiser has no knowledge of any hidden or unapparent physical deficiencies or adverse conditions of the property (such as, but not limited to, needed repairs, deterioration, the presence of hazardous wastes, toxic substances, adverse environmental conditions, etc.) that would make the property less valuable, and has assumed that there are no such conditions and makes no guarantees or warranties, express or implied. The appraiser will not be responsible for any such conditions that do exist or for any engineering or testing that might be required to discover whether such conditions exist. Because the appraiser is not an expert in the field of environmental hazards, this appraisal report must not be considered as an environmental assessment of the property.

6. The appraiser has based his or her appraisal report and valuation conclusion for an appraisal that is subject to satisfactory completion, repairs, or alterations on the assumption that the completion, repairs, or alterations of the subject property will be performed in a professional manner.



Form 1004UAD - "TOTAL" appraisal software by a la mode, inc. - 1-800-ALAMODE

APPRAISER'S CERTIFICATION: The Appraiser certifies and agrees that:

1. I have, at a minimum, developed and reported this appraisal in accordance with the scope of work requirements stated in this appraisal report.

2. I performed a complete visual inspection of the interior and exterior areas of the subject property. I reported the condition of the improvements in factual, specific terms. I identified and reported the physical deficiencies that could affect the livability, soundness, or structural integrity of the property.

3. I performed this appraisal in accordance with the requirements of the Uniform Standards of Professional Appraisal Practice that were adopted and promulgated by the Appraisal Standards Board of The Appraisal Foundation and that were in place at the time this appraisal report was prepared.

4. I developed my opinion of the market value of the real property that is the subject of this report based on the sales comparison approach to value. I have adequate comparable market data to develop a reliable sales comparison approach for this appraisal assignment. I further certify that I considered the cost and income approaches to value but did not develop them, unless otherwise indicated in this report.

5. I researched, verified, analyzed, and reported on any current agreement for sale for the subject property, any offering for sale of the subject property in the twelve months prior to the effective date of this appraisal, and the prior sales of the subject property for a minimum of three years prior to the effective date of this appraisal, unless otherwise indicated in this report.

6. I researched, verified, analyzed, and reported on the prior sales of the comparable sales for a minimum of one year prior to the date of sale of the comparable sale, unless otherwise indicated in this report.

7. I selected and used comparable sales that are locationally, physically, and functionally the most similar to the subject property.

8. I have not used comparable sales that were the result of combining a land sale with the contract purchase price of a home that has been built or will be built on the land.

9. I have reported adjustments to the comparable sales that reflect the market's reaction to the differences between the subject property and the comparable sales.

10. I verified, from a disinterested source, all information in this report that was provided by parties who have a financial interest in the sale or financing of the subject property.

11. I have knowledge and experience in appraising this type of property in this market area.

12. I am aware of, and have access to, the necessary and appropriate public and private data sources, such as multiple listing services, tax assessment records, public land records and other such data sources for the area in which the property is located.

13. I obtained the information, estimates, and opinions furnished by other parties and expressed in this appraisal report from reliable sources that I believe to be true and correct.

14. I have taken into consideration the factors that have an impact on value with respect to the subject neighborhood, subject property, and the proximity of the subject property to adverse influences in the development of my opinion of market value. I have noted in this appraisal report any adverse conditions (such as, but not limited to, needed repairs, deterioration, the presence of hazardous wastes, toxic substances, adverse environmental conditions, etc.) observed during the inspection of the subject property or that I became aware of during the research involved in performing this appraisal. I have considered these adverse conditions in my analysis of the property value, and have reported on the effect of the conditions on the value and marketability of the subject property.

15. I have not knowingly withheld any significant information from this appraisal report and, to the best of my knowledge, all statements and information in this appraisal report are true and correct.

16. I stated in this appraisal report my own personal, unbiased, and professional analysis, opinions, and conclusions, which are subject only to the assumptions and limiting conditions in this appraisal report.

17. I have no present or prospective interest in the property that is the subject of this report, and I have no present or prospective personal interest or bias with respect to the participants in the transaction. I did not base, either partially or completely, my analysis and/or opinion of market value in this appraisal report on the race, color, religion, sex, age, marital status, handicap, familial status, or national origin of either the prospective owners or occupants of the subject property or of the present owners or occupants of the properties in the vicinity of the subject property or on any other basis prohibited by law.

18. My employment and/or compensation for performing this appraisal or any future or anticipated appraisals was not conditioned on any agreement or understanding, written or otherwise, that I would report (or present analysis supporting) a predetermined specific value, a predetermined minimum value, a range or direction in value, a value that favors the cause of any party, or the attainment of a specific result or occurrence of a specific subsequent event (such as approval of a pending mortgage loan application).

19. I personally prepared all conclusions and opinions about the real estate that were set forth in this appraisal report. If I relied on significant real property appraisal assistance from any individual or individuals in the performance of this appraisal or the preparation of this appraisal report, I have named such individual(s) and disclosed the specific tasks performed in this appraisal report. I certify that any individual so named is qualified to perform the tasks. I have not authorized anyone to make a change to any item in this appraisal report; therefore, any change made to this appraisal is unauthorized and I will take no responsibility for it.

20. I identified the lender/client in this appraisal report who is the individual, organization, or agent for the organization that ordered and will receive this appraisal report.



Form 1004UAD - "TOTAL" appraisal software by a la mode, inc. - 1-800-ALAMODE

21. The lender/client may disclose or distribute this appraisal report to: the borrower; another lender at the request of the borrower; the mortgagee or its successors and assigns; mortgage insurers; government sponsored enterprises; other secondary market participants; data collection or reporting services; professional appraisal organizations; any department, agency, or instrumentality of the United States; and any state, the District of Columbia, or other jurisdictions; without having to obtain the appraiser's or supervisory appraiser's (if applicable) consent. Such consent must be obtained before this appraisal report may be disclosed or distributed to any other party (including, but not limited to, the public through advertising, public relations, news, sales, or other media).

22. I am aware that any disclosure or distribution of this appraisal report by me or the lender/client may be subject to certain laws and regulations. Further, I am also subject to the provisions of the Uniform Standards of Professional Appraisal Practice that pertain to disclosure or distribution by me.

23. The borrower, another lender at the request of the borrower, the mortgagee or its successors and assigns, mortgage insurers, government sponsored enterprises, and other secondary market participants may rely on this appraisal report as part of any mortgage finance transaction that involves any one or more of these parties.

24. If this appraisal report was transmitted as an "electronic record" containing my "electronic signature," as those terms are defined in applicable federal and/or state laws (excluding audio and video recordings), or a facsimile transmission of this appraisal report containing a copy or representation of my signature, the appraisal report shall be as effective, enforceable and valid as if a paper version of this appraisal report were delivered containing my original hand written signature.

25. Any intentional or negligent misrepresentation(s) contained in this appraisal report may result in civil liability and/or criminal penalties including, but not limited to, fine or imprisonment or both under the provisions of Title 18, United States Code, Section 1001, et seq., or similar state laws.

SUPERVISORY APPRAISER'S CERTIFICATION: The Supervisory Appraiser certifies and agrees that:

1. I directly supervised the appraiser for this appraisal assignment, have read the appraisal report, and agree with the appraiser's analysis, opinions, statements, conclusions, and the appraiser's certification.

2. I accept full responsibility for the contents of this appraisal report including, but not limited to, the appraiser's analysis, opinions, statements, conclusions, and the appraiser's certification.

3. The appraiser identified in this appraisal report is either a sub-contractor or an employee of the supervisory appraiser (or the appraisal firm), is qualified to perform this appraisal, and is acceptable to perform this appraisal under the applicable state law.

4. This appraisal report complies with the Uniform Standards of Professional Appraisal Practice that were adopted and promulgated by the Appraisal Standards Board of The Appraisal Foundation and that were in place at the time this appraisal report was prepared.

5. If this appraisal report was transmitted as an "electronic record" containing my "electronic signature," as those terms are defined in applicable federal and/or state laws (excluding audio and video recordings), or a facsimile transmission of this appraisal report containing a copy or representation of my signature, the appraisal report shall be as effective, enforceable and valid as if a paper version of this appraisal report were delivered containing my original hand written signature.

APPRAISER

Signature Margaret M. Demopulos
Name Margaret M. Demopulos
Company Name Margaret M. Demopulos Appraisals
Company Address 3 Baldwin Dr.
Greenville, RI 02828
Telephone Number (401) 255-8598
Email Address margdemo15@gmail.com
Date of Signature and Report 10/23/2025
Effective Date of Appraisal 10/21/2025
State Certification # CRA.0A00902
or State License #
or Other (describe) State #
State RI
Expiration Date of Certification or License 03/04/2026

ADDRESS OF PROPERTY APPRAISED
17 David Dr
Johnston, RI 02919
APPRAISED VALUE OF SUBJECT PROPERTY $ 450,000

LENDER/CLIENT
Name Vision VMC
Company Name Shoreham Bank
Company Address One Home Loan Plaza, Suite 3, Warwick, RI 02886
Email Address

SUPERVISORY APPRAISER (ONLY IF REQUIRED)

Signature
Name
Company Name
Company Address
Telephone Number
Email Address
Date of Signature
State Certification #
or State License #
State
Expiration Date of Certification or License

SUBJECT PROPERTY

☐ Did not inspect subject property
☐ Did inspect exterior of subject property from street
Date of Inspection
☐ Did inspect interior and exterior of subject property
Date of Inspection

COMPARABLE SALES

☐ Did not inspect exterior of comparable sales from street
☐ Did inspect exterior of comparable sales from street
Date of Inspection



Form 1004UAD - "TOTAL" appraisal software by a la mode, inc. - 1-800-ALAMODE

# Uniform Residential Appraisal Report

9810147749
File # 17 David Dr

## SALES COMPARISON APPROACH

| FEATURE | SUBJECT | COMPARABLE SALE # 4 | | COMPARABLE SALE # 5 | | COMPARABLE SALE # 6 | |
|---|---|---|---|---|---|---|---|
| Address | 17 David Dr<br>Johnston, RI 02919 | 4 Audrey Dr<br>Johnston, RI 02919 | | 4 Barbato Dr<br>Johnston, RI 02919 | | | |
| Proximity to Subject | | 0.14 miles SW | | 0.47 miles SW | | | |
| Sale Price | $ 450,000 | | $ 500,000 | | $ 489,900 | | $ |
| Sale Price/Gross Liv. Area | $ 312.50 sq.ft. | $ 404.53 sq.ft. | | $ 416.58 sq.ft. | | $ sq.ft. | |
| Data Source(s) | | MLS#1374217;DOM 3 | | MLS#1393221;DOM 7 | | | |
| Verification Source(s) | | Ext Inspection/Assessor | | Ex Inspection/Assessor | | | |
| VALUE ADJUSTMENTS | DESCRIPTION | DESCRIPTION | +(-) $ Adjustment | DESCRIPTION | +(-) $ Adjustment | DESCRIPTION | +(-) $ Adjustment |
| Sales or Financing Concessions | | ArmLth<br>FHA;20000 | -20,000 | Listing | | | |
| Date of Sale/Time | | s01/25;c12/24 | +11,000 | c09/25 | | | |
| Location | N;Res; | N;Res; | | N;Res; | | | |
| Leasehold/Fee Simple | Fee Simple | Fee Simple | | Fee Simple | | | |
| Site | 10197 sf | 14375 sf | 0 | 15246 sf | 0 | | |
| View | N;Res; | N;Res; | | N;Res; | | | |
| Design (Style) | DT1;Raised Ran | DT1;Raised Ran | | DT1;Raised Ran | | | |
| Quality of Construction | Q4 | Q4 | | Q4 | | | |
| Actual Age | 54 | 31 | 0 | 33 | 0 | | |
| Condition | C4 | C3 | -25,000 | C4 | | | |
| Above Grade Room Count (Total / Bdrms. / Baths) | 7 / 3 / 1.0 | 5 / 3 / 2.0 | -15,000 | 6 / 3 / 1.1 | -7,500 | / / | |
| Gross Living Area | 1,440 sq.ft. | 1,236 sq.ft. | +15,300 | 1,176 sq.ft. | +19,800 | sq.ft. | |
| Basement & Finished Rooms Below Grade | 520sf520sfwo<br>1rr0br1.0ba0o | 1152sf1152sfwo<br>1rr1br1.0ba1o | 0<br>-10,000 | 1100sf550sfwo<br>1rr0br1.0ba0o | 0 | | |
| Functional Utility | Average | Average | | Average | | | |
| Heating/Cooling | FHW/None | FHA/CAC | -15,000 | FHW/Dctls Air | -15,000 | | |
| Energy Efficient Items | None | None | | None | | | |
| Garage/Carport | 2gbi2dw | 2ga2dw | 0 | 2dw | +20,000 | | |
| Porch/Patio/Deck | Deck | Deck/Patio | 0 | Deck/Patio | 0 | | |
| Other | Fireplace | None | +5,000 | None | +5,000 | | |
| Other | None | None | | None | | | |
| Other | None | None | | None | | | |
| Net Adjustment (Total) | | ☐ + ☒ - | $ -53,700 | ☒ + ☐ - | $ 22,300 | ☐ + ☐ - | $ |
| Adjusted Sale Price of Comparables | | Net Adj. 10.7 %<br>Gross Adj. 23.3 % | $ 446,300 | Net Adj. 4.6 %<br>Gross Adj. 13.7 % | $ 512,200 | Net Adj. %<br>Gross Adj. % | $ |

## SALE HISTORY

Report the results of the research and analysis of the prior sale or transfer history of the subject property and comparable sales (report additional prior sales on page 3).

| ITEM | SUBJECT | COMPARABLE SALE # 4 | COMPARABLE SALE # 5 | COMPARABLE SALE # 6 |
|---|---|---|---|---|
| Date of Prior Sale/Transfer | | 09/09/2025 | | |
| Price of Prior Sale/Transfer | | $355,000 | | |
| Data Source(s) | Field Card/MLS | Field Card/MLS | Field Card/MLS | |
| Effective Date of Data Source(s) | 10/21/2025 | 10/21/2025 | 10/21/2025 | |

Analysis of prior sale or transfer history of the subject property and comparable sales

## ANALYSIS / COMMENTS

Analysis/Comments



Form 1004UAD.(AC) - "TOTAL" appraisal software by a la mode, inc. - 1-800-ALAMODE

# UNIFORM APPRAISAL DATASET (UAD) DEFINITIONS ADDENDUM

(Source: Fannie Mae UAD Appendix D: UAD Field-Specific Standardization Requirements)

## Condition Ratings and Definitions

C1

The improvements have been recently constructed and have not been previously occupied. The entire structure and all components are new and the dwelling features no physical depreciation.

Note: Newly constructed improvements that feature recycled or previously used materials and/or components can be considered new dwellings provided that the dwelling is placed on a 100 percent new foundation and the recycled materials and the recycled components have been rehabilitated/remanufactured into like-new condition. Improvements that have not been previously occupied are not considered “new” if they have any significant physical depreciation (that is, newly constructed dwellings that have been vacant for an extended period of time without adequate maintenance or upkeep).

C2

The improvements feature no deferred maintenance, little or no physical depreciation, and require no repairs. Virtually all building components are new or have been recently repaired, refinished, or rehabilitated. All outdated components and finishes have been updated and/or replaced with components that meet current standards. Dwellings in this category are either almost new or have been recently completely renovated and are similar in condition to new construction.

Note: The improvements represent a relatively new property that is well maintained with no deferred maintenance and little or no physical depreciation, or an older property that has been recently completely renovated.

C3

The improvements are well maintained and feature limited physical depreciation due to normal wear and tear. Some components, but not every major building component, may be updated or recently rehabilitated. The structure has been well maintained.

Note: The improvement is in its first-cycle of replacing short-lived building components (appliances, floor coverings, HVAC, etc.) and is being well maintained. Its estimated effective age is less than its actual age. It also may reflect a property in which the majority of short-lived building components have been replaced but not to the level of a complete renovation.

C4

The improvements feature some minor deferred maintenance and physical deterioration due to normal wear and tear. The dwelling has been adequately maintained and requires only minimal repairs to building components/mechanical systems and cosmetic repairs. All major building components have been adequately maintained and are functionally adequate.

Note: The estimated effective age may be close to or equal to its actual age. It reflects a property in which some of the short-lived building components have been replaced, and some short-lived building components are at or near the end of their physical life expectancy; however, they still function adequately. Most minor repairs have been addressed on an ongoing basis resulting in an adequately maintained property.

C5

The improvements feature obvious deferred maintenance and are in need of some significant repairs. Some building components need repairs, rehabilitation, or updating. The functional utility and overall livability is somewhat diminished due to condition, but the dwelling remains useable and functional as a residence.

Note: Some significant repairs are needed to the improvements due to the lack of adequate maintenance. It reflects a property in which many of its short-lived building components are at the end of or have exceeded their physical life expectancy but remain functional.

C6

The improvements have substantial damage or deferred maintenance with deficiencies or defects that are severe enough to affect the safety, soundness, or structural integrity of the improvements. The improvements are in need of substantial repairs and rehabilitation, including many or most major components.

Note: Substantial repairs are needed to the improvements due to the lack of adequate maintenance or property damage. It reflects a property with conditions severe enough to affect the safety, soundness, or structural integrity of the improvements.

## Quality Ratings and Definitions

Q1

Dwellings with this quality rating are usually unique structures that are individually designed by an architect for a specified user. Such residences typically are constructed from detailed architectural plans and specifications and feature an exceptionally high level of workmanship and exceptionally high-grade materials throughout the interior and exterior of the structure. The design features exceptionally high-quality exterior refinements and ornamentation, and exceptionally high-quality interior refinements. The workmanship, materials, and finishes throughout the dwelling are of exceptionally high quality.

Q2

Dwellings with this quality rating are often custom designed for construction on an individual property owner’s site. However, dwellings in this quality grade are also found in high-quality tract developments featuring residence constructed from individual plans or from highly modified or upgraded plans. The design features detailed, high quality exterior ornamentation, high-quality interior refinements, and detail. The workmanship, materials, and finishes throughout the dwelling are generally of high or very high quality.

# UNIFORM APPRAISAL DATASET (UAD) DEFINITIONS ADDENDUM

(Source: Fannie Mae UAD Appendix D: UAD Field-Specific Standardization Requirements)

## Quality Ratings and Definitions (continued)

Q3

Dwellings with this quality rating are residences of higher quality built from individual or readily available designer plans in above-standard residential tract developments or on an individual property owner's site. The design includes significant exterior ornamentation and interiors that are well finished. The workmanship exceeds acceptable standards and many materials and finishes throughout the dwelling have been upgraded from "stock" standards.

Q4

Dwellings with this quality rating meet or exceed the requirements of applicable building codes. Standard or modified standard building plans are utilized and the design includes adequate fenestration and some exterior ornamentation and interior refinements. Materials, workmanship, finish, and equipment are of stock or builder grade and may feature some upgrades.

Q5

Dwellings with this quality rating feature economy of construction and basic functionality as main considerations. Such dwellings feature a plain design using readily available or basic floor plans featuring minimal fenestration and basic finishes with minimal exterior ornamentation and limited interior detail. These dwellings meet minimum building codes and are constructed with inexpensive, stock materials with limited refinements and upgrades.

Q6

Dwellings with this quality rating are of basic quality and lower cost; some may not be suitable for year-round occupancy. Such dwellings are often built with simple plans or without plans, often utilizing the lowest quality building materials. Such dwellings are often built or expanded by persons who are professionally unskilled or possess only minimal construction skills. Electrical, plumbing, and other mechanical systems and equipment may be minimal or non-existent. Older dwellings may feature one or more substandard or non-conforming additions to the original structure

## Definitions of Not Updated, Updated, and Remodeled

Not Updated

Little or no updating or modernization. This description includes, but is not limited to, new homes.

Residential properties of fifteen years of age or less often reflect an original condition with no updating, if no major components have been replaced or updated. Those over fifteen years of age are also considered not updated if the appliances, fixtures, and finishes are predominantly dated. An area that is 'Not Updated' may still be well maintained and fully functional, and this rating does not necessarily imply deferred maintenance or physical/functional deterioration.

Updated

The area of the home has been modified to meet current market expectations. These modifications are limited in terms of both scope and cost.

An updated area of the home should have an improved look and feel, or functional utility. Changes that constitute updates include refurbishment and/or replacing components to meet existing market expectations. Updates do not include significant alterations to the existing structure.

Remodeled

Significant finish and/or structural changes have been made that increase utility and appeal through complete replacement and/or expansion.

A remodeled area reflects fundamental changes that include multiple alterations. These alterations may include some or all of the following: replacement of a major component (cabinet(s), bathtub, or bathroom tile), relocation of plumbing/gas fixtures/appliances, significant structural alterations (relocating walls, and/or the addition of) square footage). This would include a complete gutting and rebuild.

## Explanation of Bathroom Count

Three-quarter baths are counted as a full bath in all cases. Quarter baths (baths that feature only a toilet) are not included in the bathroom count. The number of full and half baths is reported by separating the two values using a period, where the full bath count is represented to the left of the period and the half bath count is represented to the right of the period.

Example:
3.2 indicates three full baths and two half baths.

# UNIFORM APPRAISAL DATASET (UAD) DEFINITIONS ADDENDUM

(Source: Fannie Mae UAD Appendix D: UAD Field-Specific Standardization Requirements)

Abbreviations Used in Data Standardization Text

| Abbreviation | Full Name | Fields Where This Abbreviation May Appear |
|---|---|---|
| ac | Acres | Area, Site |
| AdjPrk | Adjacent to Park | Location |
| AdjPwr | Adjacent to Power Lines | Location |
| A | Adverse | Location & View |
| ArmLth | Arms Length Sale | Sale or Financing Concessions |
| ba | Bathroom(s) | Basement & Finished Rooms Below Grade |
| br | Bedroom | Basement & Finished Rooms Below Grade |
| B | Beneficial | Location & View |
| Cash | Cash | Sale or Financing Concessions |
| CtySky | City View Skyline View | View |
| CtyStr | City Street View | View |
| Comm | Commercial Influence | Location |
| c | Contracted Date | Date of Sale/Time |
| Conv | Conventional | Sale or Financing Concessions |
| CrtOrd | Court Ordered Sale | Sale or Financing Concessions |
| DOM | Days On Market | Data Sources |
| e | Expiration Date | Date of Sale/Time |
| Estate | Estate Sale | Sale or Financing Concessions |
| FHA | Federal Housing Authority | Sale or Financing Concessions |
| GlfCse | Golf Course | Location |
| Glfvw | Golf Course View | View |
| Ind | Industrial | Location & View |
| in | Interior Only Stairs | Basement & Finished Rooms Below Grade |
| Lndfl | Landfill | Location |
| LtdSght | Limited Sight | View |
| Listing | Listing | Sale or Financing Concessions |
| Mtn | Mountain View | View |
| N | Neutral | Location & View |
| NonArm | Non-Arms Length Sale | Sale or Financing Concessions |
| BsyRd | Busy Road | Location |
| o | Other | Basement & Finished Rooms Below Grade |
| Prk | Park View | View |
| Pstrl | Pastoral View | View |
| PwrLn | Power Lines | View |
| PubTrn | Public Transportation | Location |
| rr | Recreational (Rec) Room | Basement & Finished Rooms Below Grade |
| Relo | Relocation Sale | Sale or Financing Concessions |
| REO | REO Sale | Sale or Financing Concessions |
| Res | Residential | Location & View |
| RH | USDA - Rural Housing | Sale or Financing Concessions |
| s | Settlement Date | Date of Sale/Time |
| Short | Short Sale | Sale or Financing Concessions |
| sf | Square Feet | Area, Site, Basement |
| sqm | Square Meters | Area, Site |
| Unk | Unknown | Date of Sale/Time |
| VA | Veterans Administration | Sale or Financing Concessions |
| w | Withdrawn Date | Date of Sale/Time |
| wo | Walk Out Basement | Basement & Finished Rooms Below Grade |
| wu | Walk Up Basement | Basement & Finished Rooms Below Grade |
| WtrFr | Water Frontage | Location |
| Wtr | Water View | View |
| Woods | Woods View | View |

Other Appraiser-Defined Abbreviations

| Abbreviation | Full Name | Fields Where This Abbreviation May Appear |
|---|---|---|
| | | |
| | | |
| | | |
| | | |
| | | |
| | | |
| | | |
| | | |
| | | |
| | | |
| | | |
| | | |
| | | |
| | | |
| | | |

| | | | | | |
|---|---|---|---|---|---|
| Borrower | Derek Ritch & Alexis Ritch | | | File No. | 17 David Dr |
| Property Address | 17 David Dr | | | | |
| City | Johnston | County | Providence | State | RI | Zip Code | 02919 |
| Lender/Client | Shoreham Bank | | | | |

## APPRAISAL AND REPORT IDENTIFICATION

This Report is one of the following types:

☒ Appraisal Report (A written report prepared under Standards Rule 2-2(a), pursuant to the Scope of Work, as disclosed elsewhere in this report.)

☐ Restricted Appraisal Report (A written report prepared under Standards Rule 2-2(b), pursuant to the Scope of Work, as disclosed elsewhere in this report, restricted to the stated intended use only by the specified client and any other named intended user(s).)

## Comments on Standards Rule 2-3

I certify that, to the best of my knowledge and belief:
- The statements of fact contained in this report are true and correct.
- The reported analyses, opinions, and conclusions are limited only by the reported assumptions and limiting conditions and are my personal, impartial, and unbiased professional analyses, opinions, and conclusions.
- Unless otherwise indicated, I have no present or prospective interest in the property that is the subject of this report and no personal interest with respect to the parties involved.
- Unless otherwise indicated, I have performed no services, as an appraiser or in any other capacity, regarding the property that is the subject of this report within the three-year period immediately preceding acceptance of this assignment.
- I have no bias with respect to the property that is the subject of this report or the parties involved with this assignment.
- My engagement in this assignment was not contingent upon developing or reporting predetermined results.
- My compensation for completing this assignment is not contingent upon the development or reporting of a predetermined value or direction in value that favors the cause of the client, the amount of the value opinion, the attainment of a stipulated result, or the occurrence of a subsequent event directly related to the intended use of this appraisal.
- My analyses, opinions, and conclusions were developed, and this report has been prepared, in conformity with the Uniform Standards of Professional Appraisal Practice that were in effect at the time this report was prepared.
- Unless otherwise indicated, I have made a personal inspection of the property that is the subject of this report.
- Unless otherwise indicated, no one provided significant real property appraisal assistance to the person(s) signing this certification (if there are exceptions, the name of each individual providing significant real property appraisal assistance is stated elsewhere in this report).

## Comments on Appraisal and Report Identification

Note any USPAP related issues requiring disclosure and any State mandated requirements:

In accordance with USPAP, I have not provided a prior service as an appraiser or in any other capacity within three years of acceptance of this assignment.

**APPRAISER:**

Signature: Margaret M. Demopulos
Name: Margaret M. Demopulos
Certified Residential Appraiser
State Certification #: CRA.0A00902
or State License #:
State: RI Expiration Date of Certification or License: 03/04/2026
Date of Signature and Report: 10/23/2025
Effective Date of Appraisal: 10/21/2025
Inspection of Subject: ☐ None ☒ Interior and Exterior ☐ Exterior-Only
Date of Inspection (if applicable): 10/21/2025

**SUPERVISORY or CO-APPRAISER (if applicable):**

Signature:
Name:
State Certification #:
or State License #:
State: Expiration Date of Certification or License:
Date of Signature:
Inspection of Subject: ☐ None ☐ Interior and Exterior ☐ Exterior-Only
Date of Inspection (if applicable):

# Supplemental Addendum

File No. 17 David Dr

| | | | | | | | |
|---|---|---|---|---|---|---|---|
| Borrower | Derek Ritch & Alexis Ritch | | | | | | |
| Property Address | 17 David Dr | | | | | | |
| City | Johnston | County | Providence | State | RI | Zip Code | 02919 |
| Lender/Client | Shoreham Bank | | | | | | |

SCOPE OF WORK DISCLOSURE
In this appraisal assignment this appraiser performed a personal interior and exterior inspection of the subject improvements in order to gather information about the physical characteristics of the subject improvements that are relevant to the valuation problem.

APPROACH TO VALUE
The sales comparison has been applied which is necessary for credible results given the intended use, property characteristics and type of value sought.

PHOTOGRAPHS
Please note the photographs used are a computer generator ( digital photography) and have not been retouched or enhanced in any way.

ELECTRONIC SIGNATURE
Please note the signature used is computer generated (electronic signature) and has not been retouched or enhanced in any way. An electronic signature has been approved by Fannie Mae and Freddie Mac for residential appraisal practice and the signature has been used in accordance with the Uniform
Standards of Professional Appraisal Practice (USPAP)

INTENDED USER
The intended user of this appraisal report is the lender/client. The intended use is to evaluate the property that is the subject of this appraisal for a mortgage finance transaction, subject to the stated scope of work, purpose of the appraisal, reporting requirements of this appraisal report form and definition of market value. No additional intended users are identified by the appraiser.

HIGHEST AND BEST USE
The highest and best use of the subject property; (the most probable, possible, legal and feasible use, which will produce the highest present market value), as vacant and as improved are it's present use a single family dwelling.

Definition of Market Value
The source for the definition of market value is taken from the Federal Registrar 2CFR 34.42 dated 8/24/90.

Other Land Use
15% other land use in neighborhood section of is identified as vacant.

EXPOSURE TIME

Approximately 0-120 days. Exposure Time: estimated length of time that the property interest being appraised would have been offered on the market prior to the hypothetical consummation of a sale at market value on the effective date of the appraisal. (Source: Definitions section of 2012-2013 version of USPAP)

APPRAISER INDEPENDENCE STATEMENT

This Certifies that the above referenced appraisal report was completed in compliance with the Appraiser Independence Requirements (AIR) and the USPAP standards. The undersigned appraiser(s) responsible for preparing this appraisal report, hereby certify that the report was completed and the opinion of value developed in accordance with USPAP standards; and at no time did any employee, director, officer, or agent of the lender or any third party acting as joint venture partner, independent contractor, appraisal company appraisal management company or partnering on behalf of the lender, influence or attempt to influence in any manner, the development, reporting, result or review of the report. The appraiser(s) further certify, I (we) are currently licensed and/or certified by the state in which the property to be appraised is located, and that there have been no sanctions against me (us) for any reason that would impair my ability to perform appraisals. The undersigned certifies the appraisal report is in compliance with the Appraisal Independence provisions at the time of signatures.

# Supplemental Addendum

File No. 17 David Dr

| | | | | | | | |
|---|---|---|---|---|---|---|---|
| Borrower | Derek Ritch & Alexis Ritch | | | | | | |
| Property Address | 17 David Dr | | | | | | |
| City | Johnston | County | Providence | State | RI | Zip Code | 02919 |
| Lender/Client | Shoreham Bank | | | | | | |

LEGAL NON CONFORMING STATEMENT

The subject is legal, nonconforming due to current minimum lot size and/or minimum frontage requirements. It can be rebuilt if destroyed.
This however has no effect on the subject's marketability.

PLEASE NOTE: The comps provided are located in similar residential zoning as subject; again no effect on marketability.

PURCHASE AND SALES AGREEMENT

Personal Property and Fixtures

Appliances to remain include the following

Dishwasher, dryer, microwave, oven/range, refrigerator, washer to remain in as is condition.

Additional Provisions

1) Buyers will make no requested for the first $10,000 with of inspection items discovered
2) Property to appraise at or above the purchase price

URAR : Subject - Overall Condition of the Property

Subject is a 54 year old Raised Ranch with 3 bedrooms and 1 bathroom in overall average condition and of average quality. Physical depreciation due to normal wear and tear.

PER OWNER LISTING AGENT IMPROVEMENTS IN RECENT YEARS INCLUDE:

1) New furnace installed in 2021
2) Solar panels
3) New roof in 2018
4) Updated bathroom
5) Newer plaster on walls and ceilings in bedrooms
6) Refinished basement with rec room and all new bathroom
7) Granite counters installed on existing cabinets

· URAR : Sales Comparison Analysis - Summary of Sales Comparison Approach

$75 sf/GLA. $15,000/full bathroom. $7500/half bathroom. $5000/per room finished basement.

C4 adjusted $20,000 for seller paid closing per MLS database.

LOCATION ADJUSTMENTS

C2 adjusted 10% (rounded) for inferior location on moderately traveled road and also abutting commercial building.

# Supplemental Addendum

File No. 17 David Dr

| | | | | | | | |
|---|---|---|---|---|---|---|---|
| Borrower | Derek Ritch & Alexis Ritch | | | | | | |
| Property Address | 17 David Dr | | | | | | |
| City | Johnston | County | Providence | State | RI | Zip Code | 02919 |
| Lender/Client | Shoreham Bank | | | | | | |

CONDITION ADJUSTMENTS

C4 adjusted 10% (rounded) due to extensive improvements to interior of dwelling with new kitchens, bathrooms, interior finishes per MLS photos.

30% Age Differential
Lack of recent similar sales necessitates the use of comps with greater than 30% age differential than subject.

ADJUSTMENTS
Adjustment is based on exterior inspection and MLS description of interior improvements ; adjustments based on combination of cost figures as well as historical market survey data from local builders, developers and realtors. GLA adjustment based on range of from paired sales analysis within the market as well as cost/data figures from local builders.

COMPARABLES WEIGHTED
C1, C2 & C3 weighted due to their similar style,condition, GLA, bedroom and/or bath count as subject with support from remaining comparable.

SALES OVER 6 MONTHS
Due to the lack of similar sales appraiser found it necessary to include comps with older sales dates, the comps used were used due to their similar location, age, style, GLA and/or bedroom count as subject.

INCREASING VALUES
Overall market trends over the past 36 months have suggested a lower inventory combined with steadfast buyer demand has resulted in increasing housing values.

Appraiser has made time adjustments on C1, C3 & C4 with sales date over 30 days adjusted @.25% per month (rounded) from date of contract up to effective date of appraisal; support based on MLS database.

MLS Photos

MLS photo utilized for some of the comps due to persons in front of dwelling at time of exterior inspection.

**Market Condition Adjustments**

**Methodology for Market Condition Adjustments**

1. **Data Collection:**
   - Sales data for comparable properties (comps) is collected from 0-24 months, focusing on properties similar to the subject property in terms of location, size, age, and features.
   - Data sources include multiple listing services (MLS), public records, and other reliable sources.
2. **Quarterly and/or Monthly Analysis:**
   - Sales data is analyzed on a quarterly and/or monthly basis to identify market trends and patterns.
   - This analysis includes reviewing average sale prices, the number of transactions, and the time properties stay on the market.
3. **Identifying Trends:**
   - By comparing quarterly data, trends are identified to determine whether property values are increasing, decreasing, or stable.
4. **Applying Adjustments:**
   - Adjustments are applied to the sale prices of comps to reflect current market conditions.

MARKET DATA

# Supplemental Addendum

File No. 17 David Dr

| | | | | | | | |
|---|---|---|---|---|---|---|---|
| Borrower | Derek Ritch & Alexis Ritch | | | | | | |
| Property Address | 17 David Dr | | | | | | |
| City | Johnston | County | Providence | State | RI | Zip Code | 02919 |
| Lender/Client | Shoreham Bank | | | | | | |

Market Data Charts provided in this report is taken from RI MLS Database.

ANSI
Measurements performed by the appraiser at the time of inspection for the subject property were conducted in compliance with ANSI Z765-2021.

Please also be advised that although the subject property has been measured to ANSI Z765-2021 standards, the appraiser does not have the opportunity to apply the same standard of measurement to the comparable properties utilized due to lack of accessibility.

# Subject Photos

| | | | | | | | |
|---|---|---|---|---|---|---|---|
| Borrower | Derek Ritch & Alexis Ritch | | | | | | |
| Property Address | 17 David Dr | | | | | | |
| City | Johnston | County | Providence | State | RI | Zip Code | 02919 |
| Lender/Client | Shoreham Bank | | | | | | |

## Subject Front

17 David Dr

| | |
|---|---|
| Sales Price | 450,000 |
| Gross Living Area | 1,440 |
| Total Rooms | 7 |
| Total Bedrooms | 3 |
| Total Bathrooms | 1.0 |
| Location | N;Res; |
| View | N;Res; |
| Site | 10197 sf |
| Quality | Q4 |
| Age | 54 |



## Subject Rear

## Subject Street

# Subject Photo Page

| | | | | | | | |
|---|---|---|---|---|---|---|---|
| Borrower | Derek Ritch & Alexis Ritch | | | | | | |
| Property Address | 17 David Dr | | | | | | |
| City | Johnston | County | Providence | State | RI | Zip Code | 02919 |
| Lender/Client | Shoreham Bank | | | | | | |

## Subject Right

17 David Dr

| | |
|---|---|
| Sales Price | 450,000 |
| Gross Living Area | 1,440 |
| Total Rooms | 7 |
| Total Bedrooms | 3 |
| Total Bathrooms | 1.0 |
| Location | N;Res; |
| View | N;Res; |
| Site | 10197 sf |
| Quality | Q4 |
| Age | 54 |

## Subject Left

## Subject Street

# Photograph Addendum

| | | | | | | | |
|---|---|---|---|---|---|---|---|
| Borrower | Derek Ritch & Alexis Ritch | | | | | | |
| Property Address | 17 David Dr | | | | | | |
| City | Johnston | County | Providence | State | RI | Zip Code | 02919 |
| Lender/Client | Shoreham Bank | | | | | | |

**kitchen**

**dining area**

**kitchen**

**living area**

**kitchen**

**gathering room**

# Photograph Addendum

| | | | | | | | |
|---|---|---|---|---|---|---|---|
| Borrower | Derek Ritch & Alexis Ritch | | | | | | |
| Property Address | 17 David Dr | | | | | | |
| City | Johnston | County | Providence | State | RI | Zip Code | 02919 |
| Lender/Client | Shoreham Bank | | | | | | |

**bedroom #1**



**bathroom**

**bedroom #2**

**electric on**

**bedroom #3**



**water on**

# Photograph Addendum

| | | | | | | | |
|---|---|---|---|---|---|---|---|
| Borrower | Derek Ritch & Alexis Ritch | | | | | | |
| Property Address | 17 David Dr | | | | | | |
| City | Johnston | County | Providence | State | RI | Zip Code | 02919 |
| Lender/Client | Shoreham Bank | | | | | | |

**rec room in finished basement**

**laundry room in finished basement**

**full bathroom in finished basement**

**fireplace and wet bar in rec room in finished basement**

# Photograph Addendum

| | | | | | | | |
|---|---|---|---|---|---|---|---|
| Borrower | Derek Ritch & Alexis Ritch | | | | | | |
| Property Address | 17 David Dr | | | | | | |
| City | Johnston | County | Providence | State | RI | Zip Code | 02919 |
| Lender/Client | Shoreham Bank | | | | | | |

**interior of garage**

**central vacuum**

**furnace**

**solar panels**

**circuit breakers**

**solar panels**

# Comparable Photos

| | | | | | | | |
|---|---|---|---|---|---|---|---|
| Borrower | Derek Ritch & Alexis Ritch | | | | | | |
| Property Address | 17 David Dr | | | | | | |
| City | Johnston | County | Providence | State | RI | Zip Code | 02919 |
| Lender/Client | Shoreham Bank | | | | | | |

## Comparable 1

29 Camille Dr

| | |
|---|---|
| Prox. to Subject | 0.82 miles N |
| Sales Price | 480,029 |
| Gross Living Area | 1,132 |
| Total Rooms | 6 |
| Total Bedrooms | 3 |
| Total Bathrooms | 1.0 |
| Location | N;Res; |
| View | N;Res; |
| Site | 7841 sf |
| Quality | Q4 |
| Age | 44 |

## Comparable 2

423 George Waterman Rd

| | |
|---|---|
| Prox. to Subject | 0.59 miles NE |
| Sales Price | 400,000 |
| Gross Living Area | 1,344 |
| Total Rooms | 6 |
| Total Bedrooms | 3 |
| Total Bathrooms | 1.0 |
| Location | A;BsyRd;Comm |
| View | N;Res; |
| Site | 6534 sf |
| Quality | Q4 |
| Age | 63 |

## Comparable 3

19 Contillo Dr

| | |
|---|---|
| Prox. to Subject | 0.16 miles SW |
| Sales Price | 460,000 |
| Gross Living Area | 1,490 |
| Total Rooms | 5 |
| Total Bedrooms | 3 |
| Total Bathrooms | 1.0 |
| Location | N;Res; |
| View | N;Res; |
| Site | 15253 sf |
| Quality | Q4 |
| Age | 65 |

# Comparable Photo Page

| | | | | | | | |
|---|---|---|---|---|---|---|---|
| Borrower | Derek Ritch & Alexis Ritch | | | | | | |
| Property Address | 17 David Dr | | | | | | |
| City | Johnston | County | Providence | State | RI | Zip Code | 02919 |
| Lender/Client | Shoreham Bank | | | | | | |

## Comparable 4

4 Audrey Dr

| | |
|---|---|
| Prox. to Subject | 0.14 miles SW |
| Sales Price | 500,000 |
| Gross Living Area | 1,236 |
| Total Rooms | 5 |
| Total Bedrooms | 3 |
| Total Bathrooms | 2.0 |
| Location | N;Res; |
| View | N;Res; |
| Site | 14375 sf |
| Quality | Q4 |
| Age | 31 |

## Comparable 5

4 Barbato Dr

| | |
|---|---|
| Prox. to Subject | 0.47 miles SW |
| Sales Price | 489,900 |
| Gross Living Area | 1,176 |
| Total Rooms | 6 |
| Total Bedrooms | 3 |
| Total Bathrooms | 1.1 |
| Location | N;Res; |
| View | N;Res; |
| Site | 15246 sf |
| Quality | Q4 |
| Age | 33 |

## Comparable 6

| | |
|---|---|
| Prox. to Subject | |
| Sales Price | |
| Gross Living Area | |
| Total Rooms | |
| Total Bedrooms | |
| Total Bathrooms | |
| Location | |
| View | |
| Site | |
| Quality | |
| Age | |

# Aerial Map

| | | | | | | | |
|---|---|---|---|---|---|---|---|
| Borrower | Derek Ritch & Alexis Ritch | | | | | | |
| Property Address | 17 David Dr | | | | | | |
| City | Johnston | County | Providence | State | RI | Zip Code | 02919 |
| Lender/Client | Shoreham Bank | | | | | | |

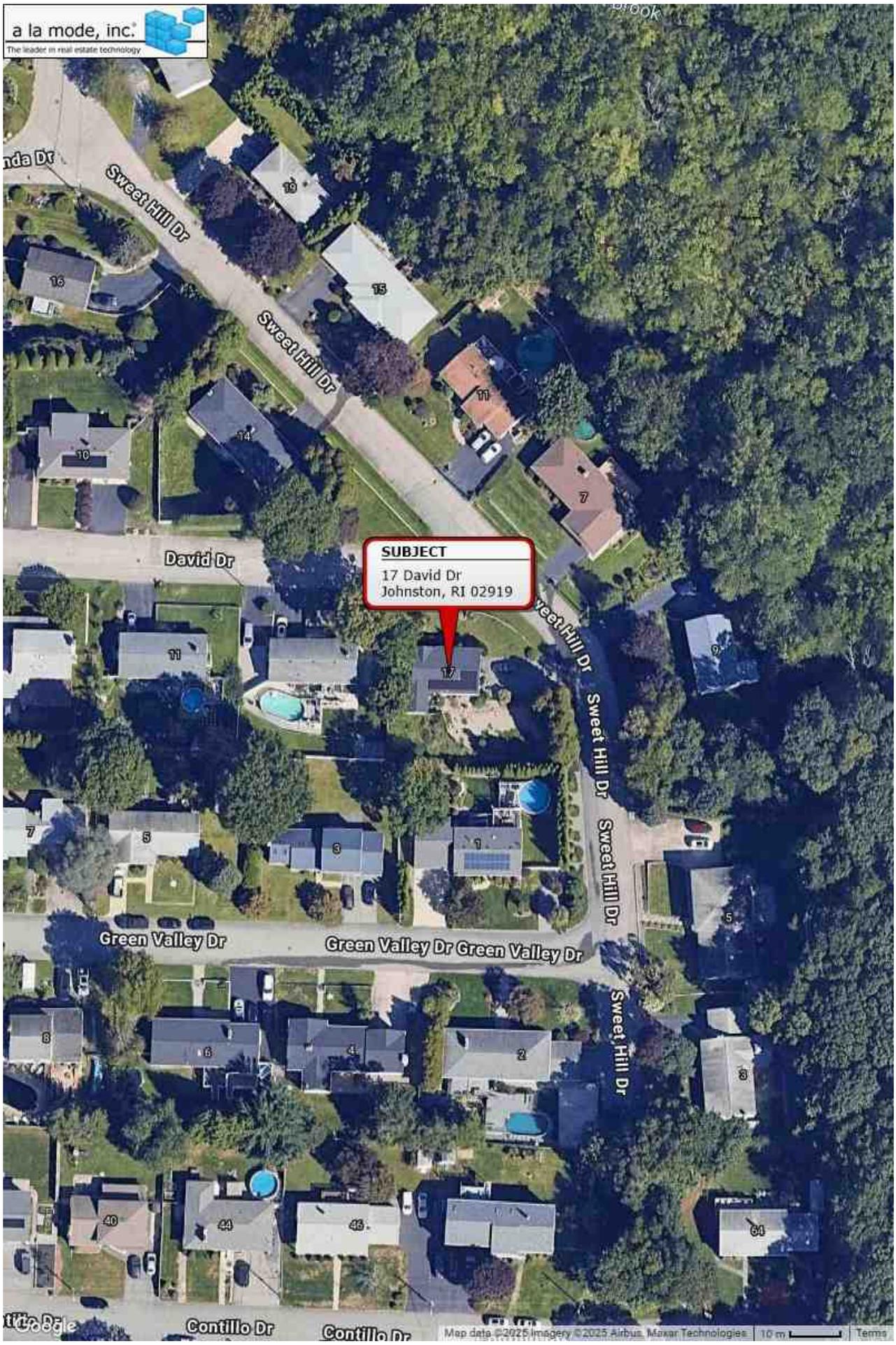

# Plat Map

DAVID DR
SWEET HILL DR
300
10433
301
10242
302
10695
288
9770
287
9435
286
10445
43.37
40.39
26.71
36.78
36.39
118.09
104.14
80.59
95.0
69.57
99.45
14.06
100

# Location Map

| | | | | | | | |
|---|---|---|---|---|---|---|---|
| Borrower | Derek Ritch & Alexis Ritch | | | | | | |
| Property Address | 17 David Dr | | | | | | |
| City | Johnston | County | Providence | State | RI | Zip Code | 02919 |
| Lender/Client | Shoreham Bank | | | | | | |

## TRUSTEE'S DEED

BK: 2231 PG: 114
INST: 0010501

**KNOW ALL MEN BY THESE PRESENTS, that we, Norman C. Rao and Barbara C. Rao, Trustees under the Rao Revocable Living Trust dated April 4, 1996,** of the City of Venice, County of Sarasota, State of Florida, for consideration paid in the amount of **Two Hundred Ten Thousand and 00/100 ($210,000.00) Dollars**, grants to **Eileen Bialek**, as Sole Owner,

The certain tract or parcel of land, with all buildings and improvements thereon, located at **17 David Drive, Johnston, Rhode Island**, and more particularly described as follows:

**SEE EXHIBIT "A" ATTACHED HERETO AND MADE A PART HEREOF**

The undersigned Grantors hereby covenants that she has complied with Section 8 of the Rhode Island Fire Safety Code regarding smoke detectors and carbon monoxide detectors in residential dwellings.

WITNESS our hands this 20th day of August 2012.

TAX $ 840.00
DATE 8-20-12
RECORDER
TOWN OF JOHNSTON

012705

RHODE ISLAND
REAL ESTATE CONVEYANCE TAX

**Norman C. Rao, Trustee under the Rao Revocable Living Trust dated April 4, 1996**

**Barbara C. Rao, Trustee under the Rao Revocable Living Trust dated April 4, 1996**

STATE OF RHODE ISLAND
COUNTY OF KENT

In Warwick on the 20th day of August 2012, before me personally appeared **Norman C. Rao and Barbara C. Rao, Trustees under the Rao Revocable Living Trust dated April 4, 1996** to me known and known by me to be the party executing the foregoing instrument as Trustees of said Trust, and they acknowledged said instrument, by them executed, to be their free act and deed both individually and in said capacities.

**Notary Public: Todd E. McNamara**
**MY COMM. EXPIRES: 2/6/14**

**GRANTEE'S ADDRESS:**
17 David Drive
Johnston, RI 02919

COPY

# Deed/Legal Description

UNOFFICIAL COPY

BK: 2231 PG: 115
INST: 0010504

**Exhibit A**
**Deed**

Plat 48 Lot 302
17 David Drive

That certain lot or parcel of land with all buildings and improvements thereon, situated at the southwesterly corner of David Drive and Sweet Hill Drive in the Town of Johnston and State of Rhode Island, laid out and designated as Lot No. 28 (twenty-eight) on that plat entitled, "Green Valley Estates Section #1 Johnston, Rhode Island owned by Green Valley Estates Incorporated Alanson St. John Hall-Registered Land Surveyor", which plat is recorded with the Land Evidence Records in said Town of Johnston on Plat Card 170.

Subject to restrictions of record.

VINCENT P. BACCARI JR.
TOWN OF JOHNSTON
TOWN CLERK
AUG 30 2012 01:00:39P

# Building Sketch (Page - 1)

| | | | | | | | |
|---|---|---|---|---|---|---|---|
| Borrower | Derek Ritch & Alexis Ritch | | | | | | |
| Property Address | 17 David Dr | | | | | | |
| City | Johnston | County | Providence | State | RI | Zip Code | 02919 |
| Lender/Client | Shoreham Bank | | | | | | |

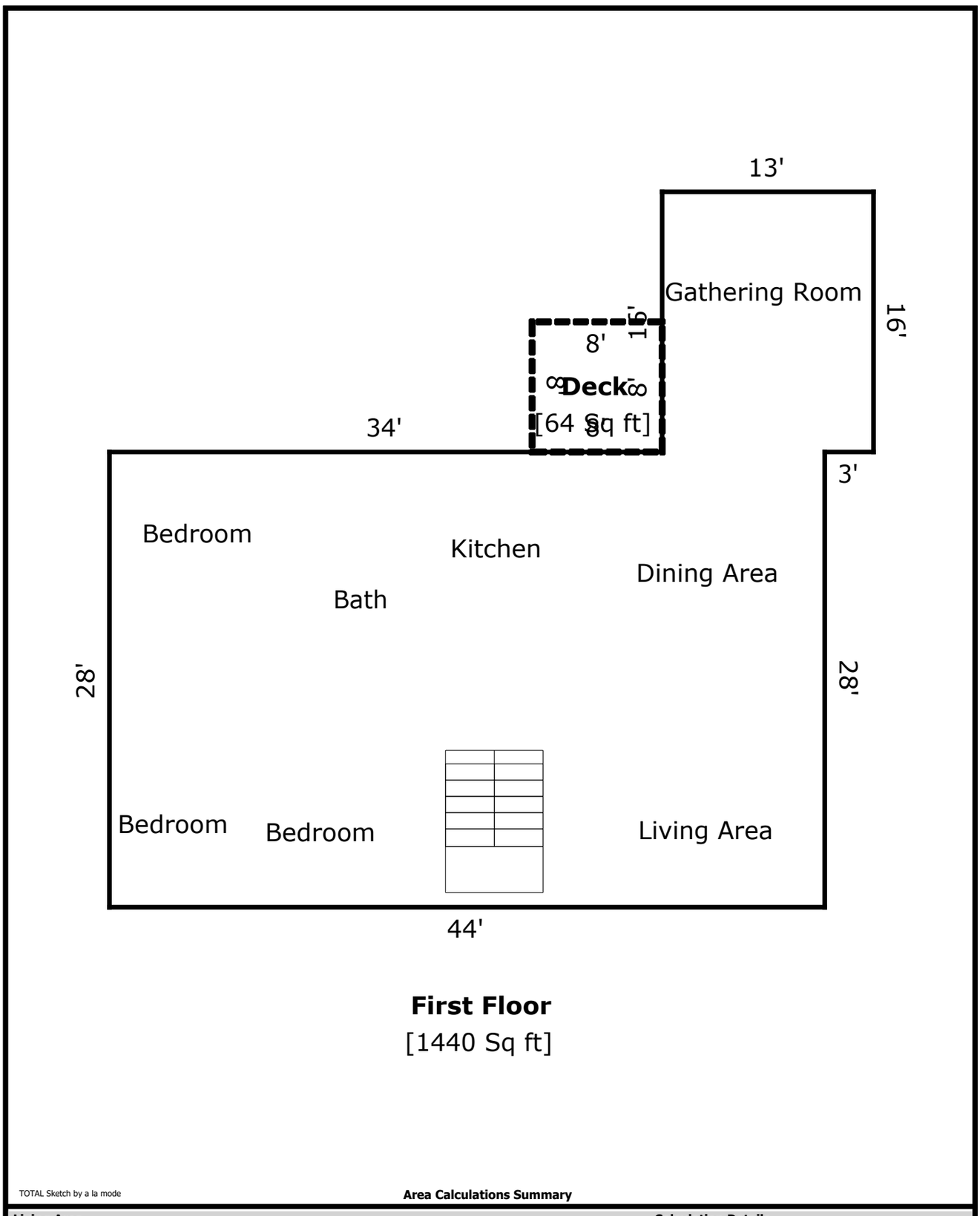


TOTAL Sketch by a la mode

**Area Calculations Summary**

| **Living Area** | | **Calculation Details** |
|---|---|---|
| First Floor | 1440 Sq ft | 44 × 28= 1232 |
| | | 13 × 16= 208 |
| **Total Living Area (Rounded):** | **1440 Sq ft** | |
| **Non-living Area** | | |
| Deck | 64 Sq ft | 8 × 8 = 64 |

# Building Sketch (Page - 2)

| | | | | | | | |
|---|---|---|---|---|---|---|---|
| Borrower | Derek Ritch & Alexis Ritch | | | | | | |
| Property Address | 17 David Dr | | | | | | |
| City | Johnston | County | Providence | State | RI | Zip Code | 02919 |
| Lender/Client | Shoreham Bank | | | | | | |

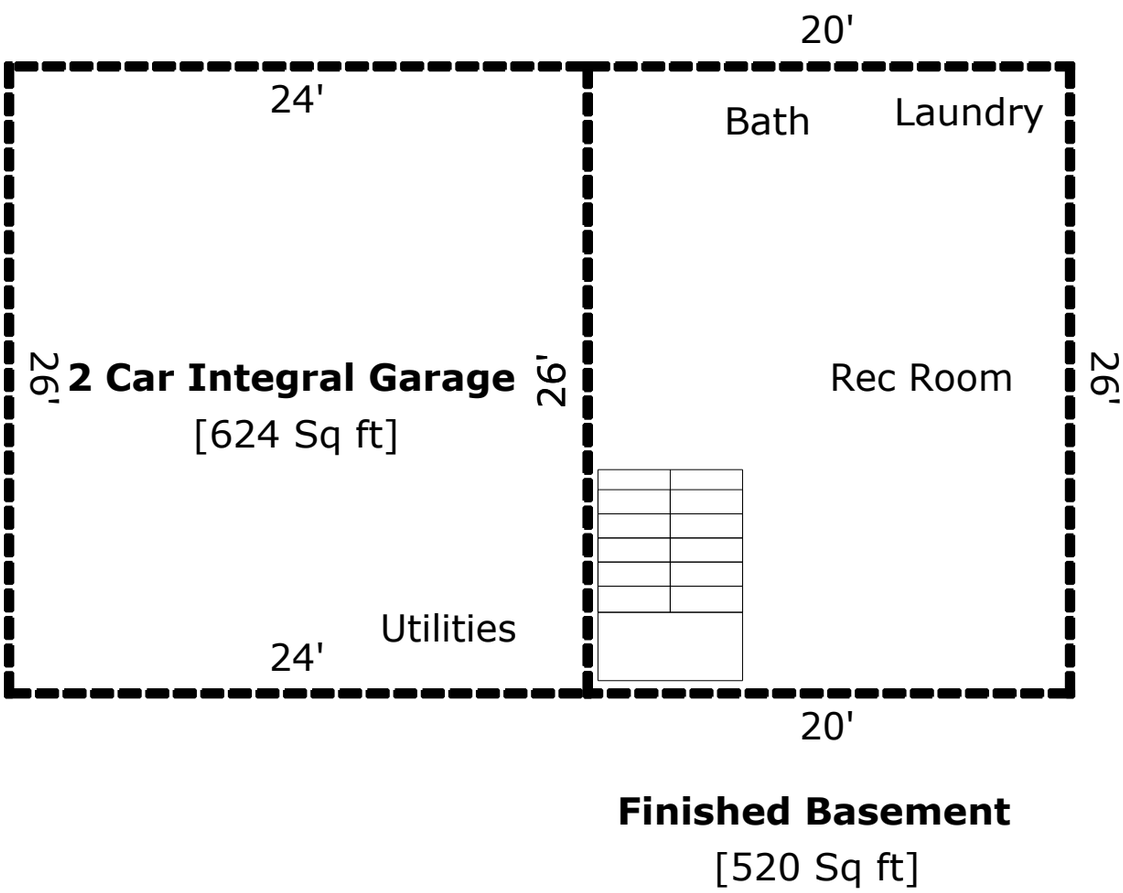


TOTAL Sketch by a la mode

**Area Calculations Summary**

| **Non-living Area** | | |
|---|---|---|
| Finished Basement | 520 Sq ft | 20 × 26= 520 |
| 2 Car Integral Garage | 624 Sq ft | 26 × 24= 624 |

# Historic 12 Month Sales Price Trend

# Certification

State of Rhode Island
Department of Business Regulation
Division of Commercial Licensing
Real Estate Appraisers Section

## CERTIFIED RESIDENTIAL APPRAISER

**(In accordance with Title 5, Chapter 20.7 of the General Laws of Rhode Island relating to Real Estate Appraisers)**

Pursuant to the vested authority and having received full payment of the required fee, the Department of Business Regulation has licensed/certified:

**Margaret M. Demopulos**

The person, firm, or partnership named herein, may engage in the business of appraisal practice, provided he/she shall, in all respects, conform to the Provisions of Title 5, Chapter 20.7 of the General Laws of Rhode Island, as amended, and the rules and regulations issued under the authority thereof,
beginning 03/05/2024 and ending 03/04/2026
unless this license is suspended, revoked, or voluntarily returned to the Department of Business Regulation, Commercial Licensing, during this period.

Certification No.: CRA.0A00902

Kenneth P. Gates
Chairperson, Real Estate Appraisers Board

GREAT AMERICAN INSURANCE GROUP

301 E. Fourth Street, Cincinnati, OH 45202

# DECLARATIONS
for
## REAL ESTATE APPRAISERS ERRORS & OMISSIONS INSURANCE POLICY

**THIS IS BOTH A CLAIMS MADE AND REPORTED INSURANCE POLICY.**

**THIS POLICY APPLIES TO THOSE CLAIMS THAT ARE FIRST MADE AGAINST THE INSURED AND REPORTED IN WRITING TO THE COMPANY DURING THE POLICY PERIOD.**

Insurance is afforded by the company indicated below: (A capital stock corporation)

☒ Great American Assurance Company

Note: The Insurance Company selected above shall herein be referred to as the **Company**.

Policy Number: **RAP4115646-25** Renewal of: **RAP4115646-24**

Program Administrator: **Herbert H. Landy Insurance Agency Inc.**
**100 River Ridge Drive, Suite 301 Norwood, MA 02062**

---

Item 1. **Named Insured**: **Margaret M. Demopulos**

Item 2. **Address**: **3 Baldwin Drive**
City, State, Zip Code: **Greenville, RI 02828**

Item 3. **Policy Period**: From **02/01/2025** *(Month, Day, Year)* To **02/01/2026** *(Month, Day, Year)*
(Both dates at 12:01 a.m. Standard Time at the address of the **Named Insured** as stated in Item 2.)

Item 4. **Limits of Liability**:

A. $ **1,000,000** **Damages** Limit of Liability – Each **Claim**

B. $ **1,000,000** **Claim Expenses** Limit of Liability – Each **Claim**

C. $ **1,000,000** **Damages** Limit of Liability – Policy Aggregate

D. $ **1,000,000** **Claim Expenses** Limit of Liability – Policy Aggregate

Item 5. **Deductible** (Inclusive of **Claim Expenses**):

A. $ **0.00** Each **Claim**

B. $ **0.00** Aggregate

Item 6. **Premium**: $ **598.00**

Item 7. **Retroactive Date** (if applicable): **02/01/2007**

Item 8. **Forms, Notices and Endorsements attached**:

**D42100 (03/15) D42300 RI (05/13) IL7324 (07/21)**
**D42402 (05/13) D42408 (05/13) D42412 (03/17) D42413 (06/17)**
**D42414 (08/19)**

Authorized Representative



Form SCNLGL - "TOTAL" appraisal software by a la mode, inc. - 1-800-ALAMODE