Uniform Residential Appraisal Report

File # 257-04071

The purpose of this summary appraisal report is to provide the lender/client with an accurate, and adequately supported, opinion of the market value of the subject property.

SUBJECT

Property Address 6808 Neil St | City Riverside | State CA | Zip Code 92504
Borrower Anthony Rios & Anthony E Rios | Owner of Public Record Anthony E Rios and Leslie Martinez-Rubio | County Riverside
Legal Description .20 ACRES M/L IN PAR 2 RS 038/046
Assessor's Parcel # 189-230-029 | Tax Year 2024 | R.E. Taxes $ 5176
Neighborhood Name Riverside | Map Reference GPS | Census Tract 0309.00
Occupant ☐ Owner ☒ Tenant ☐ Vacant | Special Assessments $ 0 | ☐ PUD | HOA $ 0 | ☐ per year ☐ per month
Property Rights Appraised ☒ Fee Simple ☐ Leasehold ☐ Other (describe)
Assignment Type ☐ Purchase Transaction ☒ Refinance Transaction ☐ Other (describe)
Lender/Client The Loan Store | Address 6340 N Campbell Ave #100, Tucson, AZ 85718
Is the subject property currently offered for sale or has it been offered for sale in the twelve months prior to the effective date of this appraisal? ☐ Yes ☒ No
Report data source(s) used, offering price(s), and date(s).
Per CRMLS, there are no known listings of the subject property in the prior 36 months.

CONTRACT

I ☐ did ☐ did not analyze the contract for sale for the subject purchase transaction. Explain the results of the analysis of the contract for sale or why the analysis was not performed.

Contract Price $ | Date of Contract | Is the property seller the owner of public record? ☐ Yes ☐ No | Data Source(s)
Is there any financial assistance (loan charges, sale concessions, gift or downpayment assistance, etc.) to be paid by any party on behalf of the borrower? ☐ Yes ☐ No
If Yes, report the total dollar amount and describe the items to be paid.

NEIGHBORHOOD

Note: Race and the racial composition of the neighborhood are not appraisal factors.

Neighborhood Characteristics			One-Unit Housing Trends			One-Unit Housing			Present Land Use %	
Location	☐ Urban	☒ Suburban ☐ Rural	Property Values	☐ Increasing	☒ Stable ☐ Declining	PRICE		AGE	One-Unit	85 %
Built-Up	☒ Over 75%	☐ 25-75% ☐ Under 25%	Demand/Supply	☐ Shortage	☒ In Balance ☐ Over Supply	$(000)		(yrs)	2-4 Unit	5 %
Growth	☐ Rapid	☒ Stable ☐ Slow	Marketing Time	☒ Under 3 mths	☐ 3-6 mths ☐ Over 6 mths	440	Low	19	Multi-Family	5 %
Neighborhood Boundaries						670	High	125	Commercial	5 %
Jurupa Ave (North), California Ave (South), Grand Ave (East), Van Buren Ave (West)						572	Pred.	66	Other	%

Neighborhood Description
The subject property is located in a residential area with similar properties. It is located within 10 miles of shopping, schools, support facilities, and Employment centers.

Market Conditions (including support for the above conclusions)
See attached addendum

SITE

Dimensions See Attached Plat Map | Area 8712 sf | Shape Mostly Rectangular | View N;Res;
Specific Zoning Classification BMP | Zoning Description Business Manufacture Park
Zoning Compliance ☐ Legal ☒ Legal Nonconforming (Grandfathered Use) ☐ No Zoning ☐ Illegal (describe)
Is the highest and best use of subject property as improved (or as proposed per plans and specifications) the present use? ☒ Yes ☐ No If No, describe.
See attached addendum for full analysis.

Utilities	Public	Other (describe)		Public	Other (describe)	Off-site Improvements-Type		Public	Private
Electricity	☒	☐	Water	☒	☐	Street	Asphalt	☒	☐
Gas	☒	☐	Sanitary Sewer	☒	☐	Alley	None	☐	☐

FEMA Special Flood Hazard Area ☐ Yes ☒ No | FEMA Flood Zone X | FEMA Map # 06065C0710G | FEMA Map Date 08/28/2008
Are the utilities and off-site improvements typical for the market area? ☒ Yes ☐ No If No, describe.
Are there any adverse site conditions or external factors (easements, encroachments, environmental conditions, land uses, etc.)? ☐ Yes ☒ No If Yes, describe.
There were no apparent adverse easements, encroachments, environmental issues, or incompatible land uses noted. The subject is located near Riverside Municipal Airport and abuts a religious campus. There are no adveres effects on value or marketability noted.

IMPROVEMENTS

General Description		Foundation		Exterior Description	materials/condition	Interior	materials/condition
Units	☐ One ☒ One with Accessory Unit	☐ Concrete Slab	☐ Crawl Space	Foundation Walls	Concrete/Average	Floors	Tile/Crpt-Average
# of Stories	1	☒ Full Basement	☐ Partial Basement	Exterior Walls	Stucco/Average	Walls	Drywall/Average
Type	☒ Det. ☐ Att. ☐ S-Det./End Unit	Basement Area	941 sq. ft.	Roof Surface	CompShgl/Average	Trim/Finish	Wood/Average
☒ Existing	☐ Proposed ☐ Under Const.	Basement Finish	100 %	Gutters & Downspouts	None	Bath Floor	Tile/Average
Design (Style)	Contemporary	☒ Outside Entry/Exit	☐ Sump Pump	Window Type	DualPane/Average	Bath Wainscot	Fiberglass/Avg
Year Built	1926	Evidence of	☐ Infestation	Storm Sash/Insulated	None/Average	Car Storage	☐ None
Effective Age (Yrs)	25	☐ Dampness	☐ Settlement	Screens	Yes/Average	☒ Driveway	# of Cars 2
Attic	☐ None	Heating	☐ FWA ☐ HWBB ☐ Radiant	Amenities	☐ WoodStove(s) # 0	Driveway Surface	Concrete
☐ Drop Stair	☐ Stairs	☒ Other Ductless	Fuel Electric	☐ Fireplace(s) # 0	☒ Fence Wood	☐ Garage	# of Cars 0
☐ Floor	☒ Scuttle	Cooling	☐ Central Air Conditioning	☒ Patio/Deck Cvr	☒ Porch Cover	☒ Carport	# of Cars 1
☐ Finished	☐ Heated	☐ Individual	☒ Other Ductless	☐ Pool None	☐ Other None	☒ Att.	☐ Det ☐ Built-in

Appliances ☐ Refrigerator ☒ Range/Oven ☒ Dishwasher ☒ Disposal ☐ Microwave ☐ Washer/Dryer ☐ Other (describe)
Finished area above grade contains: 4 Rooms | 2 Bedrooms | 1.0 Bath(s) | 1050 Square Feet of Gross Living Area Above Grade
Additional features (special energy efficient items, etc.)
Smoke & Carbon Monoxide Alarms present. Water Heater double strapped. All utilities on; All systems appear to be functional.

Describe the condition of the property (including needed repairs, deterioration, renovations, remodeling, etc.).
C3;Kitchen-updated-one to five years ago;Bathrooms-updated-one to five years ago;Improvements consists of Butcher block counters updated cabinets and appliances, laminate wood and carpet flooring, bathroom have tile flooring. There were no apparent repairs needed.

Are there any physical deficiencies or adverse conditions that affect the livability, soundness, or structural integrity of the property? ☐ Yes ☒ No If Yes, describe

Does the property generally conform to the neighborhood (functional utility, style, condition, use, construction, etc.)? ☒ Yes ☐ No If No, describe

Uniform Residential Appraisal Report

800109318

File # 257-04071

There are 14 comparable properties currently offered for sale in the subject neighborhood ranging in price from $ 500000 to $ 650000

There are 46 comparable sales in the subject neighborhood within the past twelve months ranging in sale price from $ 440000 to $ 670000

SALES COMPARISON APPROACH

FEATURE	SUBJECT	COMPARABLE SALE # 1		COMPARABLE SALE # 2		COMPARABLE SALE # 3	
Address	6808 Neil St Riverside, CA 92504	8463 California Ave Riverside, CA 92504		6191 Streeter Ave Riverside, CA 92504		5464 Beatty Dr Riverside, CA 92504	
Proximity to Subject		0.78 miles SE		1.29 miles NE		0.97 miles NE	
Sale Price	$		$ 575000		$ 655000		$ 634000
Sale Price/Gross Liv. Area	$ 0.00 sq.ft.	$ 521.78 sq.ft.		$ 503.46 sq.ft.		$ 567.08 sq.ft.	
Data Source(s)		CRMLS #IV25133691;DOM 26		CRMLS #PW25017997;DOM 52		CRMLS #CV24212179;DOM 62	
Verification Source(s)		Doc # Not Published		Doc # Not Published		Doc #12876/Realist	
VALUE ADJUSTMENTS	DESCRIPTION	DESCRIPTION	+ (-) $ Adjustment	DESCRIPTION	+ (-) $ Adjustment	DESCRIPTION	+ (-) $ Adjustment
Sale or Financing Concessions		ArmLth FHA;7500	0	ArmLth Conv;12500	0	ArmLth FHA;0	
Date of Sale/Time		s08/25;c07/25	0	s07/25;c05/25	4000	s01/25;c12/24	11000
Location	N;Ind;	N;BsyRd;	0	N;BsyRd;	0	N;Res;	0
Leasehold/Fee Simple	Fee Simple	Fee Simple		Fee Simple		Fee Simple	
Site	8712 sf	14810 sf	-6100	7841 sf	0	7405 sf	1300
View	N;Res;	N;Res;		N;Res;		N;Res;	
Design (Style)	DT1;Contemporary	DT1;Contemporary		DT1;Contemporary		DT1;Contemporary	
Quality of Construction	Q4	Q4		Q4		Q4	
Actual Age	99	75	0	65	0	71	0
Condition	C3	C3		C3		C3	
Above Grade Room Count (Total / Bdrms. / Baths)	4 / 2 / 1.0	4 / 2 / 1.0		6 / 3 / 2.0	-8000 / -5000	6 / 4 / 2.0	-16000 / -5000
Gross Living Area	1050 sq.ft.	1102 sq.ft.	0	1301 sq.ft.	-18800	1118 sq.ft.	0
Basement & Finished Rooms Below Grade	941sf941sfwo 0rr2br1.0ba0o	0sf	0 0	0sf	0 0	0sf	0 0
Functional Utility	Typical	Typical		Typical		Typical	
Heating/Cooling	Ductless Ductless	FWA/CAC	0	FWA/CAC	0	FWA/CAC	0
Energy Efficient Items	None	None		Solar Electric (F)	0	None	
Garage/Carport	1cp2dw	2ga2dw	-10000	0cp2dw	0	2dw	0
Porch/Patio/Deck	Cover/Cover	Cover/Slab	2000	Cover/Cover		Cover/Cover	
Pool/Fireplace	No Pool/None	No Pool/None		No Pool/1 Fireplace	-1000	No Pool/None	
ADU	ADU	None	60000	ADU		ADU	
Original List Price	NA	$600,000/100.2%	0	$649,900/97.6%	0	12/13/2024/100.0%	0
Net Adjustment (Total)		☒ + ☐ -	$ 45900	☐ + ☒ -	$ 28800	☐ + ☒ -	$ 8700
Adjusted Sale Price of Comparables		Net Adj. 8.0 % Gross Adj. 13.6 %	$ 620900	Net Adj. -4.4 % Gross Adj. 5.6 %	$ 626200	Net Adj. -1.4 % Gross Adj. 5.3 %	$ 625300

I ☒ did ☐ did not research the sale or transfer history of the subject property and comparable sales. If not, explain

My research ☐ did ☒ did not reveal any prior sales or transfers of the subject property for the three years prior to the effective date of this appraisal.

Data source(s) Realist

My research ☒ did ☐ did not reveal any prior sales or transfers of the comparable sales for the year prior to the date of sale of the comparable sale.

Data source(s) Realist

Report the results of the research and analysis of the prior sale or transfer history of the subject property and comparable sales (report additional prior sales on page 3).

ITEM	SUBJECT	COMPARABLE SALE #1	COMPARABLE SALE #2	COMPARABLE SALE #3
Date of Prior Sale/Transfer				05/22/2024
Price of Prior Sale/Transfer				446000
Data Source(s)	Realist	Realist	Realist	Realist
Effective Date of Data Source(s)	08/08/2025	08/08/2025	08/08/2025	06/13/2025

Analysis of prior sale or transfer history of the subject property and comparable sales

Comp 3 prior appears to have been an investor purchase for remodel & resale. Current SP reflects improvements/repairs.

Summary of Sales Comparison Approach

See Attached Addendum. See additional Comps 4-6.

Indicated Value by Sales Comparison Approach $ 625000

RECONCILIATION

Indicated Value by: Sales Comparison Approach $ 625000 Cost Approach (if developed) $ 627300 Income Approach (if developed) $ 0

Most consideration given to the market approach as it the most recognized pricing technique with typically knowledgeable buyers and sellers in the market place. The cost approach supportive but given secondary consideration. The income approach was not developed as these homes are not typically purchased for income producing abilities.

This appraisal is made ☒ "as is," ☐ subject to completion per plans and specifications on the basis of a hypothetical condition that the improvements have been completed, ☐ subject to the following repairs or alterations on the basis of a hypothetical condition that the repairs or alterations have been completed, or ☐ subject to the following required inspection based on the extraordinary assumption that the condition or deficiency does not require alteration or repair:

There were no apparent health or safety issues and no apparent repairs needed. This appraisal is made "as is".

Based on a complete visual inspection of the interior and exterior areas of the subject property, defined scope of work, statement of assumptions and limiting conditions, and appraiser's certification, my (our) opinion of the market value, as defined, of the real property that is the subject of this report is $ 625000 as of 08/07/2025 , which is the date of inspection and the effective date of this appraisal.

Uniform Residential Appraisal Report

800109318
File # 257-04071

ADDITIONAL COMMENTS

The Intended User of this appraisal report is the Lender/Client. The Intended Use is to evaluate the property that is the subject of this appraisal is for mortgage finance transaction for subject to the stated Scope of Work, purpose of the appraisal, reporting requirements of this appraisal report form, and Definition of Market Value. No additional Intended Users are identified by the appraiser.

As required by Fannie Mae, Freddie Mac, HUD, VA and others, this appraisal report includes attachments, exhibits, and other addendum necessary (and often critical) for the client and or intended user to recognize the scope of work and development of the value opinion.

The attachments assist in understanding the relevant characteristics of the subject property and may identify issues (if any) that should be addressed. They include data and analysis deemed necessary to provide the client with a credible value opinion.

It is recommended that the client, intended user or any other reader review the report in its entirety so as to gain full awareness of the subject property, its market environment and the basis of the appraisal prior to using the value opinion in a business, investment or underwriting decision. See table of contents for all attached pages.

The Sale Comparison Analysis was given the most weight in the final value conclusion for the subject property.

Cost approach deemed limited in reliability due to lack land sale and high building costs.

The Income Approach was not developed, as it not considered being relevant, as SFR's in this market is not typically purchased for income producing purposes.

This appraisal report is not intended to be used as a property inspection. The visual inspection performed by the appraiser is limited in nature, as the appraiser is not an expert in the field of property inspection. Should the intended user of this appraisal report have concerns regarding the subject property, it is urged to consult with a professional property inspector.

Appraiser has completed subject measurements and sketch floorplan addendum to ANSI Z765-2021

COST APPROACH

COST APPROACH TO VALUE (not required by Fannie Mae)

Provide adequate information for the lender/client to replicate the below cost figures and calculations.

Support for the opinion of site value (summary of comparable land sales or other methods for estimating site value)

Land value derived from extraction method. Land value is noted exceed value by 35%, however, this ratio is typical for this market. No adverse effect on value or marketability due to high land value. Cost approach deemed limited in reliability due to high building costs and the lack of land sales.

ESTIMATED ☐ REPRODUCTION OR ☒ REPLACEMENT COST NEW

Source of cost data DwellingCost

Quality rating from cost service 3.0 Effective date of cost data 08/07/2025

Comments on Cost Approach (gross living area calculations, depreciation, etc.)

Cost data was modified using a multiplier based on the zip code 92504. The quality rating of 3.0 describes a property of moderate quality employing readily accessible standard materials from local suppliers and built by personnel with intermediate skills. These buildings meet or may surpass applicable building codes.

Estimated Remaining Economic Life (HUD and VA only) 60 Years

OPINION OF SITE VALUE			=$	425000
Dwelling 1050	Sq. Ft. @ $ 161.74		=$	169827
Bsmt: 941	Sq. Ft. @ $ 64.21		=$	60224
			=$	
Garage/Carport	Sq. Ft. @ $		=$	0
Total Estimate of Cost-New			=$	230051
Less	Physical	Functional	External	
Depreciation	67716			=$ (67716)
Depreciated Cost of Improvements			=$	162335
"As-is" Value of Site Improvements			=$	40000
Indicated Value by Cost Approach			=$	627300

INCOME

INCOME APPROACH TO VALUE (not required by Fannie Mae)

Estimated Monthly Market Rent $ X Gross Rent Multiplier = $ 0 Indicated Value by Income Approach

Summary of Income Approach (including support for market rent and GRM)

Income approach not developed. See additional comments.

PUD INFORMATION

PROJECT INFORMATION FOR PUDs (if applicable)

Is the developer/builder in control of the Homeowners' Association (HOA)? ☐ Yes ☐ No Unit type(s) ☐ Detached ☐ Attached

Provide the following information for PUDs ONLY if the developer/builder is in control of the HOA and the subject property is an attached dwelling unit.

Legal Name of Project

Total number of phases Total number of units Total number of units sold

Total number of units rented Total number of units for sale Data source(s)

Was the project created by the conversion of existing building(s) into a PUD? ☐ Yes ☐ No If Yes, date of conversion

Does the project contain any multi-dwelling units? ☐ Yes ☐ No Data source(s)

Are the units, common elements, and recreation facilities complete? ☐ Yes ☐ No If No, describe the status of completion.

Are the common elements leased to or by the Homeowners' Association? ☐ Yes ☐ No If Yes, describe the rental terms and options.

Describe common elements and recreational facilities

Uniform Residential Appraisal Report

This report form is designed to report an appraisal of a one-unit property or a one-unit property with an accessory unit; including a unit in a planned unit development (PUD). This report form is not designed to report an appraisal of a manufactured home or a unit in a condominium or cooperative project.

This appraisal report is subject to the following scope of work, intended use, intended user, definition of market value, statement of assumptions and limiting conditions, and certifications. Modifications, additions, or deletions to the intended use, intended user, definition of market value, or assumptions and limiting conditions are not permitted. The appraiser may expand the scope of work to include any additional research or analysis necessary based on the complexity of this appraisal assignment. Modifications or deletions to the certifications are also not permitted. However, additional certifications that do not constitute material alterations to this appraisal report, such as those required by law or those related to the appraiser's continuing education or membership in an appraisal organization, are permitted.

SCOPE OF WORK: The scope of work for this appraisal is defined by the complexity of this appraisal assignment and the reporting requirements of this appraisal report form, including the following definition of market value, statement of assumptions and limiting conditions, and certifications. The appraiser must, at a minimum: (1) perform a complete visual inspection of the interior and exterior areas of the subject property, (2) inspect the neighborhood, (3) inspect each of the comparable sales from at least the street, (4) research, verify, and analyze data from reliable public and/or private sources, and (5) report his or her analysis, opinions, and conclusions in this appraisal report.

INTENDED USE: The intended use of this appraisal report is for the lender/client to evaluate the property that is the subject of this appraisal for a mortgage finance transaction.

INTENDED USER: The intended user of this appraisal report is the lender/client.

DEFINITION OF MARKET VALUE: The most probable price which a property should bring in a competitive and open market under all conditions requisite to a fair sale, the buyer and seller, each acting prudently, knowledgeably and assuming the price is not affected by undue stimulus. Implicit in this definition is the consummation of a sale as of a specified date and the passing of title from seller to buyer under conditions whereby: (1) buyer and seller are typically motivated; (2) both parties are well informed or well advised, and each acting in what he or she considers his or her own best interest; (3) a reasonable time is allowed for exposure in the open market; (4) payment is made in terms of cash in U. S. dollars or in terms of financial arrangements comparable thereto; and (5) the price represents the normal consideration for the property sold unaffected by special or creative financing or sales concessions* granted by anyone associated with the sale.

*Adjustments to the comparables must be made for special or creative financing or sales concessions. No adjustments are necessary for those costs which are normally paid by sellers as a result of tradition or law in a market area; these costs are readily identifiable since the seller pays these costs in virtually all sales transactions. Special or creative financing adjustments can be made to the comparable property by comparisons to financing terms offered by a third party institutional lender that is not already involved in the property or transaction. Any adjustment should not be calculated on a mechanical dollar for dollar cost of the financing or concession but the dollar amount of any adjustment should approximate the market's reaction to the financing or concessions based on the appraiser's judgment.

STATEMENT OF ASSUMPTIONS AND LIMITING CONDITIONS: The appraiser's certification in this report is subject to the following assumptions and limiting conditions:

1. The appraiser will not be responsible for matters of a legal nature that affect either the property being appraised or the title to it, except for information that he or she became aware of during the research involved in performing this appraisal. The appraiser assumes that the title is good and marketable and will not render any opinions about the title.

2. The appraiser has provided a sketch in this appraisal report to show the approximate dimensions of the improvements. The sketch is included only to assist the reader in visualizing the property and understanding the appraiser's determination of its size.

3. The appraiser has examined the available flood maps that are provided by the Federal Emergency Management Agency (or other data sources) and has noted in this appraisal report whether any portion of the subject site is located in an identified Special Flood Hazard Area. Because the appraiser is not a surveyor, he or she makes no guarantees, express or implied, regarding this determination.

4. The appraiser will not give testimony or appear in court because he or she made an appraisal of the property in question, unless specific arrangements to do so have been made beforehand, or as otherwise required by law.

5. The appraiser has noted in this appraisal report any adverse conditions (such as needed repairs, deterioration, the presence of hazardous wastes, toxic substances, etc.) observed during the inspection of the subject property or that he or she became aware of during the research involved in performing this appraisal. Unless otherwise stated in this appraisal report, the appraiser has no knowledge of any hidden or unapparent physical deficiencies or adverse conditions of the property (such as, but not limited to, needed repairs, deterioration, the presence of hazardous wastes, toxic substances, adverse environmental conditions, etc.) that would make the property less valuable, and has assumed that there are no such conditions and makes no guarantees or warranties, express or implied. The appraiser will not be responsible for any such conditions that do exist or for any engineering or testing that might be required to discover whether such conditions exist. Because the appraiser is not an expert in the field of environmental hazards, this appraisal report must not be considered as an environmental assessment of the property.

6. The appraiser has based his or her appraisal report and valuation conclusion for an appraisal that is subject to satisfactory completion, repairs, or alterations on the assumption that the completion, repairs, or alterations of the subject property will be performed in a professional manner.

Uniform Residential Appraisal Report

APPRAISER'S CERTIFICATION: The Appraiser certifies and agrees that:

1. I have, at a minimum, developed and reported this appraisal in accordance with the scope of work requirements stated in this appraisal report.

2. I performed a complete visual inspection of the interior and exterior areas of the subject property. I reported the condition of the improvements in factual, specific terms. I identified and reported the physical deficiencies that could affect the livability, soundness, or structural integrity of the property.

3. I performed this appraisal in accordance with the requirements of the Uniform Standards of Professional Appraisal Practice that were adopted and promulgated by the Appraisal Standards Board of The Appraisal Foundation and that were in place at the time this appraisal report was prepared.

4. I developed my opinion of the market value of the real property that is the subject of this report based on the sales comparison approach to value. I have adequate comparable market data to develop a reliable sales comparison approach for this appraisal assignment. I further certify that I considered the cost and income approaches to value but did not develop them, unless otherwise indicated in this report.

5. I researched, verified, analyzed, and reported on any current agreement for sale for the subject property, any offering for sale of the subject property in the twelve months prior to the effective date of this appraisal, and the prior sales of the subject property for a minimum of three years prior to the effective date of this appraisal, unless otherwise indicated in this report.

6. I researched, verified, analyzed, and reported on the prior sales of the comparable sales for a minimum of one year prior to the date of sale of the comparable sale, unless otherwise indicated in this report.

7. I selected and used comparable sales that are locationally, physically, and functionally the most similar to the subject property.

8. I have not used comparable sales that were the result of combining a land sale with the contract purchase price of a home that has been built or will be built on the land.

9. I have reported adjustments to the comparable sales that reflect the market's reaction to the differences between the subject property and the comparable sales.

10. I verified, from a disinterested source, all information in this report that was provided by parties who have a financial interest in the sale or financing of the subject property.

11. I have knowledge and experience in appraising this type of property in this market area.

12. I am aware of, and have access to, the necessary and appropriate public and private data sources, such as multiple listing services, tax assessment records, public land records and other such data sources for the area in which the property is located.

13. I obtained the information, estimates, and opinions furnished by other parties and expressed in this appraisal report from reliable sources that I believe to be true and correct.

14. I have taken into consideration the factors that have an impact on value with respect to the subject neighborhood, subject property, and the proximity of the subject property to adverse influences in the development of my opinion of market value. I have noted in this appraisal report any adverse conditions (such as, but not limited to, needed repairs, deterioration, the presence of hazardous wastes, toxic substances, adverse environmental conditions, etc.) observed during the inspection of the subject property or that I became aware of during the research involved in performing this appraisal. I have considered these adverse conditions in my analysis of the property value, and have reported on the effect of the conditions on the value and marketability of the subject property.

15. I have not knowingly withheld any significant information from this appraisal report and, to the best of my knowledge, all statements and information in this appraisal report are true and correct.

16. I stated in this appraisal report my own personal, unbiased, and professional analysis, opinions, and conclusions, which are subject only to the assumptions and limiting conditions in this appraisal report.

17. I have no present or prospective interest in the property that is the subject of this report, and I have no present or prospective personal interest or bias with respect to the participants in the transaction. I did not base, either partially or completely, my analysis and/or opinion of market value in this appraisal report on the race, color, religion, sex, age, marital status, handicap, familial status, or national origin of either the prospective owners or occupants of the subject property or of the present owners or occupants of the properties in the vicinity of the subject property or on any other basis prohibited by law.

18. My employment and/or compensation for performing this appraisal or any future or anticipated appraisals was not conditioned on any agreement or understanding, written or otherwise, that I would report (or present analysis supporting) a predetermined specific value, a predetermined minimum value, a range or direction in value, a value that favors the cause of any party, or the attainment of a specific result or occurrence of a specific subsequent event (such as approval of a pending mortgage loan application).

19. I personally prepared all conclusions and opinions about the real estate that were set forth in this appraisal report. If I relied on significant real property appraisal assistance from any individual or individuals in the performance of this appraisal or the preparation of this appraisal report, I have named such individual(s) and disclosed the specific tasks performed in this appraisal report. I certify that any individual so named is qualified to perform the tasks. I have not authorized anyone to make a change to any item in this appraisal report; therefore, any change made to this appraisal is unauthorized and I will take no responsibility for it.

20. I identified the lender/client in this appraisal report who is the individual, organization, or agent for the organization that ordered and will receive this appraisal report.

Uniform Residential Appraisal Report

800109318

File # 257-04071

21. The lender/client may disclose or distribute this appraisal report to: the borrower; another lender at the request of the borrower; the mortgagee or its successors and assigns; mortgage insurers; government sponsored enterprises; other secondary market participants; data collection or reporting services; professional appraisal organizations; any department, agency, or instrumentality of the United States; and any state, the District of Columbia, or other jurisdictions; without having to obtain the appraiser's or supervisory appraiser's (if applicable) consent. Such consent must be obtained before this appraisal report may be disclosed or distributed to any other party (including, but not limited to, the public through advertising, public relations, news, sales, or other media).

22. I am aware that any disclosure or distribution of this appraisal report by me or the lender/client may be subject to certain laws and regulations. Further, I am also subject to the provisions of the Uniform Standards of Professional Appraisal Practice that pertain to disclosure or distribution by me.

23. The borrower, another lender at the request of the borrower, the mortgagee or its successors and assigns, mortgage insurers, government sponsored enterprises, and other secondary market participants may rely on this appraisal report as part of any mortgage finance transaction that involves any one or more of these parties.

24. If this appraisal report was transmitted as an "electronic record" containing my "electronic signature," as those terms are defined in applicable federal and/or state laws (excluding audio and video recordings), or a facsimile transmission of this appraisal report containing a copy or representation of my signature, the appraisal report shall be as effective, enforceable and valid as if a paper version of this appraisal report were delivered containing my original hand written signature.

25. Any intentional or negligent misrepresentation(s) contained in this appraisal report may result in civil liability and/or criminal penalties including, but not limited to, fine or imprisonment or both under the provisions of Title 18, United States Code, Section 1001, et seq., or similar state laws.

SUPERVISORY APPRAISER'S CERTIFICATION: The Supervisory Appraiser certifies and agrees that:

1. I directly supervised the appraiser for this appraisal assignment, have read the appraisal report, and agree with the appraiser's analysis, opinions, statements, conclusions, and the appraiser's certification.

2. I accept full responsibility for the contents of this appraisal report including, but not limited to, the appraiser's analysis, opinions, statements, conclusions, and the appraiser's certification.

3. The appraiser identified in this appraisal report is either a sub-contractor or an employee of the supervisory appraiser (or the appraisal firm), is qualified to perform this appraisal, and is acceptable to perform this appraisal under the applicable state law.

4. This appraisal report complies with the Uniform Standards of Professional Appraisal Practice that were adopted and promulgated by the Appraisal Standards Board of The Appraisal Foundation and that were in place at the time this appraisal report was prepared.

5. If this appraisal report was transmitted as an "electronic record" containing my "electronic signature," as those terms are defined in applicable federal and/or state laws (excluding audio and video recordings), or a facsimile transmission of this appraisal report containing a copy or representation of my signature, the appraisal report shall be as effective, enforceable and valid as if a paper version of this appraisal report were delivered containing my original hand written signature.

APPRAISER

Signature

Name David J Miller

Company Name Sterling Appraising of OC, Inc

Company Address 373 Cachuma Ct

Rialto , CA 92377

Telephone Number 949-234-6624

Email Address ocorders@sterlingapp.com

Date of Signature and Report 08/12/2025

Effective Date of Appraisal 08/07/2025

State Certification # AR029515

or State License #

or Other (describe) State #

State CA

Expiration Date of Certification or License 08/07/2026

ADDRESS OF PROPERTY APPRAISED

6808 Neil St

Riverside , CA 92504

APPRAISED VALUE OF SUBJECT PROPERTY $ 625000

LENDER/CLIENT

Name FASTAPP APPRAISAL MANAGEMENT COMPANY

Company Name The Loan Store

Company Address 6340 N Campbell Ave #100

Tucson , AZ 85718

Email Address

SUPERVISORY APPRAISER (ONLY IF REQUIRED)

Signature

Name

Company Name

Company Address

,

Telephone Number

Email Address

Date of Signature

State Certification #

or State License #

State

Expiration Date of Certification or License

SUBJECT PROPERTY

☐ Did not inspect subject property

☐ Did inspect exterior of subject property from street

Date of Inspection

☐ Did inspect interior and exterior of subject property

Date of Inspection

COMPARABLE SALES

☐ Did not inspect exterior of comparable sales from street

☐ Did inspect exterior of comparable sales from street

Date of Inspection

Uniform Residential Appraisal Report

800109318
File # 257-04071

SALES COMPARISON APPROACH

FEATURE	SUBJECT	COMPARABLE SALE # 4		COMPARABLE SALE # 5		COMPARABLE SALE # 6	
Address	6808 Neil St Riverside, CA 92504	3985 Wayne Ct Riverside, CA 92504		6820 Neil St Riverside, CA 92504		7914 Magnolia Ave Riverside, CA 92504	
Proximity to Subject		1.07 miles SE		0.02 miles SW		1.41 miles SE	
Sale Price	$		$ 590000		$ 550000		$ 650000
Sale Price/Gross Liv. Area	$ 0.00 sq.ft.	$ 617.15 sq.ft.		$ 501.82 sq.ft.		$ 483.63 sq.ft.	
Data Source(s)		CRMLS #IV23200161;DOM 62		CRMLS #TR24061179;DOM 11		CRMLS #IV25136615;DOM 50	
Verification Source(s)		Doc #234720/Realist		Doc #140320/Realist		Active	
VALUE ADJUSTMENTS	DESCRIPTION	DESCRIPTION	+ (-) $ Adjustment	DESCRIPTION	+ (-) $ Adjustment	DESCRIPTION	+ (-) $ Adjustment
Sale or Financing Concessions		ArmLth Conv;0		ArmLth FHA;0		Listing	
Date of Sale/Time		s08/24;c05/24	19000	s05/24;c04/24	19000	Active	0
Location	N;Ind;	N;Res;	0	N;Ind;		N;BsyRd;	0
Leasehold/Fee Simple	Fee Simple	Fee Simple		Fee Simple		Fee Simple	
Site	8712 sf	8712 sf		9148 sf	0	12632 sf	-3900
View	N;Res;	N;Res;		N;Res;		N;Res;	
Design (Style)	DT1;Contemporary	DT1;Contemporary		DT1;Contemporary		DT1;Contemporary	
Quality of Construction	Q4	Q4		Q4		Q4	
Actual Age	99	74	0	69	0	113	0
Condition	C3	C3		C3		C3	
Above Grade Room Count	Total Bdrms. Baths 4 2 1.0	Total Bdrms. Baths 5 3 1.0	-8000 0	Total Bdrms. Baths 5 4 1.0	-16000 0	Total Bdrms. Baths 7 3 2.0	-8000 -5000
Gross Living Area	1050 sq.ft.	956 sq.ft.	0	1096 sq.ft.	0	1344 sq.ft.	-22100
Basement & Finished Rooms Below Grade	941sf941sfwo 0rr2br1.0ba0o	0sf	0 0	0sf	0 0	0sf	0 0
Functional Utility	Typical	Typical		Typical		Typical	
Heating/Cooling	Ductless Ductless	FlrFrnc/WAC	0	FWA/CAC	0	FWA/CAC	0
Energy Efficient Items	None	None		None		None	
Garage/Carport	1cp2dw	2gd2dw	-10000	None	0	2gd2dw	-10000
Porch/Patio/Deck	Cover/Cover	Cover/Slab	2000	Cover/Cover		Cover/Cover	
Pool/Fireplace	No Pool/None	No Pool/1 F.P.	-1000	No Pool/None		No Pool/1 Fireplace	-1000
ADU	ADU	ADU		None	60000	ADU	
Original List Price	NA	05/16/2024/100.0%	0	$560,000/98.2%	0	$669,999/	0
Net Adjustment (Total)		☒ + ☐ -	$ 2000	☒ + ☐ -	$ 63000	☐ + ☒ -	$ 50000
Adjusted Sale Price of Comparables		Net Adj. 0.3 % Gross Adj. 6.8 %	$ 592000	Net Adj. 11.5 % Gross Adj. 17.3 %	$ 613000	Net Adj. -7.7 % Gross Adj. 7.7 %	$ 600000

ANALYSIS/COMMENTS

Summary of Sales Comparison Approach

See Attached Addendum

ITEM	SUBJECT	COMPARABLE SALE #4	COMPARABLE SALE #5	COMPARABLE SALE #6
Date of Prior Sale/Transfer				
Price of Prior Sale/Transfer				
Data Source(s)	Realist	Realist	Realist	Realist
Effective Date of Data Source(s)	08/08/2025	06/13/2025	08/08/2025	08/08/2025

Analysis of prior sale or transfer history of the subject property and comparable sales

TEXT ADDENDUM

File # 257-04071

Borrower/Client	Anthony Rios & Anthony E Rios
Property Address	6808 Neil St
City	Riverside
County	Riverside
State	CA
Zip Code	92504
Lender	The Loan Store

Beginning Addendum
Limiting Conditions and Extraordinary Assumptions

The appraiser has relied on available public records, MLS data, visual inspection, and limited municipal information to analyze the subject's zoning, legal use, permits, and configuration, including the ADU and garage conversion. Due to the absence of comprehensive verified documentation, the appraiser's conclusions regarding these factors are based on assumptions and professional judgment. These conditions introduce uncertainty, and the appraiser cannot guarantee the accuracy or completeness of this information. Should additional verified documentation become available, the appraiser reserves the right to revise the appraisal accordingly. Users of this report are cautioned to consider these limitations when relying on the appraisal.

Disaster Comments
The subject property is not located in the vicinity of the recent FEMA disaster and was not impacted by the event. There are no adverse effects on the property's value or marketability, and local market conditions remain stable. No physical damage to the property has been observed, and there is no indication that the disaster has affected buyer demand or property prices in the area.

Appraisal Scope and Limitations

This appraisal report is prepared exclusively for the client and designated intended users to support a mortgage financing transaction. The purpose of this appraisal is to estimate the market value of the subject property as of the effective date, based on the appraiser's observations and analysis, in compliance with the Uniform Standards of Professional Appraisal Practice (USPAP).

This appraisal is not a home inspection. The appraiser's observations are limited to readily visible conditions during the inspection and do not guarantee the absence of defects, structural issues, or system functionality. The appraiser does not conduct invasive inspections, test the operational efficiency or long-term performance of systems (e.g., HVAC, plumbing, or electrical), or evaluate hidden conditions. The appraisal relies solely on data verified by the appraiser, and no warranty is provided regarding the property's condition, safety, or habitability.

For conventional appraisals, the appraiser notes the apparent functionality of major systems based on visual observation but does not perform comprehensive testing or certify their condition, efficiency, or compliance with building codes. A qualified professional home inspector should be engaged to assess the property's condition, including structural components, mechanical systems, and potential environmental hazards.

Responsibility for Property Condition

Intended users, including the lender/client and the borrower, are responsible for conducting their own due diligence to ensure the property meets their expectations and requirements. Property inspection reports (e.g., home inspection, pest, or structural reports) obtained by intended users or the borrower are outside the scope of this appraisal and are not reviewed or verified unless explicitly stated. The appraiser's role is strictly limited to estimating the market value based on observable conditions, as outlined in this section. The inclusion of the borrower in this statement does not designate them as an intended user of the appraisal report.

Heat Source Observation
The heat source for the subject property is typical for the area, permanently installed, appears adequately sized for the dwelling, and is externally vented, based on the appraiser's general observation at the time of the inspection. The appraiser is not a heating specialist and does not perform detailed inspections or testing of the heating system's functionality, efficiency, or compliance with codes. For any concerns regarding the condition, performance, or suitability of the heat source, a licensed HVAC contractor should be consulted for a comprehensive evaluation.

Smoke and carbon monoxide detectors were observed to be present at the time of inspection, unless otherwise noted. The appraiser did not test these devices and is not qualified to assess their functionality or code compliance. This report only confirms their presence based on a visual inspection.

SUBJECT
The subject property includes common utility easements, such as those for electrical, telephone, or water systems, which are typical in the market area. These easements match those found in comparable properties and, based on the appraiser's inspection, show no negative impact on the property's value, marketability, or use.

The appraiser is assuming that all relevant data pertaining to this transaction has been provided to the appraiser. It's important to note that the appraiser retains the right to modify this report in any manner, allowing for changes prompted by the emergence of additional information. This pertains to all facets of the appraisal process, ensuring the accuracy of the report's assessment in alignment with the available data.

ANSI
Finished square footage based on the ANSI® Measurement Standard 2021 and derived from approximate onsite measurements which are taken in tenths of a foot and rounded to the nearest whole foot. See attached photos and sketch page for dimensions and details. All measurements are for above grade spaces.

External
In the vicinity of the subject property, as with all comparable properties in the market area, there are facilities that support the residents. These amenities are integral components of the neighborhood and are not expected to have a direct, unique impact on the subject property, aligning with the characteristics of other properties in the market.

The subject property, comparable properties or the surrounding marketing area has not been affected by any recent California disasters (i.e., fires, floods, or debris flow).

There is no active drilling on the subject's site.

Market Conditions
Over the 12 months prior to the effective date of August 7, 2025, property values in the 92504 ZIP code (Riverside, CA) exhibited modest growth, supported by multiple analyses of 46 competing sales. The median sale price was $589,950, ranging from $440,000 to $670,000, with quarterly median prices (oldest to most recent) of $590,000, $545,000, $615,000, and $589,500, indicating a monthly appreciation rate of 0.3% (quarterly analysis) to 0.5% (monthly analysis). A simple linear regression trendline applied to all competing properties determined a market condition adjustment rate of 0.22% per month, used to adjust comparable sales based on contract dates, with adjustments ranging from $4,000 (0.6%) to $19,000 (3.5%) for sales from April to December 2024, as shown in the trendline value of $586,474. No adjustments were applied to sales within 30 days of the effective date. Data aligns with external sources, reporting median sale prices of $635,000 (up 1.6% year-over-year) and average home values of $620,211 (up 1.3%) as of April 2025.

The market showed a competitive yet balanced dynamic, with a 3.7-month housing supply based on 46 sales, and quarterly supply ranging from 1.9 to 5.0 months, reflecting a 5.3% monthly increase in inventory. The average days on market (DOM) was 23, ranging from 0 to 123, with homes selling slightly slower (39 days in April 2025 vs. 28 days in April 2024). As of August 7, 2025, 14 active listings were reported, compared to 74 competing listings over the past year. The market's competitiveness is evident, with homes receiving an average of two offers and selling at or slightly above list price, per external data. These trends, supported by Zillow, Redfin, and Realtytrac, indicate stable demand and modest price growth, with no

CONTINUED ON NEXT PAGE

TEXT ADDENDUM

File # 257-04071

Borrower/Client	Anthony Rios & Anthony E Rios
Property Address	6808 Neil St
City	Riverside
County	Riverside
State	CA
Zip Code	92504
Lender	The Loan Store

significant adverse impacts on value or marketability in the 92504 market area.

Highest & Best Use

As Vacant

Legally Permissible: The subject site is located in a BMP (Business and Manufacturing Park) zoned area [per Tracey - city planner]. New residential construction is not permitted under current zoning. Permitted uses are limited to those consistent with BMP zoning, such as certain business, office, storage, or light commercial/service-oriented uses.

Physically Possible: At approximately 8,700 sf, the site is smaller than typically required for most industrial or large-scale manufacturing uses. Its size and configuration are more suited to small-scale BMP-permitted uses that do not require extensive parking or large truck access.

Financially Feasible: Market demand for smaller-scale BMP-conforming uses supports the feasibility of such development within the site's physical limitations.

Maximally Productive: The highest and best use of the site, as if vacant, is for development with a small-scale conforming BMP-permitted use appropriate for the site's size and configuration.

As Improved
Legally Permissible: The existing single-family residence with ADU and patios is a legal non-conforming use. The subject is located in a BMP (Business and Manufacturing Park) zoned area [per Tracey - city planner]. There are indications the property was previously zoned R-1 (single-family residential), and zoning may have changed since its sale in 2020. This change likely contributes to its non-conforming status.

Physically Possible: The improvements are appropriate in size for the site and comply with physical constraints. A rebuild letter from the city would be required to reconstruct the improvements if destroyed.

Financially Feasible: The cost to construct the existing improvements is below their current market value, indicating an adequate profit margin for continued residential use.

Maximally Productive: While the site's as vacant HBU would be a small-scale BMP-permitted use, the highest and best use of the property as improved is the continued use as a single-family residence, as this provides greater market value than conversion to a conforming use. Areas west of the subject show no evidence of a transitional change in use at this time.

Scope & Limiting Conditions Note: The appraiser is not a commercial appraiser and has not developed a commercial valuation. The as vacant highest and best use conclusion is based solely on public zoning information, site observations, and general market data, and is provided to meet USPAP's requirement for highest and best use analysis. No opinion of market value for a commercial use is intended or implied.

Zoning Disclaimer
Zoning information in this report is based on public records, municipal sources, or discussions with planning staff when available. The appraiser is not a zoning or land-use expert and makes no representations or guarantees regarding zoning compliance, allowable uses, or rebuildability if the improvements were destroyed. All parties involved in the transaction are strongly advised to verify zoning, permitted uses, and rebuildability with the appropriate municipal authorities as part of their due diligence.

GEOGRAPHIC COMPETENCY
Appraiser has been appraising properties within the subject's market since 2002.
The appraiser has analyzed and/or appraised the subject's type before. The appraiser possesses the necessary experience to complete this report in conformity with the competency provision of USPAP. Sources of market data may have included Dataquick Information Systems, MLS, interior and exterior inspections as well as this appraiser's personal knowledge of the area. Spark used to import and analyze 1004MC data.

SPECIAL ASSESSMENTS
Subject special assessments, as noted on attached property profile, are collected via taxes annually and are included as part of the total tax assessment, therefore "Special Assessment" field shows 0. Comparable properties have similar special assessments in type and amount with no adverse effects noted. Extraordinary assumption there are no a-typical special assessments which could impact value and/or marketability.

PREDOMINANT VALUE
Predominant value accounts for SFR homes similar to subject and corresponds to 1004MC. The estimated value of the subject falls within the range. The subject should not be considered over or under improved unless otherwise noted.

My Comparable Search & Results
Property Type is 'Residential'
Property Sub Type is 'Single Family Residence'
Latitude, Longitude is within 1.00 mi of 6808 Neil St, Riverside, CA 92504, USA
Status Price Change Timestamp is 08/07/2024+
Living Area is 750 to 1350
Lot Size Searchable is 15000 or less
Association Fee is 0
Found 87 results

Results have been provided in the farm addendum. All sales are NOT directly comparable to the subject. From this dataset, further filtering to select homes that are the most comparable to the subject in terms of external factors, site, condition, GLA and bedroom/bathroom count.

The appraiser considered various sales that were larger, smaller, inferior, and superior during the appraisal process. While these sales were considered and evaluated, it is important to note that providing a separate written analysis or grid for each individual sale or listing is beyond the scope of this appraisal. The selected sales used in the grid are deemed the most appropriate and reasonable for determining the opinion of value. However, it should be acknowledged that other sales and listings, both with lower and higher values, were duly considered as required and warranted.

All comparable properties are located within the subject's immediate marketing area and are considered to be the best indicators of value for the subject property. Adjustments were derived by paired sales analysis of the bracketed sales contained w/in the report, discussions w/local Realtors in conjunction w/ the appraiser's geographical competency and years of experience, or a combination thereof.

The appraiser has adjusted dissimilarities between the subject and comparables according to the market reaction. Therefore, the dissimilarities that have a 0 indicated in the adjustment column means the appraiser has acknowledged the difference, however, the market does not support any adjustment.

Subject and comparable properties are not associated with any golf course(s).
Unless noted otherwise, all comparable properties have similar external factors compared to the subject.
Any properties which cross over a major street or other barriers, manufactured or natural, do not require a location adjustment. All are from the same

CONTINUED ON NEXT PAGE

TEXT ADDENDUM

File # 257-04071

Borrower/Client	Anthony Rios & Anthony E Rios
Property Address	6808 Neil St
City	Riverside
County	Riverside
State	CA
Zip Code	92504
Lender	The Loan Store

marketing area as the subject and have similar taxing structures and similar quality schools.

GRID

Concessions are common and typically range from 1% to 3%. Adjustments applied when a concession has impacted on a final sales price.
The appraiser notes that concessions reported in the grid may differ from those in the MLS, as MLS requires agent commissions to be included in the sale data, but commissions are not considered a concession.

All comparable properties are fee simple.

LOCATION
The subject and comparable properties marked as 'N; Res' have no external factors. Adjustments for any variations are derived from market data and are supported by the sales used in this report. A '0' in the grid indicates that there is no market reaction to the noted variation.

QUALITY OF CONSTRUCTION
All comparable properties appear to be similar in quality of construction. This indicates that the properties being compared in the appraisal process share a consistent standard of construction quality.

LEVELS AND DESIGN
There is no reaction for the number of levels.

AGE
Due to the subject's unique configuration, the appraiser was not able to bracket the subject's actual age. However, the effective age is considered bracketed, as all comparable properties have similar quality and levels of updating compared to the subject.

CONDITION
Evaluating the state of these properties relies on subjective assessment primarily drawn from descriptions, photos, and agent notes within the MLS listings. The appraiser has conducted external observations of comparable properties, without personally inspecting their interiors. Disparities in updates might be evident in MLS photos among these comparables in contrast to the subject property, yet they are generally deemed alike in terms of the rating system, warranting no adjustments.

Based on market data and analysis, the following adjustments have been made:
Site: Market is supporting an adjustment at $1.00psf.
Bathrooms: Paired sales analysis is supporting $2,500 per half.
Bedrooms: $8,000 per
GLA: Market comparison supports an adjustment at $75.00psf.
Garages: $5,000 per space.
Pool/Spa: None
Fireplace: Adjustments are based on market data and supported by the sales used in the grid. If a "0" is used, then there is no impact.

SOLAR PANELS
Solar Electric (O) = Owned; Adjustments supported by sales used in this report.
Solar Electric (L) = Leased; Adjustment not warranted. Historically, there are no adverse effects on value or marketability for leased solar panels.

In this market, the presence of solar panels is considered advantageous showing no adverse impact on the marketability of the property.

The adjustments made in this report are based on a combination of paired sales analysis, the principle of substitution, regression analysis, and typical buyer reactions to differences in property features and market conditions. These methods, along with a careful evaluation of market trends and comparable property data, are employed to ensure that the valuation reflects the most accurate and reliable data available.

Time Adjustments - Time adjustments are based on a market trend analysis, which indicates the appropriate rate of change for property values over a specific period. Adjustments account for the difference between the comparable's contract date and the effective date, aligning with observed market trends and ensuring consistency in the valuation.

Location Adjustments - Adjustments for location reflect typical buyer preferences and market reactions to specific positive or negative factors. Positive factors, such as proximity to city lights or mountain views, generally increase market value. Negative factors, such as proximity to busy streets, commercial or industrial properties, or adverse views, typically result in downward adjustments. However, the subject's location near the airport and backing to industrial zoning does not appear to have adversely affected value or marketability, and no location adjustments are warranted. These conclusions are supported by market data and paired sales analysis, which reflect how buyers in the subject's market respond to these factors.

Site Adjustments - Adjustments for lot size reflect typical buyer behavior in the subject's market, where larger lots are valued higher due to increased privacy and potential for outdoor use.

GLA Adjustments - Adjustments for square footage differences are based on market-derived rates from paired sales analysis, reflecting typical buyer reactions to differences in living area.

Bedroom/Bathroom Adjustments - Adjustments for additional bedrooms and bathrooms reflect buyer preferences, as more are typically valued higher in this market due to increased convenience, functionality, and comfort for larger households.

Garage Adjustments - Adjustments for garage size reflect typical buyer demand in the market, as properties with larger or additional garages are often preferred due to their ability to accommodate more vehicles and provide additional storage space.

Solar Panel Adjustment - The adjustment for the presence of solar panels reflects typical buyer preferences in the market, where owned or leased solar systems can influence the perceived value based on energy savings and reduced utility costs.

SUBJECT GLA/Buildings
The subject's current configuration consists of four living units; however, not all appear to be permitted. The main dwelling and the below-grade area appear to have originally been part of a single living unit that included finished below-grade space. During inspection, the basement was found to be an autonomous unit with a full kitchen. The property includes a garage, as noted in MLS and permitting records; however, it appears to have been converted to living area. Prior MLS reports indicate that a loft above the garage is permitted and is considered the ADU for this appraisal.

Disclaimer:
The appraiser has not verified permits, zoning compliance, or the legal status of the subject's living units beyond visual inspection, public records, MLS data, and information available at the time of inspection. It cannot be confirmed that all permits are available online or through accessible sources. No representations are made regarding the legality or permit status of any portion of the property. Should verified documentation or permits be provided, the appraiser reserves the right to revise the appraisal accordingly. All parties are advised to consult municipal authorities or qualified professionals for confirmation of permits, zoning, and legal use. The appraiser assumes no liability for unknown or undisclosed conditions that may affect value or marketability.

CONTINUED ON NEXT PAGE

TEXT ADDENDUM

File # 257-04071

Borrower/Client	Anthony Rios & Anthony E Rios
Property Address	6808 Neil St
City	Riverside
County	Riverside
State	CA
Zip Code	92504
Lender	The Loan Store

The below-grade area is excluded from Gross Living Area, consistent with appraisal standards that do not include finished basements in GLA calculations. Additionally, this area functions as a separate living unit with its own kitchen and entrance, further supporting its exclusion from the subject's living area and room counts. Since no comparable properties with similar finished basement units exist within the subject's market area over the past two years and three-mile radius, the appraiser cannot ascertain market reaction to this feature. Therefore, no adjustment has been applied, and the value impact of this area cannot be reliably measured or included in the appraisal.

All living areas and structures appear to be constructed in a professional manner, with no visible health, safety, or structural deficiencies noted during the inspection. However, because permits have not been verified for all units, the appraiser cannot confirm their legal status or assign value based on the assumption of full compliance. Should verified permits or documentation be provided at a later date, the appraiser reserves the right to reconsider the valuation and update the appraisal accordingly.

The Gross Living Area (GLA) is based on the appraiser's measurements and differs from prior MLS reports, public records, and other sources. These discrepancies are likely due to unpermitted areas and the division of living spaces into separate units. For valuation purposes, the living area calculation is based solely on the main dwelling unit.

The ADU contains two bedrooms, one bathroom, a full kitchen, and a living room. It is constructed in a professional manner with updated kitchen and bathroom improvements. No apparent health or safety issues were observed in the ADU during inspection. The ADU is excluded from the living area calculation and room counts in this appraisal.

COMPARABLE ANALYSIS
The appraiser notes that the sale dates referenced correspond to the respective contract dates, not the close of escrow.
Comps 1 & 2 sold within the prior 6 months of the effective date.
Comps 3,4 & 5 sold over 6 months previous of the effective date. This was required due to the lack of more recent data.

Comps 1 & 5 have line adjustments exceeding 10% due to the absence of an ADU.
Comp 5 Gross adjustments exceed 15% primarily due to the line adjustment however time and bedrooms are having an effect on the overall adjustment range.

Comps 4 & 6 are over 1 mile away. This was required to bracket the subjects GLA (comp 4) and to provide a listing with an ADU.

Comp 1 is used for its recent close of escrow and similar GLA and bedroom-bathroom count but does not have an ADU.
Comp 2, previously inspected by this appraiser, is located over one mile away and is included because it has an ADU, albeit smaller than the subject's, and is considered to have a similar effect on value and marketability.
Comp 3 closed over six months prior and features superior bedroom count but includes an ADU like the subject, making it a strong indicator of value.
Comp 4 closed approximately 12 months prior and is utilized primarily to represent a smaller GLA; it also has an ADU but reflects a lower value range and is given less weight in the analysis.
Comp 5 closed over 24 months prior and is used to bracket location, as it is situated on the subject's street with comparable external factors. While the client requested a comparable sale involving a legal non-conforming property, the appraiser cannot confirm this status for Comp 5. MLS indicates R-1 zoning at the time of sale, which may suggest legal residential zoning; however, current zoning is BMP, and the accuracy of MLS zoning information cannot be verified. Therefore, the legal non-conforming status of this sale remains uncertain.

This is the only sale located within the subject's current zoning district. The appraiser was unable to locate three comparable sales involving legal non-conforming properties as requested by the client.

RECONCILIATION
The subject's legal non-conforming status has been confirmed through review of zoning records and discussions with municipal staff. However, the impact of this status on value or marketability cannot be conclusively determined due to a lack of sufficient market data and comparable sales reflecting similar conditions.

Comparable sales 1 and 2 are the most recent and closely align with the subject's size and features, and are therefore given the greatest weight. Comps 2, 3, and 4 include ADUs, which provide additional support in valuing the subject's unique configuration. Comp 5, while older and less directly comparable, is included solely because it is located within the subject's current zoning district and helps bracket location influences.

Given the limited availability of comparable sales representing legal non-conforming properties, an extraordinary assumption is made that the legal non-conforming status does not adversely affect value or marketability. Should additional market data or evidence become available, the appraisal may require revision.

Clients and users of this report are advised to conduct further due diligence regarding zoning and legal use as part of their overall transaction analysis.

Extraordinary Assumption:
It is assumed, for the purpose of this appraisal, that the subject's legal non-conforming status does not adversely affect its marketability or value. This assumption is necessary due to the absence of sufficient comparable sales data reflecting this condition. Should contrary evidence become available, the appraisal conclusions may require revision.

Adjustments exceeding 10%-15%-25% of the comparable sales price in the sales comparison analysis were necessary to accurately reflect market reactions. All Adjustments were derived from the market. To apply adjustments to meet any guidelines would produce an inaccurate and misleading report.

The estimated value of the subject is well supported by all market indicators and is bracketed by unadjusted & adjusted values. All salient features have been bracketed.

Personal property is not given value or consideration in the estimated value.
There were no apparent health or safety issues noted.
There were no unfavorable factors affecting value or marketability noted.

The appraiser retains the right to address any typographical errors or unintentional misinformation that may arise from various sources, including property owners, tenants, agents, MLS systems, public records, and others not explicitly mentioned. In cases where inaccuracies are identified, the appraiser will take appropriate measures to rectify them, ensuring the appraisal report's accuracy and reliability.

Appraiser Additional Certifications
. USPAP Identification: Comments on Appraisal and Report Identification
I performed this appraisal in accordance with the requirements of the Uniform Standards of Professional Appraisal Practice that were adopted and promulgated by the Appraisal Standards Board of The Foundation and that were in place at the time this appraisal report was prepared.
The Appraiser certifies and agrees that:
(1) The analyses, opinions and conclusions were developed, and this report was prepared, in
conformity with the Uniform Standards of Professional Appraisal Practice ("USPAP"), and in accordance with the regulations developed by the Lender's Federal Regulatory Agency as required by FIRREA, except that the Departure Provisions of the USPAP do not apply.

CONTINUED ON NEXT PAGE

TEXT ADDENDUM

File # 257-04071

Borrower/Client	Anthony Rios & Anthony E Rios
Property Address	6808 Neil St
City	Riverside
County	Riverside
State	CA
Zip Code	92504
Lender	The Loan Store

(2) Compensation is not contingent upon the reporting of predetermined value or direction in that favors the cause of the client, the amount of the value estimate, the attainment of a stipulated result, or the occurrence of a subsequent event.
(3) This appraisal assignment was not based on a requested minimum valuation, a specific valuation, or the approval of a loan.

The Sales Comparison Approach was given the most weight in the final value conclusion for the subject property, as it demonstrates the Principle of Substitution and best reflects the attitudes of typically informed buyers and sellers in this market area.

Income approach not developed. These homes are not typically purchased for income producing abilities. The income approach is not deemed to be a meaningful indicator of value.

The Cost Approach was developed. However, due to the lack of recent, relevant land sales and the difficulty in measuring accrued depreciation, the Cost Approach is considered to be less reliable. The Cost Approach is NOT intended to be used for insurance purposes.

The Intended User of this appraisal report is the Lender/Client and FHA/HUD. Unless specifically stated within the report, there are no additional Intended Users. The Intended Use is to evaluate the property that is the subject of this appraisal for a mortgage finance transaction, subject to the stated Scope of Work, purpose of the appraisal, reporting requirements of this appraisal report form, and Definition of Market Value, as defined within the report.

The Market Value concluded in this appraisal report was prepared for federally related mortgage loan purposes and is in conformance with the requirements of Title XI of the Federal Financial Institutions Reform, Recovery and Enforcement Act of 1989 (FIRREA), the Uniform Standards of Professional Appraisal Practice (USPAP), the Secondary Market and Valuation Support Services. The final value concluded in this appraisal analysis is current, as of the effective date of the appraisal.

The following extraordinary assumptions are made during the appraisal process: the subject property is structurally and mechanically sound; all components of the subject property are in a working order and free of any health and/or safety hazards; the subject is free or any hazardous environmental conditions; the data sources named in this appraisal accurately reported the data presented; any negative stimuli - other than that known to the general public - is non-existent; the subject is hooked up to an adequate sewage disposal system. The use of these extraordinary assumptions may affect the final value concluded and other conclusions noted in the appraisal analysis.

This appraisal report is not intended to be utilized as a property inspection. The visual inspection performed by this appraiser is limited in nature, as the appraiser is not an expert in the field of property inspection. Should the intended user of this appraisal report have concerns regarding the subject property, the intended user is urged to consult with a professional property inspector.

The appraiser made a personal inspection of the subject property (both interior and exterior) and a personal exterior inspection from the street all comparable sales and listings used in the report.

APPRAISER INDEPENDENCE
No employee, director, officer, or agent of the Seller, or any other third party acting as joint venture partner, independent contractor, appraisal company, appraisal management company, or partner on behalf of the Seller has influenced or attempted to influence the development, reporting, result, or review of this assignment through coercion, extortion, collusion, compensation, instruction, inducement, intimidation, bribery or in any other manner.

I represent and warrant that, as of the date of this Report, I have had no contact with anyone that would in any way be construed as a violation of the Appraiser Independence Requirements; the only individuals with whom I have had any contact regarding my preparation of this Report have been limited to representatives of the appraisal management company and the designated individual required for entry into the subject property for purposes of inspection. No agent or representative of lender/client whose name appears on the first page of this Report has contacted me directly and I am obligated to and would report any such unauthorized contact, whether in person, by phone, or electronically, to the appraisal management company immediately.

This appraisal was ordered in compliance with Appraisal Independence "AIR" and Mortgagee Letter
2009-28.

PROPERTY TRANSFER HISTORY

* SUBJECT 36-MONTH PRIOR TRANSFER HISTORY *

6808 Neil St
-No transfer history.

* COMPARABLE 12-MONTH PRIOR TRANSFER HISTORY *
(may include properties that were considered but not utilized as comparables)

8463 California Ave
-No transfer history.

6191 Streeter Ave
-No transfer history.

8967 Patrero St
-No transfer history.

6820 Neil St
-No transfer history.

7914 Magnolia Ave
-No transfer history.

5834 Norman Way
-No transfer history.

Form data: GLA Adjustment Factor
75.00

Form data: Economic Age Basis
85

Single Family Comparable Rent Schedule

800109318

File No. 257-04071

This form is intended to provide the appraiser with a familiar format to estimate the market rent of the subject property.
Adjustments should be made only for items of significant difference between the comparables and the subject property.

ITEM	SUBJECT	COMPARABLE No. 1		COMPARABLE No. 2		COMPARABLE No. 3	
Address	6808 Neil St Riverside CA 92504	4985 Olivewood Ave Riverside CA 92506		5773 Angela Ave Jurupa Valley CA 92509		3552 Washington St Riverside CA 92504	
Proximity to Subject		3.57 miles NE		3.51 miles NW		2.23 miles SE	
Date Lease Begins Date Lease Expires		08/11/2025 08/10/2026		01/27/2025 01/26/2026		01/17/2025 01/16/2026	
Monthly Rental	If Currently Rented: $ 2450	$ 2100		$ 2700		$ 2100	
Less Utilities Furniture	150 $ 0	0 $ 0		0 $ 0		0 $ 0	
Adjusted Monthly Rent	$ 2300	$ 2100		$ 2700		$ 2100	
Data Source	Owner	CRMLS #IV25172029;DOM 7 Realist		CRMLS #IV25002348;DOM 23 Realist		CRMLS #IG24179505;DOM 141 Realist	
RENT ADJUSTMENTS	DESCRIPTION	DESCRIPTION	+(-) $Adj	DESCRIPTION	+(-) $Adj	DESCRIPTION	+(-) $Adj
Rent Concessions		NA NA		NA NA		NA NA	
Location/ View	N;Ind; N;Res;	N;Res; N;Res;		N;Res; N;Res;		N;Res; N;Res;	
Design and Appeal	DT1;Contemporary	DT1;Contemporary		DT1;Contemporary		DT1;Contemporary	
Age/Condition	99 C3	87 C3	0	48 C3	0	74 C3	0
Above Grade	Total Bdrms Baths	Total Bdrms Baths		Total Bdrm Baths		Total Bdrms Baths	
Room Count	4 2 1.0	4 2 1.0		4 2 1.0		4 2 2.0	-50
	716 Sq Ft	806 Sq Ft	0	800 Sq Ft	0	825 Sq Ft.	0
Other (e.g , basement, etc)	0sf 0rr2br1.0ba0o	0sf	0 0	0sf	0 0	0sf	0 0
Other	No Pool/None ADU	No Pool/1 Fireplace		No Pool/None		No Pool/None	
Net Adj (total)		☒ + ☐ -	$ 0	☒ + ☐ -	$ 0	☐ + ☒ -	$ 50
Indicated Monthly Market Rent		0.0 % Net 0.0 % Grs	$ 2100	0.0 % Net 0.0 % Grs	$ 2700	-2.4 % Net 2.4 % Grs	$ 2050

Comments on market data, including the range of rents for single family properties, an estimate of vacancy for single family rental properties, the general trend of rents and vacancy, and support for the above adjustments. (Rent concessions should be adjusted to the market, not to the subject property)

The subject and all comparable rentals are not subject to rent control. All comparable rentals are identified in MLS as Accessory Dwelling Units (ADUs), consistent with the subject. Due to the limited number of ADU rentals available in MLS, the search area was expanded, resulting in distances exceeding 1 mile from the subject, with one rental located nearly five miles away. These rentals remain relevant to the analysis as they are located in competitive markets with similar appeal, condition, and tenant demand to the subject.

THIS RENT SURVEY IS BASED ON RENT FOR THE ADU, THEREFORE, THE GLA USED IN THIS FORM DIFFERS FROM THE MAIN FORM.

Final Reconciliation of Market Rent.

The appraiser was provided with a monthly rental agreement dated August 1, 2024, indicating the subject's rent at $2,450. This amount appears to be slightly above average but remains market-supported based on the comparable rentals analyzed in this report; therefore, the estimated market rent is concluded to be equal to the subject's current rent. Although all other units in the subject property are rented, their rents were not considered in this rent survey.

I (WE) ESTIMATE THE MONTHLY MARKET RENT OF THE SUBJECT AS OF 08/07/2025 TO BE $ 2450

APPRAISER:

Signature

Name David J Miller

Date Property Inspected 08/07/2025 Report Signed 08/12/2025

State Certification # AR 029515 State CA

or State License # State

SUPERVISORY APPRAISER (ONLY IF REQUIRED):

Signature ☐ Did ☐ Did not Inspect property

Name

Date Property Inspected Report Signed

State Certification # State

or State License # State

Single Family Comparable Rent Schedule

800109318

File No. 257-04071

ITEM	SUBJECT	COMPARABLE No. 4	COMPARABLE No. 5	COMPARABLE No. 6
Address	6808 Neil St Riverside CA 92504	4764 Indian Hill Rd Riverside CA 92501		
Proximity to Subject		4.07 miles NE		
Date Lease Begins Date Lease Expires		01/13/2025		
Monthly Rental	If Currently Rented: $ 2450	$ 1800	$	$
Less Utilities Furniture	150 $ 0	0 $ 0	$	$
Adjusted Monthly Rent	$ 2300	$ 1800	$	$
Data Source	Owner	CRMLS #IV24246948;DOM 33 Realist		

RENT ADJUSTMENTS	DESCRIPTION	DESCRIPTION	+(-) $Adj	DESCRIPTION	+(-) $Adj	DESCRIPTION	+(-) $Adj
Rent Concessions		NA NA					
Location/ View	N;Ind; N;Res;	N;Res; N;Res;					
Design and Appeal	DT1;Contemporary	DT1;Contemporary					
Age/Condition	99 C3	85 C3	0				
Above Grade Room Count	Total / Bdrms / Baths 4 / 2 / 1.0	Total / Bdrms / Baths 3 / 1 / 1.0	400	Total / Bdrm / Baths		Total / Bdrms / Baths	
	716 Sq Ft	600 Sq Ft	0	Sq Ft		Sq Ft.	
Other (e.g , basement, etc)	0sf 0rr2br1.0ba0o	0sf	0 0				
Other	No Pool/None ADU	No Pool/None					
Net Adj (total)		☒ + ☐ -	$ 400	☐ + ☐ -	$	☐ + ☐ -	$
Indicated Monthly Market Rent		22.2 % Net 22.2 % Grs	$ 2200	% Net % Grs	$	% Net % Grs	$

Comments on market data, including the range of rents for single family properties, an estimate of vacancy for single family rental properties, the general trend of rents and vacancy, and support for the above adjustments. (Rent concessions should be adjusted to the market, not to the subject property)

Market Conditions Addendum to the Appraisal Report

800109318
File # 257-04071

The purpose of this addendum is to provide the lender/client with a clear and accurate understanding of the market trends and conditions prevalent in the subject neighborhood.
This is a required addendum for all appraisal reports with an effective date on or after April 1, 2009.

Property Address 6808 Neil St City Riverside State CA ZIP Code 92504

Borrower Anthony Rios & Anthony E Rios

Instructions: The appraiser must use the information required on this form as the basis for his/her conclusions, and must provide support for those conclusions, regarding housing trends and overall market conditions as reported in the Neighborhood section of the appraisal report form. The appraiser must fill in all the information to the extent it is available and reliable and must provide analysis as indicated below. If any required data is unavailable or is considered unreliable, the appraiser must provide an explanation. It is recognized that not all data sources will be able to provide data for the shaded areas below; if it is available, however, the appraiser must include the data in the analysis. If data sources provide the required information as an average instead of the median, the appraiser should report the available figure and identify it as an average. Sales and listings must be properties that compete with the subject property, determined by applying the criteria that would be used by a prospective buyer of the subject property. The appraiser must explain any anomalies in the data, such as seasonal markets, new construction, foreclosures, etc.

MARKET RESEARCH & ANALYSIS

Inventory Analysis	Prior 7–12 Months	Prior 4–6 Months	Current – 3 Months	Overall Trend		
Total # of Comparable Sales (Settled)	26	10	10	☐ Increasing	☒ Stable	☐ Declining
Absorption Rate (Total Sales/Months)	4.33	3.33	3.33	☐ Increasing	☒ Stable	☐ Declining
Total # of Comparable Active Listings	15	15	14	☐ Declining	☒ Stable	☐ Increasing
Months of Housing Supply (Total Listings/Ab.Rate)	3.5	4.5	4.2	☐ Declining	☒ Stable	☐ Increasing

Median Sale & List Price, DOM, Sale/List %	Prior 7–12 Months	Prior 4–6 Months	Current – 3 Months	Overall Trend		
Median Comparable Sale Price	$572,500	$615,000	$589,500	☐ Increasing	☒ Stable	☐ Declining
Median Comparable Sales Days on Market	13	17	13	☐ Declining	☒ Stable	☐ Increasing
Median Comparable List Price	$599,900	$599,000	$597,500	☐ Increasing	☒ Stable	☐ Declining
Median Comparable Listings Days on Market	26	35	35	☐ Declining	☒ Stable	☐ Increasing
Median Sale Price as % of List Price	100%	100%	100%	☐ Increasing	☒ Stable	☐ Declining
Seller-(developer, builder, etc.) paid financial assistance prevalent? ☒ Yes ☐ No				☐ Declining	☒ Stable	☐ Increasing

Explain in detail the seller concessions trends for the past 12 months (e.g., seller contributions increased from 3% to 5%, increasing use of buydowns, closing costs, condo fees, options, etc.).

A quarterly analysis regarding quantity was performed on 46 competing sales that were all closed sales over the past 12 months. This analysis, based on data grouped quarterly, shows a change of -3.4% per month. A total of 23 of these sales were reported to have seller concessions. This analysis, based on data grouped quarterly, shows a change of -5.1% per month.

Are foreclosure sales (REO sales) a factor in the market? ☐ Yes ☒ No If yes, explain (including the trends in listings and sales of foreclosed properties).

A quarterly analysis was performed on 46 competing sales over the past 12 months. For those sales, a total of 0.0% were reported to be REO.

Cite data sources for above information.

Information reported in the CRMLS system (using an effective date of 08/07/2025) was utilized to arrive at the results noted on this addendum. Any percent change results noted in these comments are based on simple regression.

Summarize the above information as support for your conclusions in the Neighborhood section of the appraisal report form. If you used any additional information, such as an analysis of pending sales and/or expired and withdrawn listings, to formulate your conclusions, provide both an explanation and support for your conclusions.

A quarterly analysis was performed on 46 competing sales over the past 12 months. The sales within this group had a median sale price of $589,950 with a range from $440,000 to $670,000. Quarterly, the median sales price was reported as (oldest to most recent): $590,000, $545,000, $615,000, $589,500. This analysis, based on data grouped quarterly, shows a change of +0.3% per month. The median sales price was $589,950. This analysis, based on data grouped monthly, shows a change of +0.5% per month. Based on all sales in this same group, there is a 3.7 month supply. Quarterly, the housing supply was reported as (oldest to most recent): 1.9, 5.0, 4.5, 4.2. This analysis, based on data grouped quarterly, shows a change of +5.3% per month. These sales had an average DOM of 23 with a range from 0 to 123. A quarterly analysis regarding quantity was also performed on 74 competing listings that were all listed over the past 12 months. A quarterly analysis regarding quantity was also performed on all competing actives (listings that were considered to be active on the last day of each quarter) over the past 12 months. There are currently 14 active listings as of the effective date of this appraisal.

CONDO/CO-OP PROJECTS

If the subject is a unit in a condominium or cooperative project, complete the following: Project Name:

Subject Project Data	Prior 7–12 Months	Prior 4–6 Months	Current – 3 Months	Overall Trend		
Total # of Comparable Sales (Settled)				☐ Increasing	☐ Stable	☐ Declining
Absorption Rate (Total Sales/Months)				☐ Increasing	☐ Stable	☐ Declining
Total # of Active Comparable Listings				☐ Declining	☐ Stable	☐ Increasing
Months of Unit Supply (Total Listings/Ab. Rate)				☐ Declining	☐ Stable	☐ Increasing

Are foreclosure sales (REO sales) a factor in the project? ☐ Yes ☐ No If yes, indicate the number of REO listings and explain the trends in listings and sales of foreclosed properties.

Summarize the above trends and address the impact on the subject unit and project.

APPRAISER

Signature

Appraiser Name David J Miller
Company Name Sterling Appraising of OC, Inc
Company Address 373 Cachuma Ct Rialto CA 92377
State License/Certification # AR029515 State CA
Email Address ocorders@sterlingapp.com

Signature

Supervisory Appraiser Name
Company Name
Company Address
State License/Certification # State
Email Address

800109318

File # 257-04071

UNIFORM APPRAISAL DATASET (UAD) DEFINITIONS ADDENDUM

(Source: Fannie Mae UAD Appendix D: UAD Field-Specific Standardization Requirements)

Condition Ratings and Definitions

C1
The improvements have been recently constructed and have not been previously occupied. The entire structure and all components are new and the dwelling features no physical depreciation.

Note: Newly constructed improvements that feature recycled or previously used materials and/or components can be considered new dwellings provided that the dwelling is placed on a 100 percent new foundation and the recycled materials and the recycled components have been rehabilitated/remanufactured into like-new condition. Improvements that have not been previously occupied are not considered "new" if they have any significant physical depreciation (that is, newly constructed dwellings that have been vacant for an extended period of time without adequate maintenance or upkeep).

C2
The improvements feature no deferred maintenance, little or no physical depreciation, and require no repairs. Virtually all building components are new or have been recently repaired, refinished, or rehabilitated. All outdated components and finishes have been updated and/or replaced with components that meet current standards. Dwellings in this category either are almost new or have been recently completely renovated and are similar in condition to new construction.

Note: The improvements represent a relatively new property that is well maintained with no deferred maintenance and little or no physical depreciation, or an older property that has been recently completely renovated.

C3
The improvements are well maintained and feature limited physical depreciation due to normal wear and tear. Some components, but not every major building component, may be updated or recently rehabilitated. The structure has been well maintained.

Note: The improvement is in its first-cycle of replacing short-lived building components (appliances, floor coverings, HVAC, etc.) and is being well maintained. Its estimated effective age is less than its actual age. It also may reflect a property in which the majority of short-lived building components have been replaced but not to the level of a complete renovation.

C4
The improvements feature some minor deferred maintenance and physical deterioration due to normal wear and tear. The dwelling has been adequately maintained and requires only minimal repairs to building components/mechanical systems and cosmetic repairs. All major building components have been adequately maintained and are functionally adequate.

Note: The estimated effective age may be close to or equal to its actual age. It reflects a property in which some of the short-lived building components have been replaced, and some short-lived building components are at or near the end of their physical life expectancy; however, they still function adequately. Most minor repairs have been addressed on an ongoing basis resulting in an adequately maintained property.

C5
The improvements feature obvious deferred maintenance and are in need of some significant repairs. Some building components need repairs, rehabilitation, or updating. The functional utility and overall livability is somewhat diminished due to condition, but the dwelling remains useable and functional as a residence.

Note: Some significant repairs are needed to the improvements due to the lack of adequate maintenance. It reflects a property in which many of its short-lived building components are at the end of or have exceeded their physical life expectancy but remain functional.

C6
The improvements have substantial damage or deferred maintenance with deficiencies or defects that are severe enough to affect the safety, soundness, or structural integrity of the improvements. The improvements are in need of substantial repairs and rehabilitation, including many or most major components.

Note: Substantial repairs are needed to the improvements due to the lack of adequate maintenance or property damage. It reflects a property with conditions severe enough to affect the safety, soundness, or structural integrity of the improvements.

Quality Ratings and Definitions

Q1
Dwellings with this quality rating are usually unique structures that are individually designed by an architect for a specified user. Such residences typically are constructed from detailed architectural plans and specifications and feature an exceptionally high level of workmanship and exceptionally high-grade materials throughout the interior and exterior of the structure. The design features exceptionally high-quality exterior refinements and ornamentation, and exceptionally high-quality interior refinements. The workmanship, materials, and finishes throughout the dwelling are of exceptionally high quality.

Q2
Dwellings with this quality rating are often custom designed for construction on an individual property owner's site. However, dwellings in this quality grade are also found in high-quality tract developments featuring residence constructed from individual plans or from highly modified or upgraded plans. The design features detailed, high quality exterior ornamentation, high-quality interior refinements, and detail. The workmanship, materials, and finishes throughout the dwelling are generally of high or very high quality.

Q3
Dwellings with this quality rating are residences of higher quality built from individual or readily available designer plans in above-standard residential tract developments or on an individual property owner's site. The design includes significant exterior ornamentation and interiors that are well finished. The workmanship exceeds acceptable standards and many materials and finishes throughout the dwelling have been upgraded from "stock" standards.

Q4
Dwellings with this quality rating meet or exceed the requirements of applicable building codes. Standard or modified standard building plans are utilized and the design includes adequate fenestration and some exterior ornamentation and interior refinements. Materials, workmanship, finish, and equipment are of stock or builder grade and may feature some upgrades.

Q5
Dwellings with this quality rating feature economy of construction and basic functionality as main considerations. Such dwellings feature a plain design using readily available or basic floor plans featuring minimal fenestration and basic finishes with minimal exterior ornamentation and limited interior detail. These dwellings meet minimum building codes and are constructed with inexpensive, stock materials with limited refinements and upgrades.

Q6
Dwellings with this quality rating are of basic quality and lower cost; some may not be suitable for year-round occupancy. Such dwellings are often built with simple plans or without plans, often utilizing the lowest quality building materials. Such dwellings are often built or expanded by persons who are professionally unskilled or possess only minimal construction skills. Electrical, plumbing, and other mechanical systems and equipment may be minimal or non-existent. Older dwellings may feature one or more substandard or non-conforming additions to the original structure.

Definitions of Not Updated, Updated, and Remodeled

Not Updated

Little or no updating or modernization. This description includes, but is not limited to, new homes.

Residential properties of fifteen years of age or less often reflect an original condition with no updating, if no major components have been replaced or updated. Those over fifteen years of age are also considered not updated if the appliances, fixtures, and finishes are predominantly dated. An area that is 'Not Updated' may still be well maintained and fully functional, and this rating does not necessarily imply deferred maintenance or physical /functional deterioration.

Updated

The area of the home has been modified to meet current market expectations. These modifications are limited in terms of both scope and cost.
An updated area of the home should have an improved look and feel, or functional utility. Changes that constitute updates include refurbishment and/or replacing components to meet existing market expectations. Updates do not include significant alterations to the existing structure .

Remodeled

Significant finish and/or structural changes have been made that increase utility and appeal through complete replacement and/ or expansion.
A remodeled area reflects fundamental changes that include multiple alterations. These alterations may include some or all of the following: replacement of a major component (cabinet(s), bathtub, or bathroom tile), relocation of plumbing/gas fixtures/appliances, significant structural alterations (relocating walls, and/or the addition of) square footage). This would include a complete gutting and rebuild.

Explanation of Bathroom Count

Three-quarter baths are counted as a full bath in all cases. Quarter baths (baths that feature only a toilet) are not included in the bathroom count. The number of full and half baths is reported by separating the two values using a period, where the full bath count is represented to the left of the period and the half bath count is represented to the right of the period.

Example:
3.2 indicates three full baths and two half baths.

800109318

Abbreviations Used in Data Standardization Text

File # 257-04071

Abbreviation	Full Name	Fields Where This Abbreviation May Appear
A	Adverse	Location & View
ac	Acres	Area, Site
AdjPrk	Adjacent to Park	Location
AdjPwr	Adjacent to Power Lines	Location
ArmLth	Arms Length Sale	Sale or Financing Concessions
AT	Attached Structure	Design (Style)
B	Beneficial	Location & View
ba	Bathroom(s)	Basement & Finished Rooms Below Grade
br	Bedroom	Basement & Finished Rooms Below Grade
BsyRd	Busy Road	Location
c	Contracted Date	Date of Sale/Time
Cash	Cash	Sale or Financing Concessions
Comm	Commercial Influence	Location
Conv	Conventional	Sale or Financing Concessions
cp	Carport	Garage/Carport
CrtOrd	Court Ordered Sale	Sale or Financing Concessions
CtySky	City View Skyline View	View
CtyStr	City Street View	View
cv	Covered	Garage/Carport
DOM	Days On Market	Data Sources
DT	Detached Structure	Design (Style)
dw	Driveway	Garage/Carport
e	Expiration Date	Date of Sale/Time
Estate	Estate Sale	Sale or Financing Concessions
FHA	Federal Housing Authority	Sale or Financing Concessions
g	Garage	Garage/Carport
ga	Attached Garage	Garage/Carport
gbi	Built-In Garage	Garage/Carport
gd	Detached Garage	Garage/Carport
GlfCse	Golf Course	Location
Glfvw	Golf Course View	View
GR	Garden	Design (Style)
HR	High Rise	Design (Style)
in	Interior Only Stairs	Basement & Finished Rooms Below Grade
Ind	Industrial	Location & View
Listing	Listing	Sale or Financing Concessions
Lndfl	Landfill	Location
LtdSght	Limited Sight	View
MR	Mid-Rise	Design (Style)
Mtn	Mountain View	View
N	Neutral	Location & View
NonArm	Non-Arms Length Sale	Sale or Financing Concessions
o	Other	Basement & Finished Rooms Below Grade
O	Other	Design (Style)
op	Open	Garage/Carport
Prk	Park View	View
Pstrl	Pastoral View	View
PwrLn	Power Lines	View
PubTrn	Public Transportation	Location
Relo	Relocation Sale	Sale or Financing Concessions
REO	REO Sale	Sale or Financing Concessions
Res	Residential	Location & View
RH	USDA –Rural Housing	Sale or Financing Concessions
rr	Recreational (Rec) Room	Basement & Finished Rooms Below Grade
RT	Row or Townhouse	Design (Style)
s	Settlement Date	Date of Sale/Time
SD	Semi-detached Structure	Design (Style)
Short	Short Sale	Sale or Financing Concessions
sf	Square Feet	Area, Site, Basement
sqm	Square Meters	Area,Site
Unk	Unknown	Date of Sale/Time
VA	Veterans Administration	Sale or Financing Concessions
w	Withdrawn Date	Date of Sale/Time
wo	Walk Out Basement	Basement & Finished Rooms Below Grade
Woods	Woods View	View
Wtr	Water View	View
WtrFr	Water Frontage	Location
wu	Walk Up Basement	Basement & Finished Rooms Below Grade

DIMENSION LIST ADDENDUM

File No. 257-04071

Borrower or Owner	Anthony Rios & Anthony E Rios
Property Address	6808 Neil St
City Riverside	County Riverside State CA Zip Code 92504
Lender or Client	The Loan Store

Gross Living Area (GLA) 1050 **s.f.**

Gross Building Area (GBA) 1050.0000 **s.f.**

Areas	Square Footage			
Basement	940.7000	s.f.		% of GBA
Level 1	1050.0000	s.f.	100.00	% of GBA
Level 2	0.0000	s.f.	0.00	% of GBA
Level 3	0.0000	s.f.	0.00	% of GBA
Garage		s.f.		% of GBA
Other	0.0000	s.f.	0.00	% of GBA

Area Dimensions							Type of Area				Level		
Measurements			Factor		Area		Living	Bsmnt	Garage	Other	One	Two	Three
6.00	x	18.50	x	1.00	=	111.00	☐	☐	☐	☐	☒	☐	☐
27.00	x	34.00	x	1.00	=	918.00	☐	☐	☐	☐	☒	☐	☐
1.50	x	14.00	x	1.00	=	21.00	☐	☐	☐	☐	☒	☐	☐
1.50	x	14.00	x	1.00	=	21.00	☐	☒	☐	☐	☐	☐	☐
27.00	x	34.00	x	1.00	=	918.00	☐	☒	☐	☐	☐	☐	☐
34.00	x	0.10	x	0.50	=	1.70	☐	☒	☐	☐	☐	☐	☐
	x		x		=		☐	☐	☐	☐	☐	☐	☐
	x		x		=		☐	☐	☐	☐	☐	☐	☐
	x		x		=		☐	☐	☐	☐	☐	☐	☐
	x		x		=		☐	☐	☐	☐	☐	☐	☐
	x		x		=		☐	☐	☐	☐	☐	☐	☐
	x		x		=		☐	☐	☐	☐	☐	☐	☐
	x		x		=		☐	☐	☐	☐	☐	☐	☐
	x		x		=		☐	☐	☐	☐	☐	☐	☐
	x		x		=		☐	☐	☐	☐	☐	☐	☐
	x		x		=		☐	☐	☐	☐	☐	☐	☐
	x		x		=		☐	☐	☐	☐	☐	☐	☐
	x		x		=		☐	☐	☐	☐	☐	☐	☐
	x		x		=		☐	☐	☐	☐	☐	☐	☐
	x		x		=		☐	☐	☐	☐	☐	☐	☐
	x		x		=		☐	☐	☐	☐	☐	☐	☐
	x		x		=		☐	☐	☐	☐	☐	☐	☐
	x		x		=		☐	☐	☐	☐	☐	☐	☐
	x		x		=		☐	☐	☐	☐	☐	☐	☐
	x		x		=		☐	☐	☐	☐	☐	☐	☐
	x		x		=		☐	☐	☐	☐	☐	☐	☐
	x		x		=		☐	☐	☐	☐	☐	☐	☐
	x		x		=		☐	☐	☐	☐	☐	☐	☐
	x		x		=		☐	☐	☐	☐	☐	☐	☐
	x		x		=		☐	☐	☐	☐	☐	☐	☐
	x		x		=		☐	☐	☐	☐	☐	☐	☐
	x		x		=		☐	☐	☐	☐	☐	☐	☐
	x		x		=		☐	☐	☐	☐	☐	☐	☐
	x		x		=		☐	☐	☐	☐	☐	☐	☐
	x		x		=		☐	☐	☐	☐	☐	☐	☐
	x		x		=		☐	☐	☐	☐	☐	☐	☐

800109318

USPAP ADDENDUM

File No. 257-04071

Borrower Anthony Rios & Anthony E Rios

Property Address 6808 Neil St

City Riverside County Riverside State CA Zip Code 92504

Lender The Loan Store

This report was prepared under the following USPAP reporting option:

☒ **Appraisal Report** This report was prepared in accordance with USPAP Standards Rule 2-2(a).

☐ **Restricted Appraisal Report** This report was prepared in accordance with USPAP Standards Rule 2-2(b).

Reasonable Exposure Time

My opinion of a reasonable exposure time for the subject property at the market value stated in this report is: 60 to 180 days

The estimated exposure time for the subject, considering a hypothetical sale of the property as of the effective date of this report at the concluded opinion of market value would have been 60 to 180 days based upon analysis of historical data available to the appraiser.

Additional Certifications

I certify that, to the best of my knowledge and belief:

☒ I have **NOT** performed services, as an appraiser or in any other capacity, regarding the property that is the subject of this report within the three-year period immediately preceding acceptance of this assignment.

☐ I **HAVE** performed services, as an appraiser or in another capacity, regarding the property that is the subject of this report within the three-year period immediately preceding acceptance of this assignment. Those services are described in the comments below.

Additional Comments

APPRAISER:

Signature:

Name: David J Miller

Date Signed: 08/12/2025

State Certification #: AR 029515

or State License #:

or Other (describe) State #

State: CA

Expiration Date of Certification or License: 08/07/2026

Effective Date of Appraisal: 08/07/2025

SUPERVISORY APPRAISER: (only if required)

Signature:

Name:

Date Signed:

State Certification #:

or State License #:

State:

Expiration Date of Certification or License:

Supervisory Appraiser Inspection of Subject Property:

☐ Did Not ☐ Exterior-only from Street ☐ Interior and Exterior

SUBJECT PHOTOGRAPH ADDENDUM

File # 257-04071

Borrower/Client Anthony Rios & Anthony E Rios
Property Address 6808 Neil St
City Riverside County Riverside State CA Zip Code 92504
Lender The Loan Store

FRONT OF SUBJECT PROPERTY

Appraised Date: August 7, 2025
Appraised Value: $625000

REAR OF SUBJECT PROPERTY

STREET SCENE

800109318

ADDITIONAL PHOTOGRAPH ADDENDUM

File # 257-04071

Borrower/Client Anthony Rios & Anthony E Rios

Property Address 6808 Neil St

City Riverside County Riverside State CA Zip Code 92504

Lender The Loan Store

Opposite Street



Side

Side

ADDITIONAL PHOTOGRAPH ADDENDUM

File # 257-04071

Borrower/Client Anthony Rios & Anthony E Rios
Property Address 6808 Neil St
City Riverside County Riverside State CA Zip Code 92504
Lender The Loan Store

Electric Meter

Gas meter

Water heater double strapped

ADDITIONAL PHOTOGRAPH ADDENDUM

File # 257-04071

Borrower/Client Anthony Rios & Anthony E Rios
Property Address 6808 Neil St
City Riverside County Riverside State CA Zip Code 92504
Lender The Loan Store

Main Dwelling
Living

Main Dwelling
Dining

Main Dwelling
Kitchen

ADDITIONAL PHOTOGRAPH ADDENDUM

File # 257-04071

Borrower/Client Anthony Rios & Anthony E Rios
Property Address 6808 Neil St
City Riverside County Riverside State CA Zip Code 92504
Lender The Loan Store

Main Dwelling
Bedroom

Main Dwelling
Bedroom

Main Dwelling
Bathroom

ADDITIONAL PHOTOGRAPH ADDENDUM

File # 257-04071

Borrower/Client Anthony Rios & Anthony E Rios
Property Address 6808 Neil St
City Riverside County Riverside State CA Zip Code 92504
Lender The Loan Store

Main Dwelling
CO/Smoke Alarm

Main Dwelling
CO/Smoke Alarm

Below Grade Living Area - Front

800109318

ADDITIONAL PHOTOGRAPH ADDENDUM

File # 257-04071

Borrower/Client Anthony Rios & Anthony E Rios

Property Address 6808 Neil St

City Riverside County Riverside State CA Zip Code 92504

Lender The Loan Store

Below Grade Living Area

Living

Below Grade Living Area

Dining

Below Grade Living Area

Kitchen

ADDITIONAL PHOTOGRAPH ADDENDUM

File # 257-04071

Borrower/Client Anthony Rios & Anthony E Rios
Property Address 6808 Neil St
City Riverside County Riverside State CA Zip Code 92504
Lender The Loan Store

Below Grade Living Area
Bedroom

Below Grade Living Area
Bedroom



Below Grade Living Area
Bathroom

ADDITIONAL PHOTOGRAPH ADDENDUM

File # 257-04071

Borrower/Client Anthony Rios & Anthony E Rios
Property Address 6808 Neil St
City Riverside County Riverside State CA Zip Code 92504
Lender The Loan Store

Below Grade Living Area
CO/Smoke Alarm

Below Grade Living Area
CO/Smoke Alarm

ADU - 2nd floor
Garage Conversion lower level

ADDITIONAL PHOTOGRAPH ADDENDUM

File # 257-04071

Borrower/Client Anthony Rios & Anthony E Rios
Property Address 6808 Neil St
City Riverside County Riverside State CA Zip Code 92504
Lender The Loan Store

ADU - 2nd floor
Garage Conversion lower level

ADU - 2nd floor
Garage Conversion lower level



ADU - 2nd floor
Garage Conversion lower level

ADDITIONAL PHOTOGRAPH ADDENDUM

File # 257-04071

Borrower/Client Anthony Rios & Anthony E Rios
Property Address 6808 Neil St
City Riverside County Riverside State CA Zip Code 92504
Lender The Loan Store

Water heater double strapped

Ductless heating/cooling

ADU
Living

ADDITIONAL PHOTOGRAPH ADDENDUM

File # 257-04071

Borrower/Client Anthony Rios & Anthony E Rios
Property Address 6808 Neil St
City Riverside County Riverside State CA Zip Code 92504
Lender The Loan Store

ADU
Kitchen/Dining

ADU
Bedroom

ADU
Bedroom

ADDITIONAL PHOTOGRAPH ADDENDUM

File # 257-04071

Borrower/Client Anthony Rios & Anthony E Rios
Property Address 6808 Neil St
City Riverside County Riverside State CA Zip Code 92504
Lender The Loan Store

ADU
Bathroom

ADU
CO/Smoke Alarm

ADU
CO/Smoke Alarm

800109318

ADDITIONAL PHOTOGRAPH ADDENDUM

File # 257-04071

Borrower/Client Anthony Rios & Anthony E Rios
Property Address 6808 Neil St
City Riverside County Riverside State CA Zip Code 92504
Lender The Loan Store

Garage Conversion
Living

Garage Conversion
Kitchen/Dining

Garage Conversion
Bedroom

ADDITIONAL PHOTOGRAPH ADDENDUM

File # 257-04071

Borrower/Client Anthony Rios & Anthony E Rios
Property Address 6808 Neil St
City Riverside County Riverside State CA Zip Code 92504
Lender The Loan Store

Garage Conversion
Bathroom

Garage Conversion
CO/Smoke Alarm

Comp 1 MLS photo

ADDITIONAL PHOTOGRAPH ADDENDUM

File # 257-04071

Borrower/Client Anthony Rios & Anthony E Rios
Property Address 6808 Neil St
City Riverside County Riverside State CA Zip Code 92504
Lender The Loan Store

Comp 5 MLS photo

Comp 6 MLS photo

Rental 2 - main house best view available

ADDITIONAL PHOTOGRAPH ADDENDUM

File # 257-04071

Borrower/Client Anthony Rios & Anthony E Rios
Property Address 6808 Neil St
City Riverside County Riverside State CA Zip Code 92504
Lender The Loan Store

Rental 3 MLS photo

Comp 4 MLS photo - Best view available

RENTAL COMPARABLE #1
4985 Olivewood Ave
Riverside, CA 92506

ADDITIONAL PHOTOGRAPH ADDENDUM

File # 257-04071

Borrower/Client Anthony Rios & Anthony E Rios
Property Address 6808 Neil St
City Riverside County Riverside State CA Zip Code 92504
Lender The Loan Store

RENTAL COMPARABLE #2
5773 Angela Ave
Jurupa Valley, CA 92509

RENTAL COMPARABLE #3
3552 Washington St
Riverside, CA 92504

RENTAL COMPARABLE #4
4764 Indian Hill Rd
Riverside, CA 92501

ADDITIONAL PHOTOGRAPH ADDENDUM

File # 257-04071

Borrower/Client Anthony Rios & Anthony E Rios

Property Address 6808 Neil St

City Riverside County Riverside State CA Zip Code 92504

Lender The Loan Store

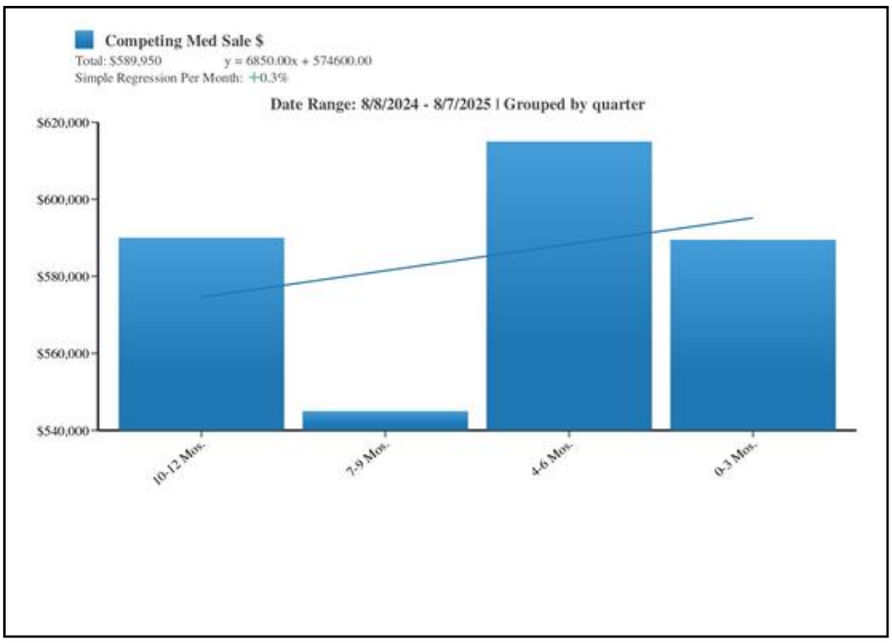

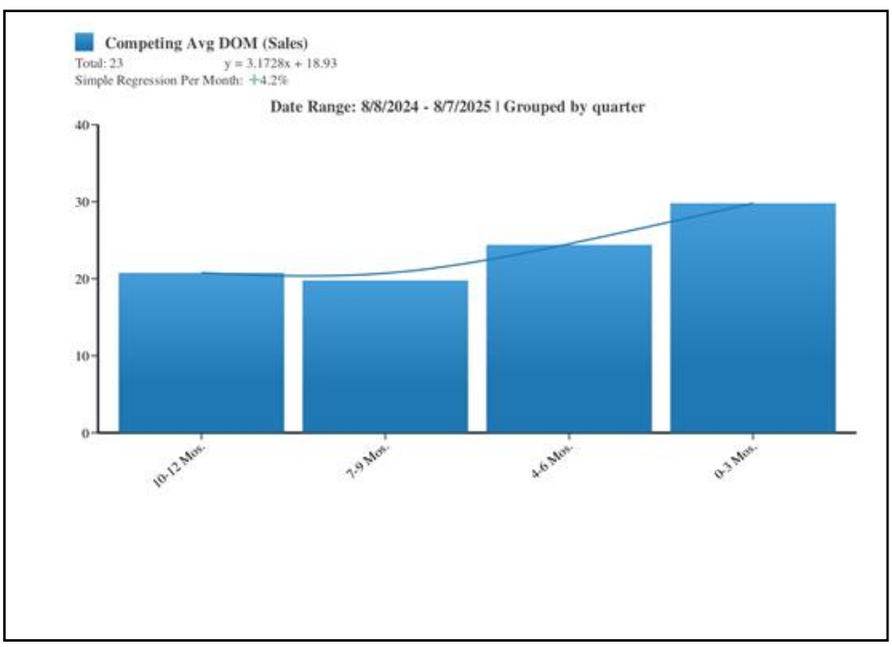

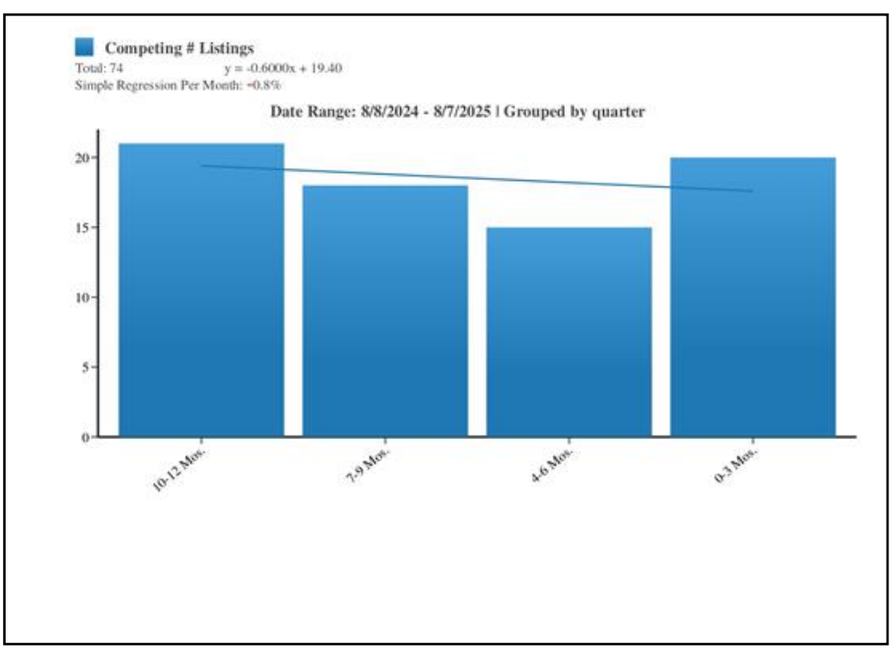

ADDITIONAL PHOTOGRAPH ADDENDUM

File # 257-04071

Borrower/Client Anthony Rios & Anthony E Rios
Property Address 6808 Neil St
City Riverside County Riverside State CA Zip Code 92504
Lender The Loan Store

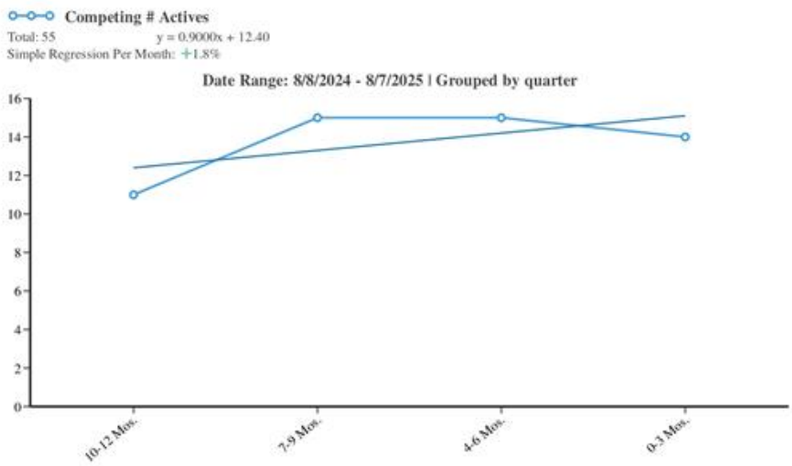

Comp 1 Google photo

Comp 6 Google photo

COMPARABLES PHOTOGRAPH ADDENDUM

File # 257-04071

Borrower/Client Anthony Rios & Anthony E Rios
Property Address 6808 Neil St
City Riverside County Riverside State CA Zip Code 92504
Lender The Loan Store

Comparable Sale 1

8463 California Ave
Riverside CA 92504
Date of Sale: s08/25;c07/25
Sale Price: 575000
Sq. Ft.: 1102
$ / Sq. Ft.: 521.78

Comparable Sale 2

6191 Streeter Ave
Riverside CA 92504
Date of Sale: s07/25;c05/25
Sale Price: 655000
Sq. Ft.: 1301
$ / Sq. Ft.: 503.46

Comparable Sale 3

5464 Beatty Dr
Riverside CA 92504
Date of Sale: s01/25;c12/24
Sale Price: 634000
Sq. Ft.: 1118
$ / Sq. Ft.: 567.08

COMPARABLES PHOTOGRAPH ADDENDUM

File # 257-04071

Borrower/Client: Anthony Rios & Anthony E Rios
Property Address: 6808 Neil St
City: Riverside County: Riverside State: CA Zip Code: 92504
Lender: The Loan Store

Comparable Sale 4

3985 Wayne Ct
Riverside CA 92504
Date of Sale: s08/24;c05/24
Sale Price: 590000
Sq. Ft.: 956
$ / Sq. Ft.: 617.15

Comparable Sale 5

6820 Neil St
Riverside CA 92504
Date of Sale: s05/24;c04/24
Sale Price: 550000
Sq. Ft.: 1096
$ / Sq. Ft.: 501.82



Comparable Sale 6

7914 Magnolia Ave
Riverside CA 92504
Date of Sale: Active
Sale Price: 650000
Sq. Ft.: 1344
$ / Sq. Ft.: 483.63

LOCATION MAP ADDENDUM

File # 257-04071

Borrower/Client	Anthony Rios & Anthony E Rios
Property Address	6808 Neil St
City	Riverside
County	Riverside
State	CA
Zip Code	92504
Lender	The Loan Store

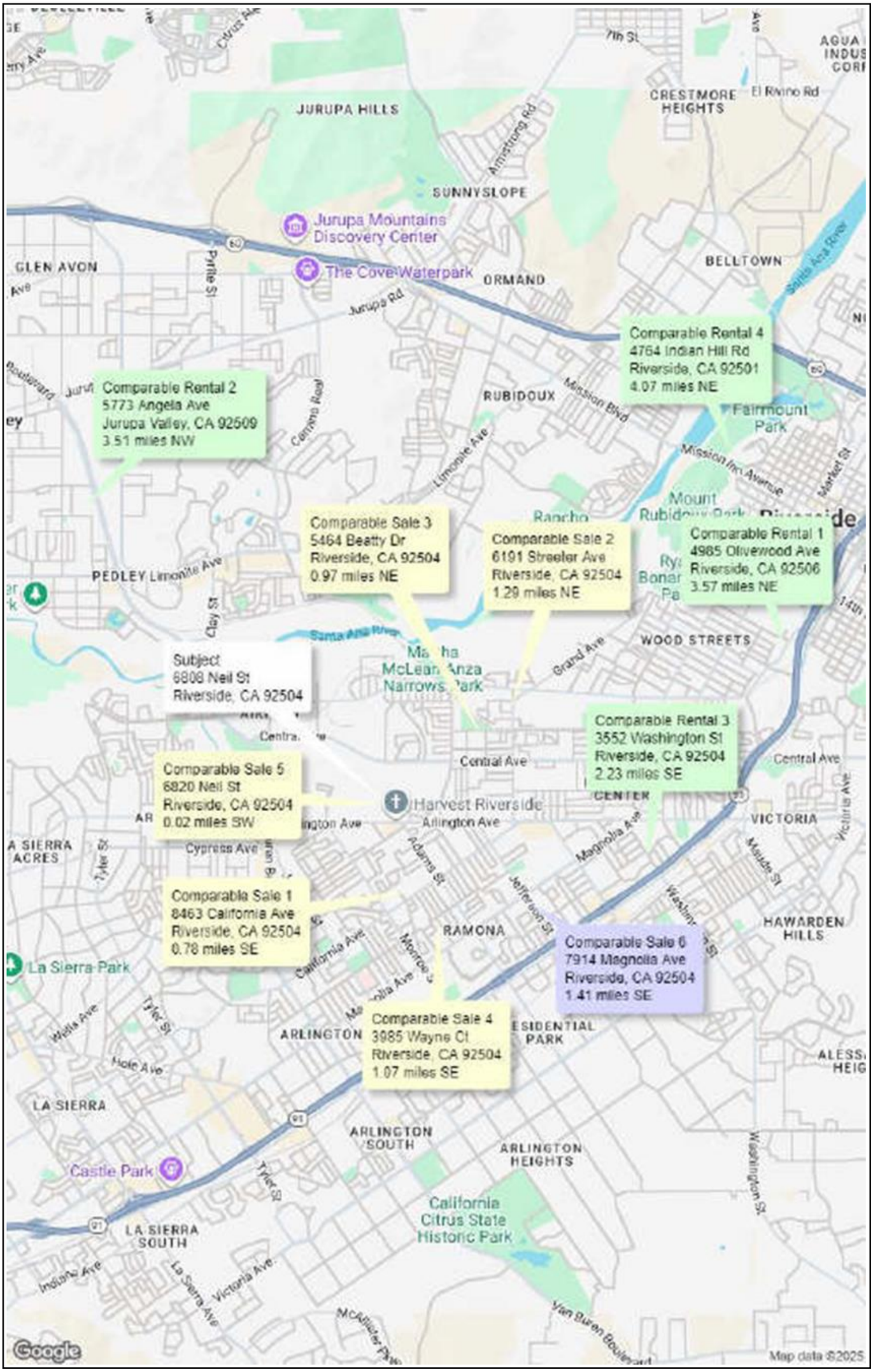

SKETCH ADDENDUM

File # 257-04071

Borrower/Client	Anthony Rios & Anthony E Rios
Property Address	6808 Neil St
City	Riverside
County	Riverside
State	CA
Zip Code	92504
Lender	The Loan Store

Sketch

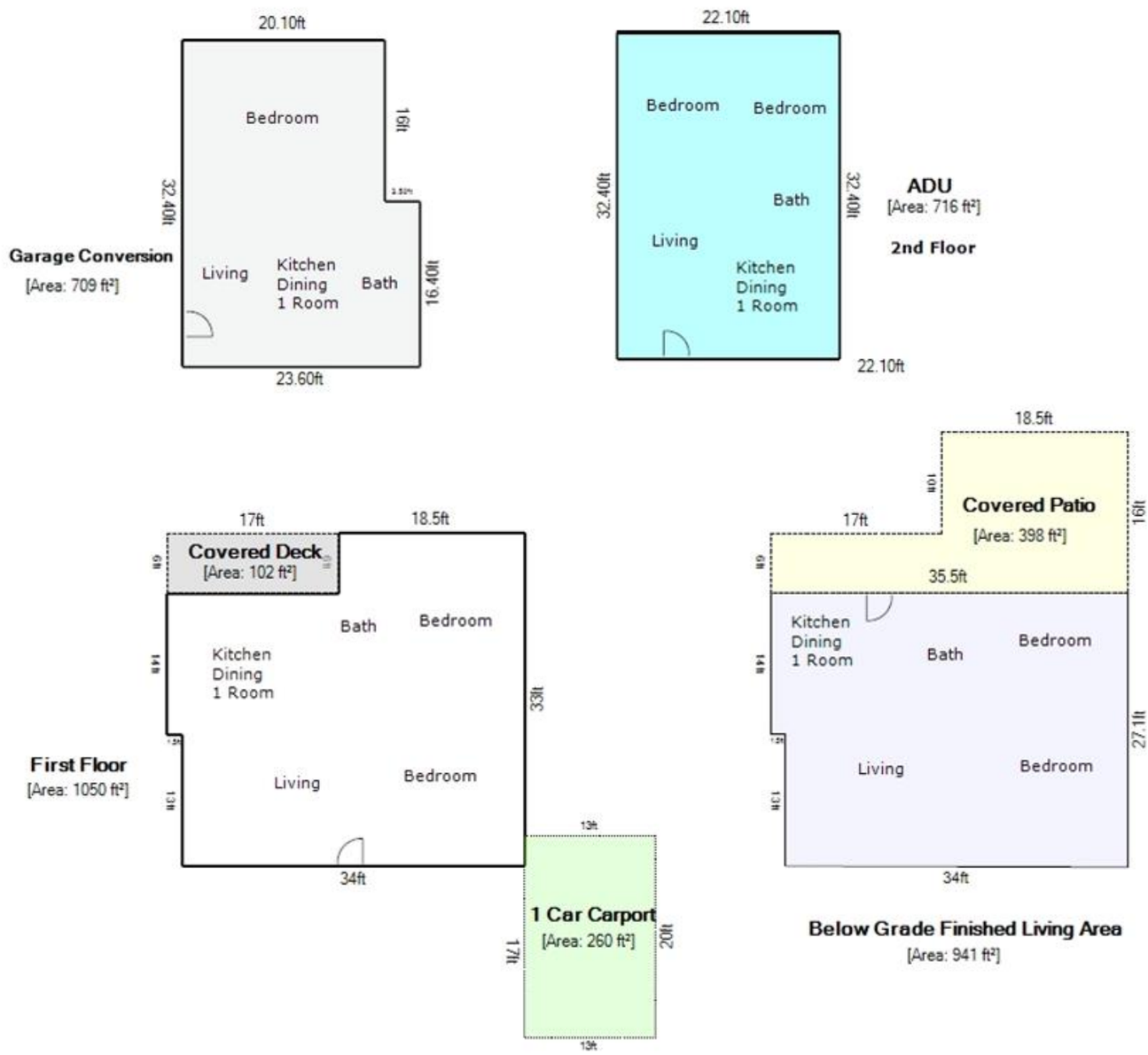

Living Area		Area Calculation				
First Floor	1050 ft²	First Floor				x 1.00 = 1050 ft²
Nonliving Area			6ft x	18.5ft x	1.00 =	111 ft²
Below Grade Finished Living Area	940.7 ft²		27ft x	34ft x	1.00 =	918 ft²
Garage Conversion	708.64 ft²		1.5ft x	14ft x	1.00 =	21 ft²
ADU	716.04 ft²					
1 Car Carport	260 ft²					
Covered Deck	102 ft²					
Covered Patio	398 ft²					
Total Living Area (rounded):	**1050 ft²**					

800109318

Aerial Map

File # 257-04071

Borrower/Client	Anthony Rios & Anthony E Rios
Property Address	6808 Neil St
City	Riverside
County	Riverside
State	CA
Zip Code	92504
Lender	The Loan Store

800109318

File # 257-04071

Borrower/Client	Anthony Rios & Anthony E Rios
Property Address	6808 Neil St
City	Riverside
County	Riverside
State	CA
Zip Code	92504
Lender	The Loan Store

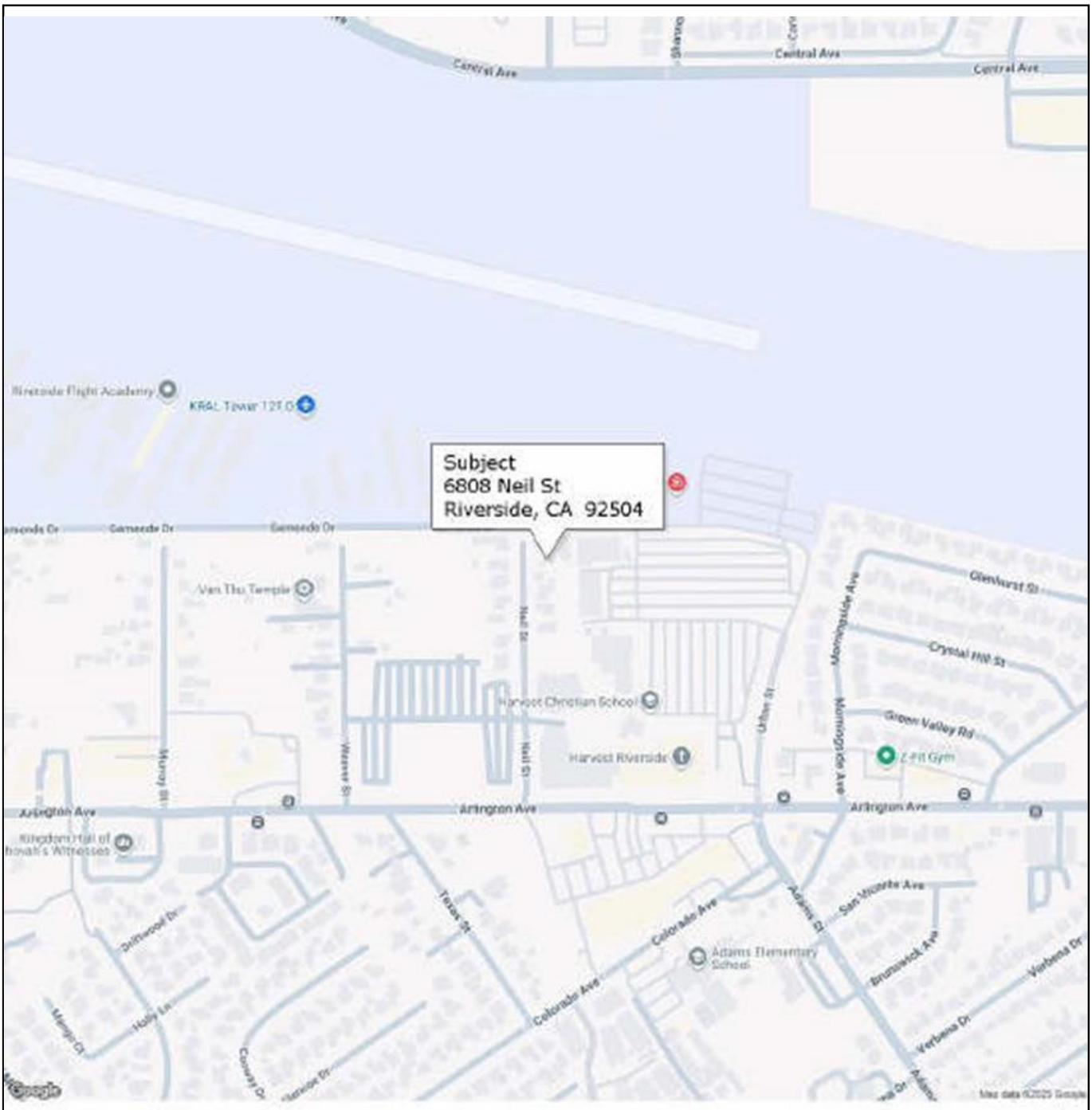

FLOOD INFORMATION

Community: City of Riverside

Property is NOT in a FEMA Special Flood Hazard Area

Map Number: 06065C0710G

Panel: 06065C0710

Zone: X

Map Date: 08-28-2008

FIPS: 06065

Source: FEMA DFIRM

LEGEND

= FEMA Special Flood Hazard Area – High Risk

= Moderate and Minimal Risk Areas

Road View:

= Forest

= Water

Sky Flood™

No representations or warranties to any party concerning the content, accuracy or completeness of this flood report, including any warranty of merchantability or fitness for a particular purpose is implied or provided. Visual scaling factors differ between map layers and are separate from flood zone information at marker location. No liability is accepted to any third party for any use or misuse of this flood map or its data.

800109318

File # 257-04071

Borrower/Client Anthony Rios & Anthony E Rios

Property Address 6808 Neil St

City Riverside County Riverside State CA Zip Code 92504

Lender The Loan Store

Business, Consumer Services & Housing Agency

BUREAU OF REAL ESTATE APPRAISERS

REAL ESTATE APPRAISER LICENSE

David J. Miller

has successfully met the requirements for a license as a residential real estate appraiser in the State of California and is, therefore, entitled to use the title:

"Certified Residential Real Estate Appraiser"

This license has been issued in accordance with the provisions of the Real Estate Appraisers' Licensing and Certification Law.

BREA APPRAISER IDENTIFICATION NUMBER: AR 029515

Effective Date: August 8, 2024
Date Expires: August 7, 2026

Angela Jemmott, Bureau Chief, BREA

3077387

THIS DOCUMENT CONTAINS A TRUE WATERMARK - HOLD UP TO LIGHT TO SEE "CHAIN LINK"

File # 257-04071

Borrower/Client Anthony Rios & Anthony E Rios
Property Address 6808 Neil St
City Riverside County Riverside State CA Zip Code 92504
Lender The Loan Store

GREAT AMERICAN INSURANCE GROUP

301 E. Fourth Street, Cincinnati, OH 45202

DECLARATIONS
for
REAL ESTATE APPRAISERS ERRORS & OMISSIONS INSURANCE POLICY

THIS IS BOTH A CLAIMS MADE AND REPORTED INSURANCE POLICY.

THIS POLICY APPLIES TO THOSE CLAIMS THAT ARE FIRST MADE AGAINST THE INSURED AND REPORTED IN WRITING TO THE COMPANY DURING THE POLICY PERIOD.

Insurance is afforded by the company indicated below: (A capital stock corporation)

☒ Great American Assurance Company

Note: The Insurance Company selected above shall herein be referred to as the **Company**.

Policy Number: **RAP3668277-25** Renewal of: **RAP3668277-24**

Program Administrator: **Herbert H. Landy Insurance Agency Inc.**
100 River Ridge Drive, Suite 301 Norwood, MA 02062

Item 1. **Named Insured**: **David J Miller**

Item 2. **Address**: **373 Cachuma Ct**
City, State, Zip Code: **Rialto, CA 92377**

Item 3. **Policy Period**: From **04/02/2025** *(Month, Day, Year)* To **04/02/2026** *(Month, Day, Year)*
(Both dates at 12:01 a.m. Standard Time at the address of the **Named Insured** as stated in Item 2.)

Item 4. **Limits of Liability**:

A. $ **1,000,000** **Damages** Limit of Liability – Each **Claim**

B. $ **1,000,000** **Claim Expenses** Limit of Liability – Each **Claim**

C. $ **1,000,000** **Damages** Limit of Liability – Policy Aggregate

D. $ **1,000,000** **Claim Expenses** Limit of Liability – Policy Aggregate

Item 5. **Deductible** (Inclusive of **Claim Expenses**):

A. $ **500** Each **Claim**

B. $ **1,000** Aggregate

Item 6. **Premium**: $ **895.00**

Item 7. **Retroactive Date** (if applicable): **02/02/2014**

Item 8. **Forms, Notices and Endorsements attached**:
D42100 (03/15) D42300 CA (10/13) IL7324 (07/21)
D42408 (05/13) D42412 (03/17) D42413 (06/17) D42414 (08/19)

Authorized Representative

File # 257-04071

Borrower/Client Anthony Rios & Anthony E Rios

Property Address 6808 Neil St

City Riverside County Riverside State CA Zip Code 92504

Lender The Loan Store

Multiple analyses of sale price on relevant data over the past 12 months in the subject's market was utilized to determine that the ideal method for market condition (i.e. time) adjustments is a simple linear regression trendline calculated based on all competing properties. The data shows that a linear rate of change of 0.22% per month is appropriate for this market and this percentage adjustment was applied to each closed comparable based on their contract date. Adjustments were rounded to the nearest $1,000 but they were not applied to properties that have a contract date within 30 days of the effective date. The below chart and data (based on the effective date of 08/07/2025) show the market trend and adjustment details.

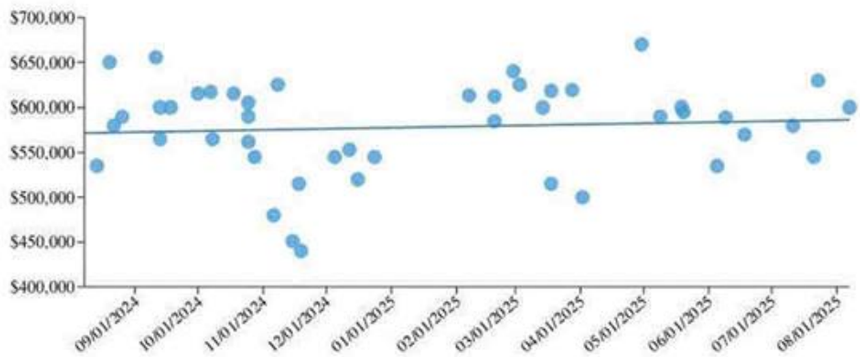

Comparable Market Conditions (Time) Adjustments

Trendline Value as of the Effective Date: $586,474

*Comparable	Contract Date	Sale Price	Trendline Value	Adjustment	Percent
8463 California Ave	No Adjustment - Contracted Within 30 Days of the Effective Date				
6191 Streeter Ave	05/16/2025	$655,000	$583,101	$4,000	0.6%
5464 Beatty Dr	12/13/2024	$634,000	$576,843	$11,000	1.7%
8967 Patrero St	08/30/2024	$670,000	$572,573	$16,000	2.4%
3985 Wayne Ct	05/16/2024	$590,000	$568,265	$19,000	3.2%
6820 Neil St	04/08/2024	$550,000	$566,720	$19,000	3.5%
7914 Magnolia Ave	Not a Closed Sale				
5834 Norman Way	Not a Closed Sale				

NOTE: The Trendline Value above for each comp is the value for the trendline on the date noted for each comparable. The percent adjustment is calculated by subtracting this value from the value as of effective date and then dividing by that same Trendline Value.

* May include properties that were considered but not utilized in the sales grid.

File # 257-04071

Borrower/Client Anthony Rios & Anthony E Rios
Property Address 6808 Neil St
City Riverside County Riverside State CA Zip Code 92504
Lender The Loan Store

6808 Neil St, Riverside, CA 92504-1950, Riverside County

Expired Listing

APN: 189-230-029 CLIP: 4513791987

MLS Beds	MLS Full Baths	Half Baths	Sale Price	Sale Date
1	1	N/A	$440,000	07/30/2020
MLS Sq Ft	**Lot Sq Ft**	**MLS Yr Built**	**Type**	
800	8,712	1926	SFR	

OWNER INFORMATION

Owner Name	Rios Anthony Eric	Tax Billing Zip	92505
Owner Name 2	Martinez-Rubio Leslie	Tax Billing Zip+4	3187
Mail Owner Name	Anthony Eric Rios	Owner Vesting	
Tax Billing Address	11897 Tilden Pl	Owner Occupied	No
Tax Billing City & State	Riverside, CA	No Mail Flag	

LOCATION INFORMATION

Zip Code	92504	TGNO	
Carrier Route	C117	Census Tract	309.00
Zoning		Topography	
Tract Number		Township Range Sect	
School District	Riverside	Neighborhood Code	
Comm College District Code	Riverside City	Within 250 Feet of Multiple Flood Zone	No
Location Influence			

TAX INFORMATION

APN	189-230-029	Tax Appraisal Area	
Alternate APN	189-230-029	Lot	2
Exemption(s)		Block	
% Improved	82%	Water Tax Dist	Western
Tax Area	009042	Fire Dept Tax Dist	
Legal Description	.20 ACRES M/L IN PAR 2 RS 038/046		

ASSESSMENT & TAX

Assessment Year	2025	2024	2023
Assessed Value - Total	$476,267	$466,930	$457,776
Assessed Value - Land	$86,593	$84,896	$83,232
Assessed Value - Improved	$389,674	$382,034	$374,544
YOY Assessed Change ($)	$9,337	$9,154	
YOY Assessed Change (%)	2%	2%	
Exempt Building Value			
Exempt Land Value			
Exempt Total Value			

Tax Year	Total Tax	Change ($)	Change (%)
2022	$5,059		
2023	$5,154	$95	1.87%
2024	$5,176	$23	0.44%

Special Assessment	Tax Amount
Fld Cntl Stormwater/Cleanwater	$3.76
Csa 152-Riv Stormwater	$10.00
Riverside Ltg Dist	$31.44
Nw Mosquito & Vector-Riverside	$12.04
Mwd Standby West	$9.22
Total Of Special Assessments	$66.46

The data within this report is compiled by CoreLogic from public and private sources. The data is deemed reliable, but is not guaranteed. The accuracy of the data contained herein can be independently verified by the recipient of this report with the applicable county or municipality.

File # 257-04071

Borrower/Client Anthony Rios & Anthony E Rios

Property Address 6808 Neil St

City Riverside County Riverside State CA Zip Code 92504

Lender The Loan Store

CHARACTERISTICS

County Land Use	**Single Family Dwelling**	Cooling Type	**Central**
Universal Land Use	**SFR**	Patio Type	
Lot Frontage		Garage Type	
Lot Depth		Garage Sq Ft	
Lot Acres	**0.2**	Parking Type	
Lot Area	**8,712**	Parking Spaces	
Lot Shape		Roof Type	
Style		Roof Material	**Slate**
Building Sq Ft	**Tax: 1,560 MLS: 800**	Roof Frame	
Gross Area	**1,560**	Roof Shape	
2nd Floor Area		Construction Type	**Frame**
Basement Sq Feet		Interior Wall	
Stories	**2**	Exterior	
Total Units		Floor Cover	
Total Rooms		Flooring Material	
Bedrooms	**Tax: 4 MLS: 1**	Foundation	
Total Baths	**Tax: 3 MLS: 1**	Pool	
MLS Total Baths	**1**	Year Built	**1926**
Full Baths	**Tax: 3 MLS: 1**	Effective Year Built	**1926**
Half Baths		Other Impvs	**Yes**
Dining Rooms		Equipment	
Family Rooms		Porch	
Other Rooms		Patio/Deck 1 Area	
Fireplaces		Patio/Deck 2 Area	
Condo Amenities		Porch 1 Area	
Condition		Porch Type	
Quality	**Average**	Building Type	
Water	**Type Unknown**	Bldg Class	
Sewer	**Type Unknown**	Building Comments	
Heat Type	**Central**	# of Buildings	**1**
Heat Fuel Type			

ESTIMATED VALUE

RealAVM™	**$639,000**	Confidence Score	**80**
RealAVM™ Range	**$574,700 - $703,300**	Forecast Standard Deviation	**10**
Value As Of	**07/28/2025**		

(1) RealAVM™ is a CoreLogic® derived value and should not be used in lieu of an appraisal.

(2) The Confidence Score is a measure of the extent to which sales data, property information, and comparable sales support the property valuation analysis process. The confidence score range is 50 - 100. Clear and consistent quality and quantity of data drive higher confidence scores while lower confidence scores indicate diversity in data, lower quality and quantity of data, and/or limited similarity of the subject property to comparable sales.

(3) The FSD denotes confidence in an AVM estimate and uses a consistent scale and meaning to generate a standardized confidence metric. The FSD is a statistic that measures the likely range or dispersion an AVM estimate will fall within, based on the consistency of the information available to the AVM at the time of estimation. The FSD can be used to create confidence that the true value has a statistical degree of certainty.

RENTAL TRENDS

Estimated Value	**3199**	Cap Rate	**3.4%**
Estimated Value High	**3558**	Forecast Standard Deviation (FSD)	**0.11**
Estimated Value Low	**2840**		

(1) Rental Trends is a CoreLogic® derived value and should be used for information purposes only.

(2) The FSD denotes confidence in an Rental Trends estimate and uses a consistent scale and meaning to generate a standardized confidence metric. The FSD is a statistic that measures the likely range or dispersion a Rental Amount estimate will fall within, based on the consistency of the information available to the Rental Amount at the time of estimation. The FSD can be used to create confidence that the true value has a statistical degree of certainty.

LISTING INFORMATION

MLS Listing Number	IG23212787	MLS Original List Price	**$2,100**
MLS Status	**Expired**	Pending Date	
MLS Source	**CRM**	Closing Date	
MLS Area	**252 - RIVERSIDE**	MLS Sale Price	
MLS Status Change Date	**01/17/2024**	MLS Listing Agent	**Kriosabe-Abel Rios**
MLS Current List Price	**$2,100**	MLS Listing Broker	**RE/MAX PARTNERS**

MLS Listing #	Ig22193089	Ig22181958	Ig21164688	Ig21108791	Ig20115538
MLS Status	**Expired**	**Canceled**	**Closed**	**Closed**	**Closed**
MLS Listing Date	**09/01/2022**	**08/17/2022**	**07/27/2021**	**05/20/2021**	**06/15/2020**
MLS Listing Price	**$2,350**	**$2,250**	**$2,250**	**$2,250**	**$449,000**
MLS Orig Listing Price	**$2,350**	**$2,350**	**$2,250**	**$2,250**	**$449,000**
MLS Close Date			**08/06/2021**	**06/01/2021**	**07/31/2020**
MLS Listing Close Price			**$2,250**	**$2,250**	**$440,000**

The data within this report is compiled by CoreLogic from public and private sources. The data is deemed reliable, but is not guaranteed. The accuracy of the data contained herein can be independently verified by the recipient of this report with the applicable county or municipality.

File # 257-04071

Borrower/Client Anthony Rios & Anthony E Rios
Property Address 6808 Neil St
City Riverside County Riverside State CA Zip Code 92504
Lender The Loan Store

MLS Listing Cancellation Date		11/09/2022			
MLS Source History	CRM	CRM	CRM	CRM	CRM

MLS Listing #	C12067084	I623550
MLS Status	Closed	Closed
MLS Listing Date	05/29/2012	06/24/2006
MLS Listing Price	$209,000	$424,999
MLS Orig Listing Price	$209,000	
MLS Close Date	01/04/2013	09/14/2006
MLS Listing Close Price	$209,000	$370,000
MLS Listing Cancellation Date		
MLS Source History	CRM	CRM

LAST MARKET SALE & SALES HISTORY

Recording Date	07/31/2020	Sale Type	Full
Sale Date	07/30/2020	Deed Type	Grant Deed
Sale Price	$440,000	Owner Name	Rios Anthony Eric
Price Per Square Feet	$282.05	Owner Name 2	Martinez-Rubio Leslie
Multi/Split Sale		Seller	Huynh Brian C
Document Number	345053		

Recording Date	07/31/2020	11/14/2016	01/04/2013	01/04/2013	10/07/2011
Sale Date	07/30/2020	11/10/2016	12/04/2012	10/24/2012	09/07/2011
Sale Price	$440,000			$209,000	$120,000
Nominal		Y	Y		
Buyer Name	Rios Anthony E	Huynh Brian C	Huynh Brian C	Huynh Brian C	Clearvue Opportunity X x LLC
Seller Name	Huynh Brian C	Huynh April L	Huynh April	Clear Vue Opportunity Xx LLC	Regional Service Corp
Document Number	345053	507667	7208	7207	444085
Document Type	Grant Deed	Quit Claim Deed	Interspousal Deed Transfer	Grant Deed	Trustee's Deed (Foreclosure)

Recording Date	06/29/2007	09/28/2006	09/12/2006
Sale Date	05/25/2007	09/01/2006	08/21/2006
Sale Price			$430,000
Nominal	Y	Y	
Buyer Name	Perez Sergio E	Perez Sergio E	Perez Sergio E
Seller Name	Perez Sergio E	Perez Sergio E	Low Family Trust
Document Number	429135	716972	673681
Document Type	Grant Deed	Grant Deed	Grant Deed

MORTGAGE HISTORY

Mortgage Date	07/31/2020	11/14/2016	01/04/2013	06/29/2007	06/29/2007
Mortgage Amount	$396,000	$180,000	$167,200	$408,000	$51,000
Mortgage Lender	Quicken Lns	Paramount Resid'l Mtg Grp	Clearvision Fndg	Mortgageit Inc	Mortgageit Inc
Mortgage Code	Conventional	Conventional	Conventional	Conventional	Conventional

Mortgage Date	09/12/2006	09/12/2006	09/26/2002
Mortgage Amount	$344,000	$86,000	$100,225
Mortgage Lender	Resmae Mtg Corp	Resmae Mtg Corp	Abn Amro Mtg Grp Inc
Mortgage Code	Conventional	Conventional	Conventional

FORECLOSURE HISTORY

Document Type	Notice Of Trustee's Sale	Notice Of Default	Release Of Lis Pendens/Notice	Notice Of Default
Default Date		03/14/2011		01/23/2008
Foreclosure Filing Date	07/14/2011	03/14/2011		01/23/2008
Recording Date	07/22/2011	03/15/2011	02/25/2011	01/24/2008
Document Number	322902	116507	86710	37710

The data within this report is compiled by CoreLogic from public and private sources. The data is deemed reliable, but is not guaranteed. The accuracy of the data contained herein can be independently verified by the recipient of this report with the applicable county or municipality.

File # 257-04071

Borrower/Client Anthony Rios & Anthony E Rios

Property Address 6808 Neil St

City Riverside County Riverside State CA Zip Code 92504

Lender The Loan Store

Book Number				
Page Number				
Default Amount		$81,324		$8,450
Final Judgment Amount	$493,418			
Original Doc Date	06/29/2007	06/29/2007	01/24/2008	06/29/2007
Original Document Number	429136	429136	37710	429136
Original Book Page				
Lien Type				

PROPERTY MAP

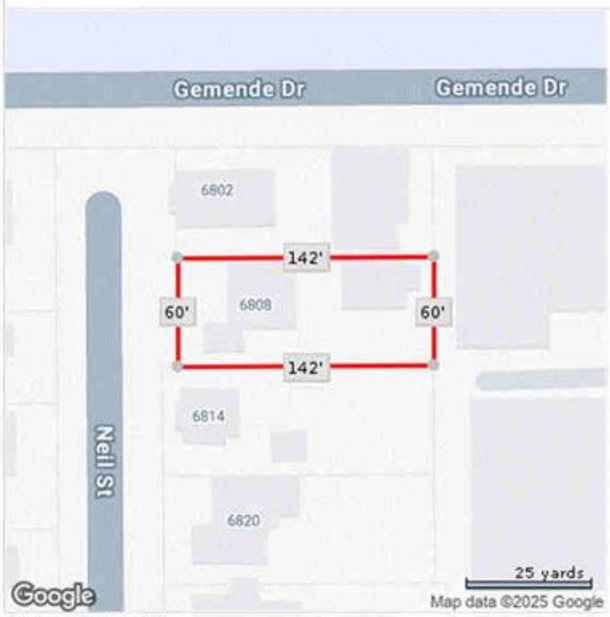

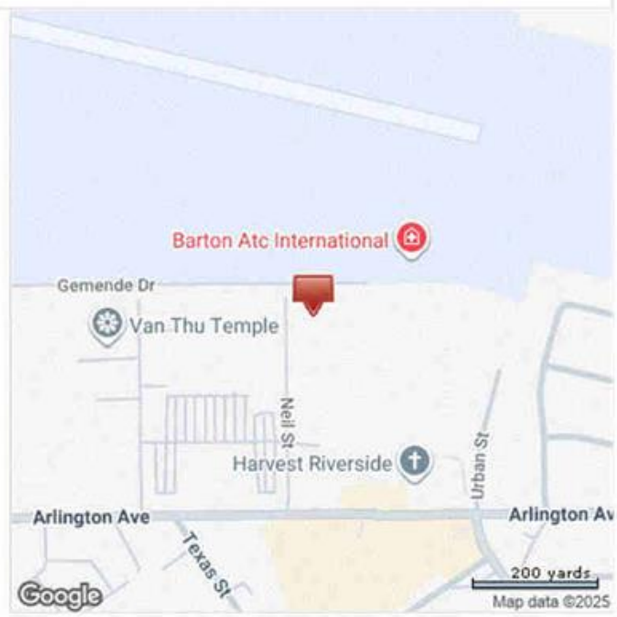

*Lot Dimensions are Estimated

The data within this report is compiled by CoreLogic from public and private sources. The data is deemed reliable, but is not guaranteed. The accuracy of the data contained herein can be independently verified by the recipient of this report with the applicable county or municipality.

AI Ready PDF Generated on 08/12/2025 7:04:06 AM